NAS Patuxent River

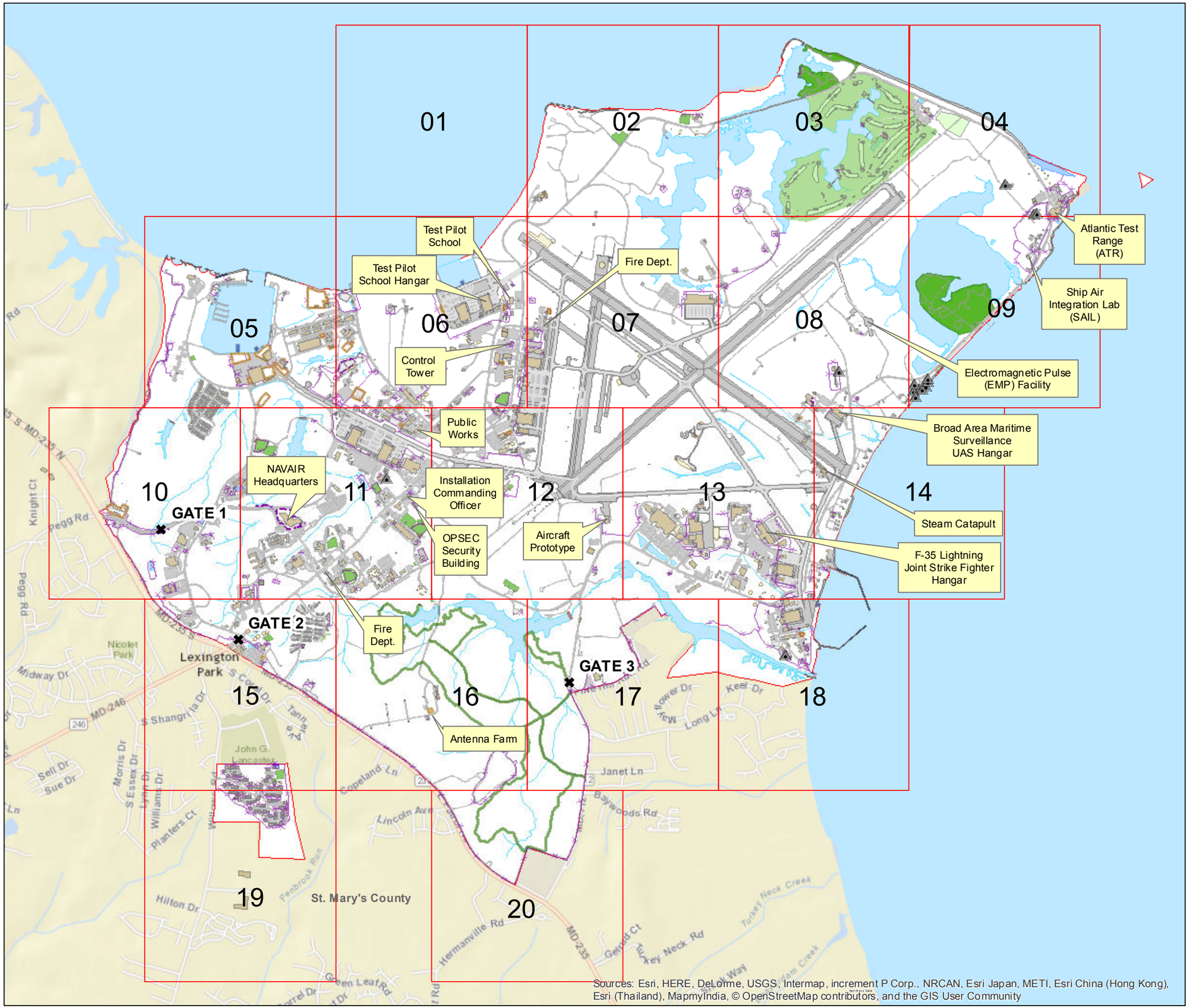

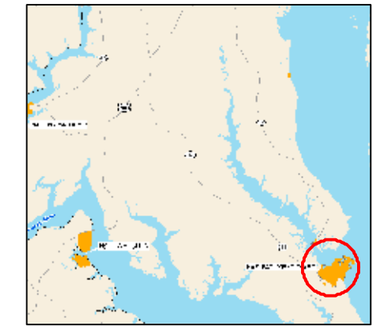

Naval Facilities Engineering Command

NAVFAC Washington GeoReadiness Center
(301)757-1090

Map Publication Date: November 2015

Grid: State Plane (Feet), Geographic (Lat/Long)
Coordinate System: State Plane Maryland 1900
Datum: NAD 1983
Map Units: Feet

N W E S

0 255 510 1,020 Meters

0 1,000 2,000 4,000 Feet

1 inch = 2,500 feet

This map is for reference only. Although every effort has been made to ensure the accuracy of information, errors and conditions originating from physical sources used to develop the database may be reflected on this map. The USN & NAVFAC shall not be liable for any errors, ommisions, or damage that results from inappropriate use of this document.

This material is For Official Use Only. Unauthorized reproduction, distribution, publication, or exhibition of this material is STRICTLY PROHIBITED. Destroy as "For Official Use Only".

FOR OFFICIAL USE ONLY

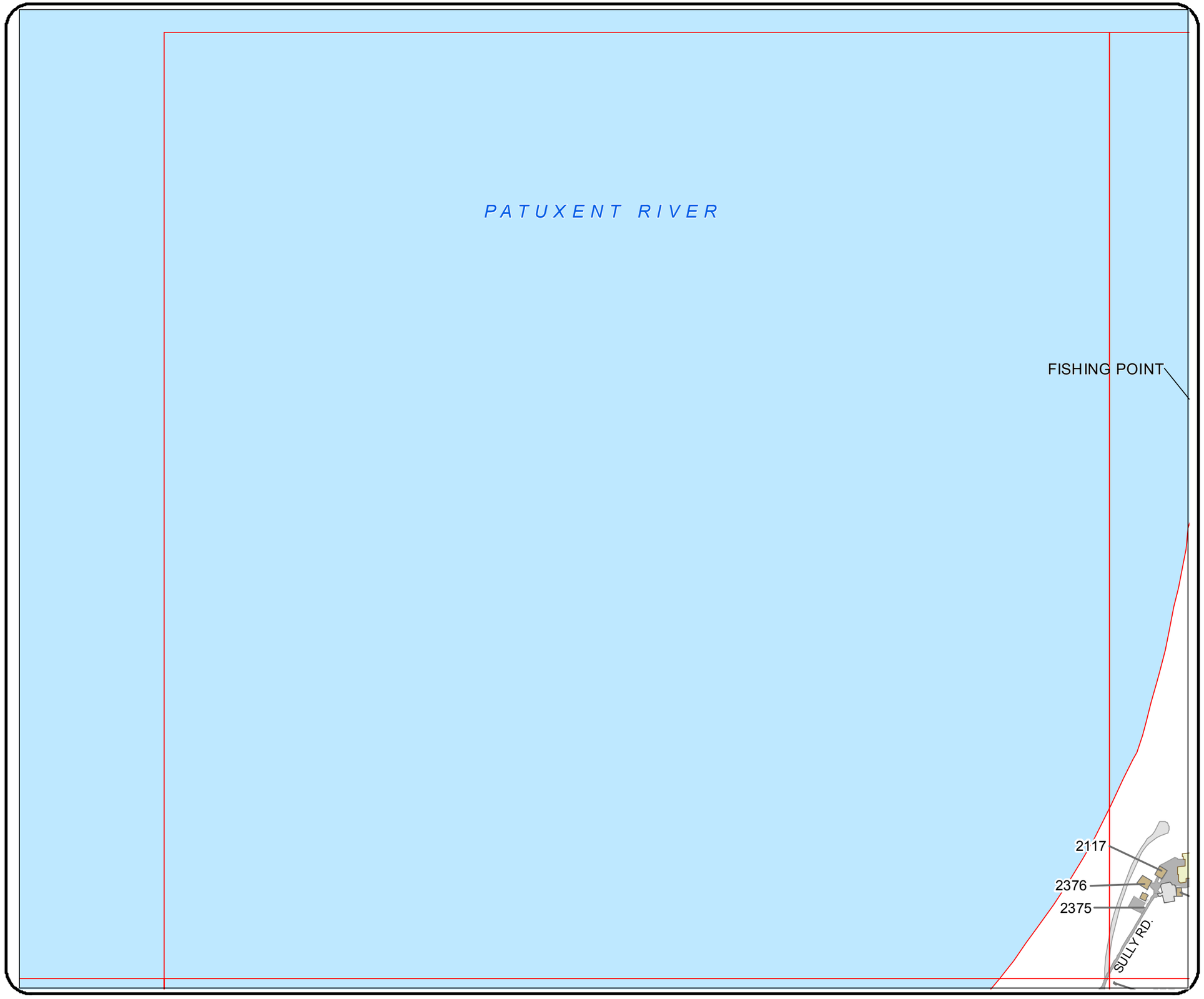

NAS Patuxent River

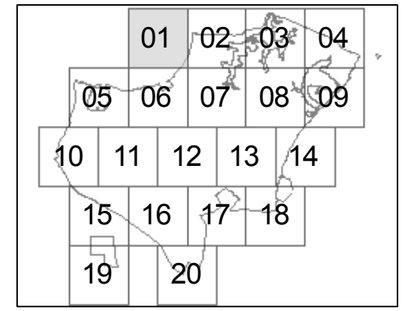

Legend

- Site Access Gate
- Matchline
- Building
- Canopy / Pavilion
- Other Structure
- Storage
- Bleacher
- Slab / Loading Dock
- Tower Point
- Fence
- Wall
- Sidewalk
- Paved Road
- Unpaved Road
- Bridge
- Airfield Surface Marking
- Airfield Pavement
- Playground
- Recreation Area
- Swimming
- Mooring Area
- Shoreline Armoring
- Stream / Creek
- Lake / Pond
- Installation

Background Web Service:
ESRI ArcGIS OnLine - World_Street_Map

Naval Facilities Engineering Command

NAVFAC Washington GeoReadiness Center
(301) 757-1090

Map Publication Date: November 2015

Grid: State Plane (Feet),
Geographic (Lat/Long)
Coordinate System:
State Plane Maryland 1900
Datum: NAD 1983
Map Units: Feet

N
W E
S

0 12.525 50 75 100 Meters

0 62.5 125 250 375 500 Feet

This map is for reference only. Although every effort has been made to ensure the accuracy of information, errors and conditions originating from physical sources used to develop the database may be reflected on this map. The USN & NAVFAC shall not be liable for any errors, omissions, or damage that results from inappropriate use of this document.

This material is For Official Use Only. Unauthorized reproduction, distribution, publication, or exhibition of this material is STRICTLY PROHIBITED. Destroy as "For Official Use Only".

FOR OFFICIAL USE ONLY

NAS Patuxent River

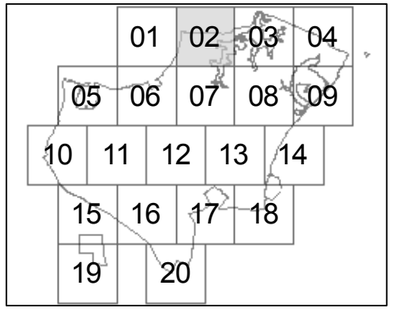

Legend

- Site Access Gate
- Matchline
- Building
- Canopy / Pavilion
- Other Structure
- Storage
- Bleacher
- Slab / Loading Dock
- Tower Point
- Fence
- Wall
- Sidewalk
- Paved Road
- Unpaved Road
- Bridge
- Airfield Surface Marking
- Airfield Pavement
- Playground
- Recreation Area
- Swimming
- Mooring Area
- Shoreline Armoring
- Stream / Creek
- Lake / Pond
- Installation

Background Web Service:
ESRI ArcGIS OnLine - World_Street_Map

Naval Facilities Engineering Command

NAVFAC Washington GeoReadiness Center
(301) 757-1090

Map Publication Date: November 2015

Grid: State Plane (Feet),
Geographic (Lat/Long)
Coordinate System:
State Plane Maryland 1900
Datum: NAD 1983
Map Units: Feet

N W E S

0 12.5 25 50 75 100 Meters

0 62.5 125 250 375 500 Feet

This map is for reference only. Although every effort has been made to ensure the accuracy of information, errors and conditions originating from physical sources used to develop the database may be reflected on this map. The USN & NAVFAC shall not be liable for any errors, omissions, or damage that results from inappropriate use of this document.

This material is For Official Use Only. Unauthorized reproduction, distribution, publication, or exhibition of this material is STRICTLY PROHIBITED. Destroy as "For Official Use Only".

FOR OFFICIAL USE ONLY

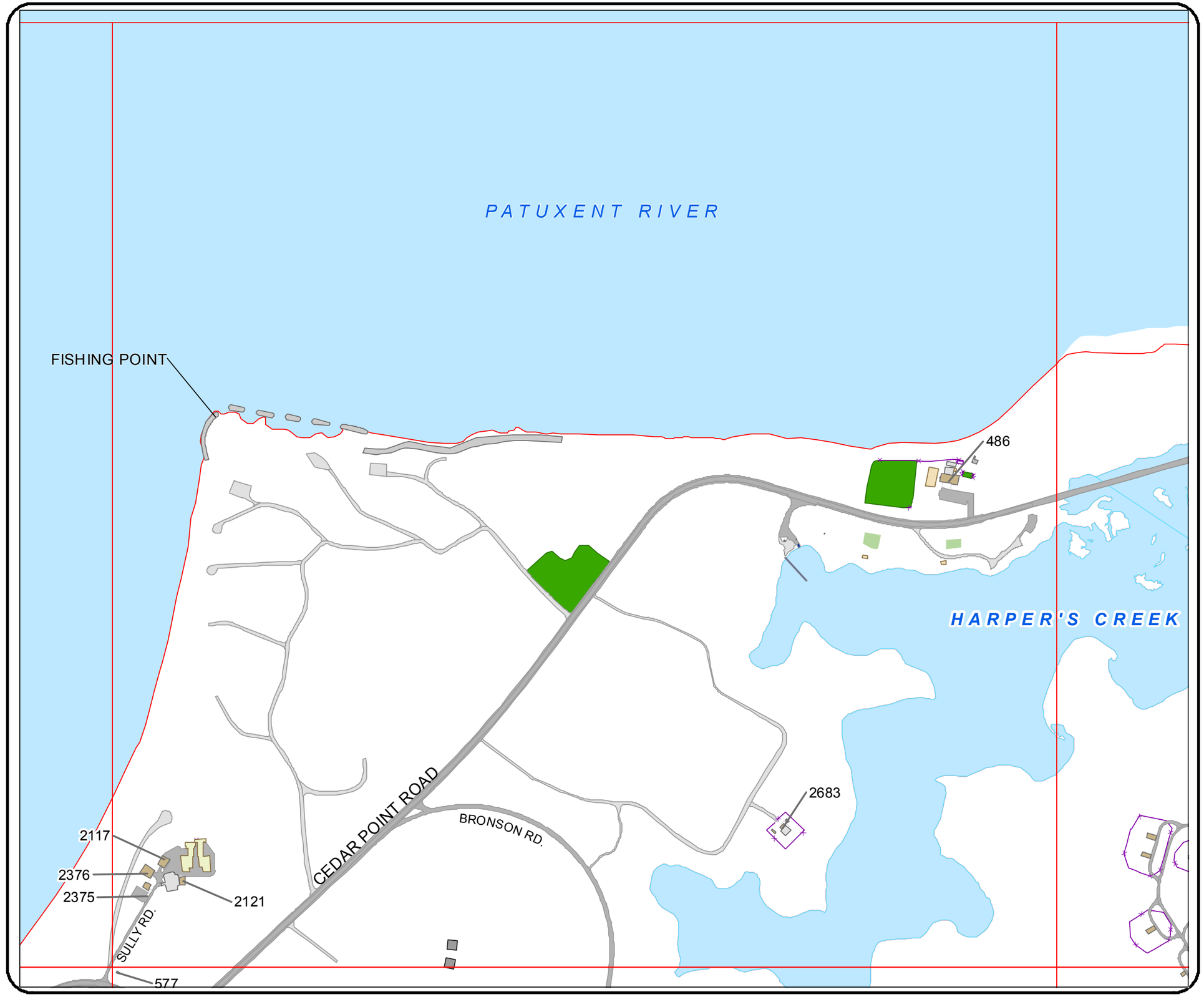

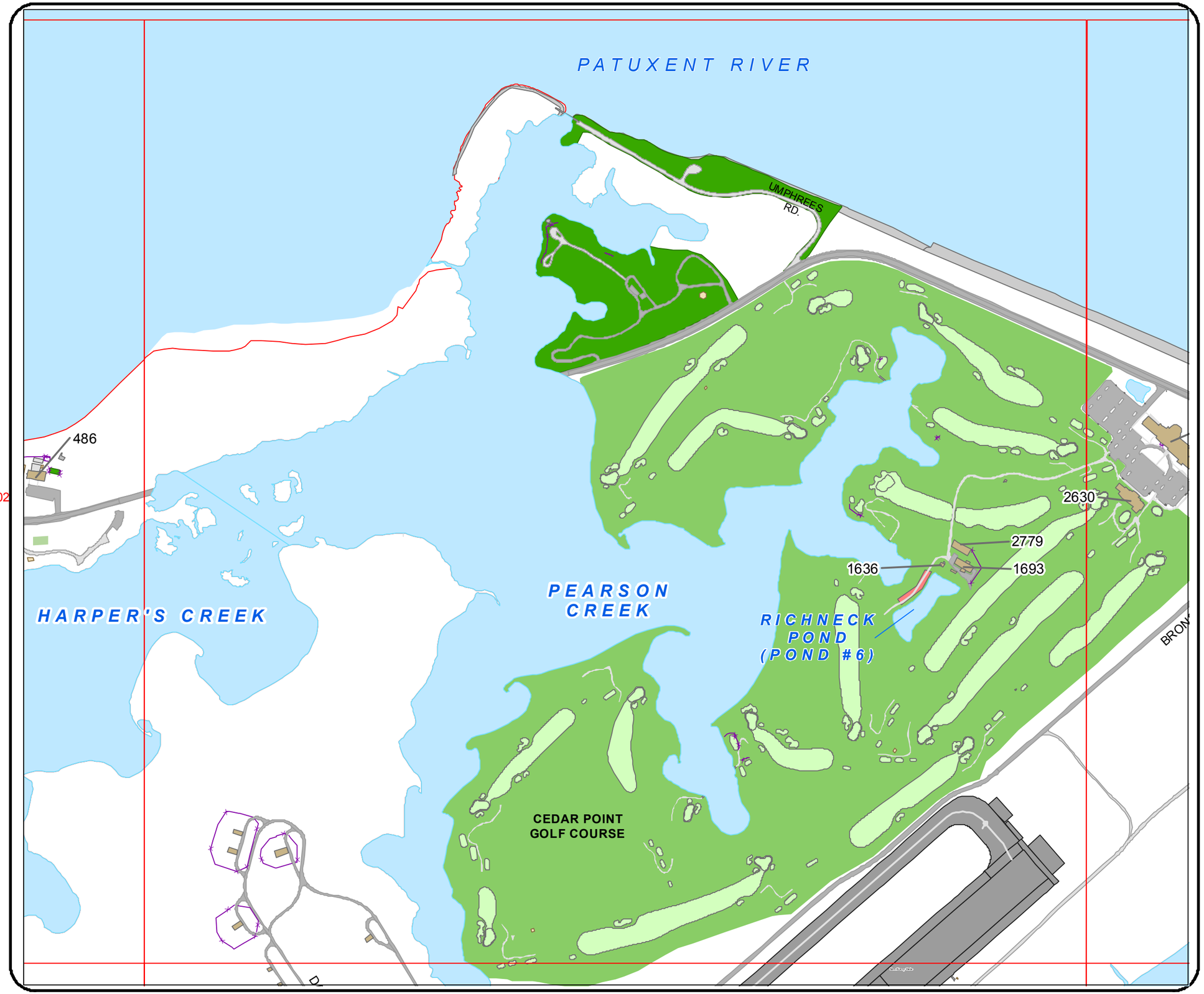

NAS Patuxent River

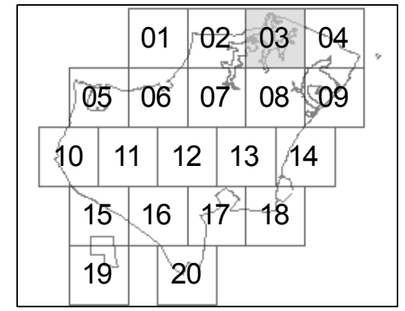

Legend

- Site Access Gate
- Tower Point
- Matchline
- Lake / Pond
- Building
- Canopy / Pavilion
- Other Structure
- Storage
- Bleacher
- Slab / Loading Dock
- Fence
- Wall
- Sidewalk
- Paved Road
- Unpaved Road
- Bridge
- Airfield Surface Marking
- Airfield Pavement
- Dam
- Playground
- Recreation Area
- Swimming
- Golf Course Feature
- Golf Course
- Campground
- Mooring Area
- Shoreline Armoring
- Stream / Creek
- Installation

Naval Facilities Engineering Command

NAVFAC Washington GeoReadiness Center
(301) 757-1090

Map Publication Date: November 2015

Grid: State Plane (Feet),
Geographic (Lat/Long)
Coordinate System:
State Plane Maryland 1900
Datum: NAD 1983
Map Units: Feet

N W E S

0 12.525 50 75 100 Meters

0 62.5 125 250 375 500 Feet

This map is for reference only. Although every effort has been made to ensure the accuracy of information, errors and conditions originating from physical sources used to develop the database may be reflected on this map. The USN & NAVFAC shall not be liable for any errors, omissions, or damage that results from inappropriate use of this document.

This material is For Official Use Only. Unauthorized reproduction, distribution, publication, or exhibition of this material is STRICTLY PROHIBITED. Destroy as "For Official Use Only".

FOR OFFICIAL USE ONLY

NAS Patuxent River

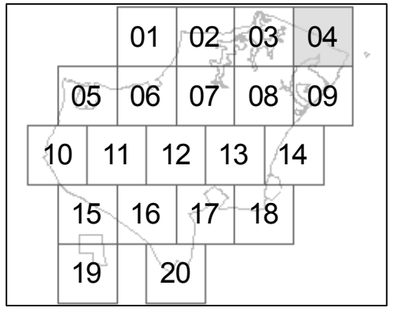

Legend

- Site Access Gate
- Matchline
- Building
- Canopy / Pavilion
- Other Structure
- Storage
- Bleacher
- Slab / Loading Dock
- Tower Point
- Fence
- Wall
- Sidewalk
- Paved Road
- Unpaved Road
- Bridge
- Airfield Surface Marking
- Airfield Pavement
- Playground
- Recreation Area
- Swimming
- Golf Course Feature
- Golf Course
- Mooring Area
- Shoreline Armoring
- Stream / Creek
- Lake / Pond
- Installation

Naval Facilities Engineering Command

NAVFAC Washington GeoReadiness Center
(301) 757-1090

Map Publication Date: November 2015

Grid: State Plane (Feet),
Geographic (Lat/Long)
Coordinate System:
State Plane Maryland 1900
Datum: NAD 1983
Map Units: Feet

N W E S

0 12.525 50 75 100 Meters

0 62.5 125 250 375 500 Feet

This map is for reference only. Although every effort has been made to ensure the accuracy of information, errors and conditions originating from physical sources used to develop the database may be reflected on this map. The USN & NAVFAC shall not be liable for any errors, omissions, or damage that results from inappropriate use of this document.

This material is For Official Use Only. Unauthorized reproduction, distribution, publication, or exhibition of this material is STRICTLY PROHIBITED. Destroy as "For Official Use Only".

FOR OFFICIAL USE ONLY

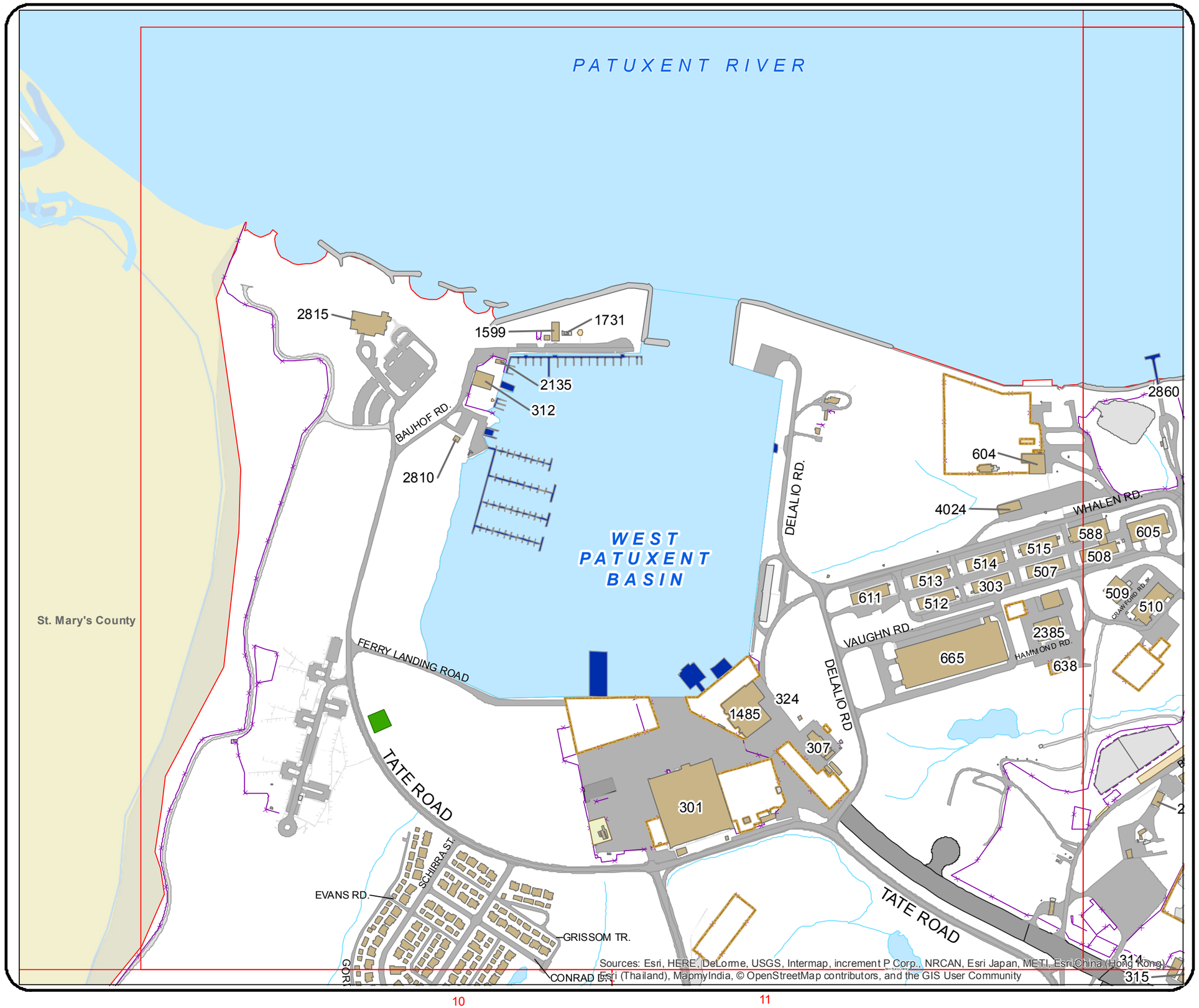

NAS Patuxent River

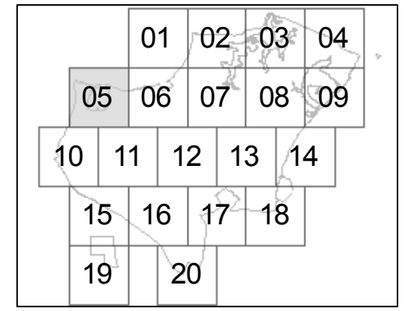

Legend

- Site Access Gate
- Tower Point
- Matchline
- Building
- Canopy / Pavilion
- Other Structure
- Storage
- Bleacher
- Slab / Loading Dock
- Fence
- Wall
- Sidewalk
- Paved Road
- Unpaved Road
- Mooring Area
- Bridge
- Airfield Surface Marking
- Airfield Pavement
- Dam
- Playground
- Recreation Area
- Swimming
- Golf Course Feature
- Golf Course
- Campground
- Shoreline Armoring
- Lake / Pond
- Stream / Creek
- Installation

Background Web Service:
ESRI ArcGIS OnLine - World_Street_Map

Naval Facilities Engineering Command

NAVFAC Washington GeoReadiness Center
(301) 757-1090

Map Publication Date: November 2015

Grid: State Plane (Feet),
Geographic (Lat/Long)
Coordinate System:
State Plane Maryland 1900
Datum: NAD 1983
Map Units: Feet

N W E S

0 12.525 50 75 100 Meters

0 62.5 125 250 375 500 Feet

This map is for reference only. Although every effort has been made to ensure the accuracy of information, errors and conditions originating from physical sources used to develop the database may be reflected on this map. The USN & NAVFAC shall not be liable for any errors, omissions, or damage that results from inappropriate use of this document.

This material is For Official Use Only. Unauthorized reproduction, distribution, publication, or exhibition of this material is STRICTLY PROHIBITED. Destroy as "For Official Use Only."

FOR OFFICIAL USE ONLY

NAS Patuxent River

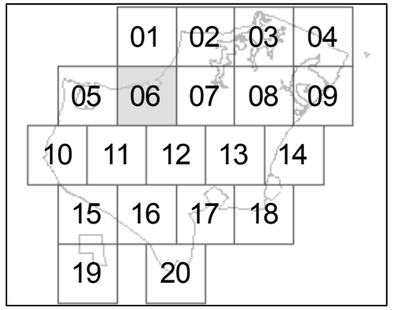

Legend

- Site Access Gate
- Matchline
- Building
- Canopy / Pavilion
- Other Structure
- Storage
- Bleacher
- Slab / Loading Dock
- Tower Point
- Fence
- Wall
- Sidewalk
- Paved Road
- Unpaved Road
- Bridge
- Airfield Surface Marking
- Airfield Pavement
- Playground
- Recreation Area
- Swimming
- Golf Course Feature
- Golf Course
- Mooring Area
- Shoreline Armoring
- Stream / Creek
- Lake / Pond
- Installation

Naval Facilities Engineering Command

NAVFAC Washington GeoReadiness Center
(301) 757-1090

Map Publication Date: November 2015

Grid: State Plane (Feet),
Geographic (Lat/Long)
Coordinate System:
State Plane Maryland 1900
Datum: NAD 1983
Map Units: Feet

N W E S

0 12.525 50 75 100 Meters

0 62.5 125 250 375 500 Feet

This map is for reference only. Although every effort has been made to ensure the accuracy of information, errors and conditions originating from physical sources used to develop the database may be reflected on this map. The USN & NAVFAC shall not be liable for any errors, omissions, or damage that results from inappropriate use of this document.

This material is For Official Use Only. Unauthorized reproduction, distribution, publication, or exhibition of this material is STRICTLY PROHIBITED. Destroy as "For Official Use Only."

FOR OFFICIAL USE ONLY

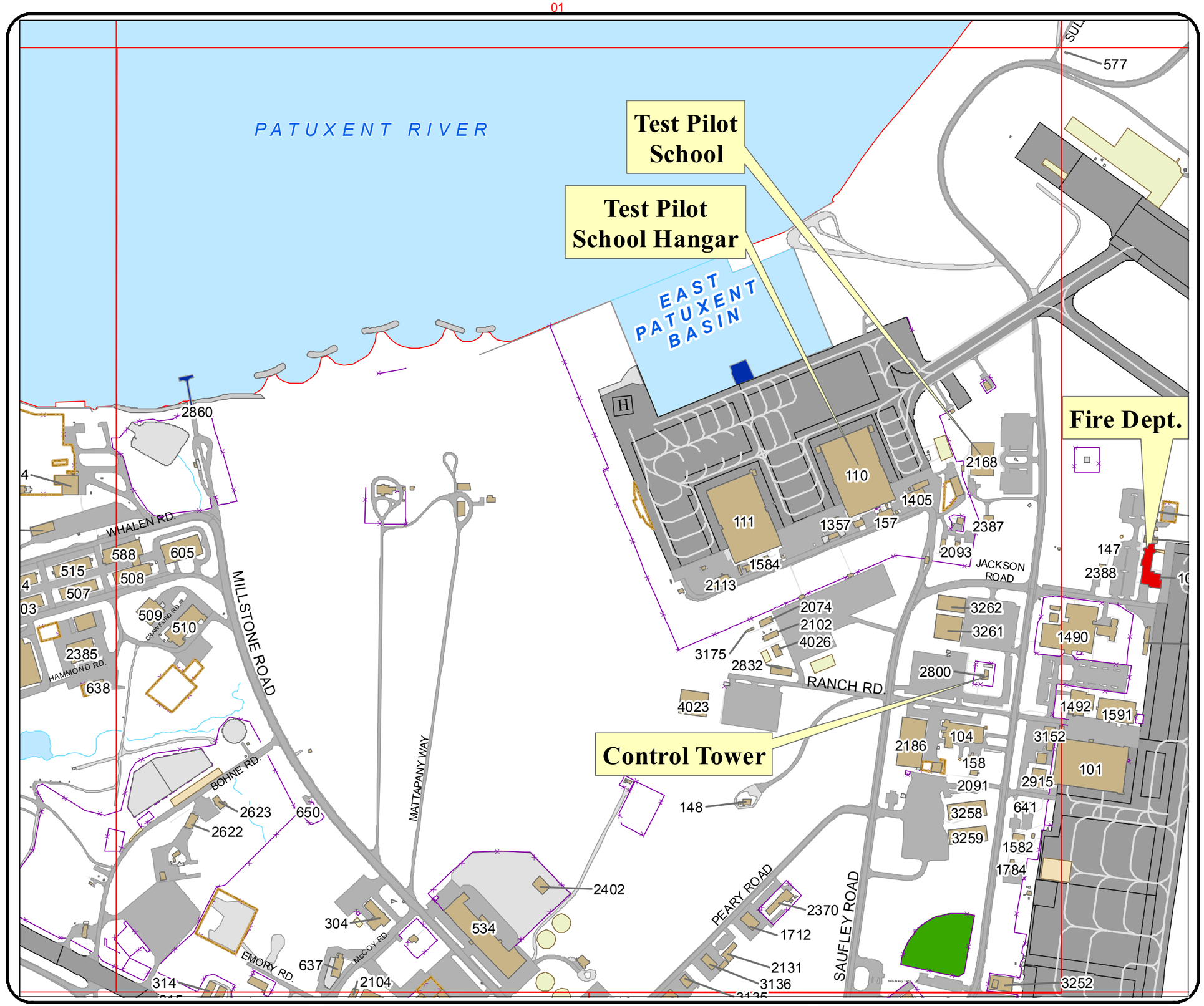

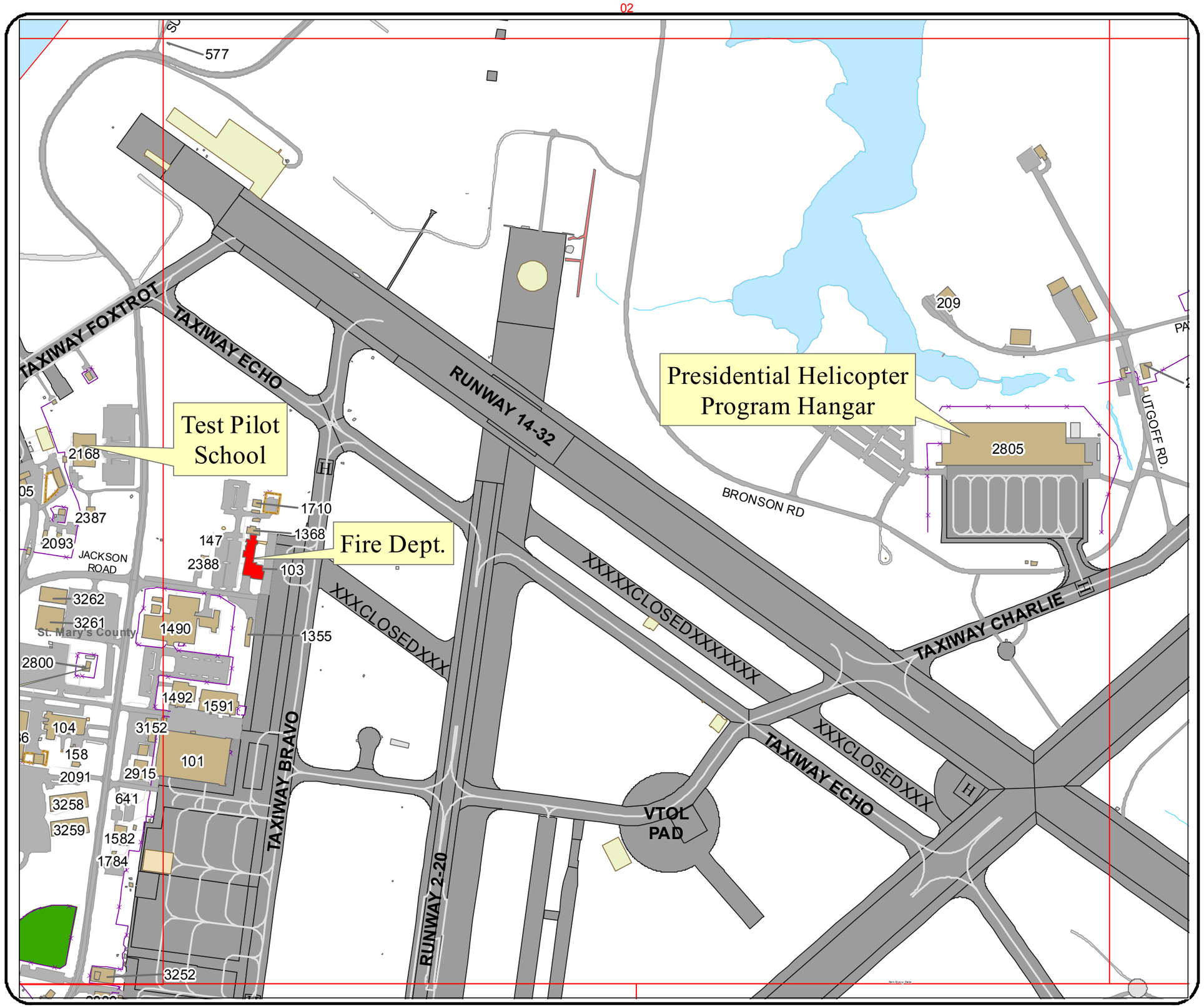

NAS Patuxent River

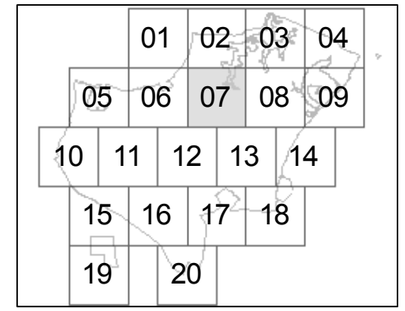

Legend

- Site Access Gate
- Tower Point
- Matchline
- Building
- Canopy / Pavilion
- Other Structure
- Storage
- Bleacher
- Slab / Loading Dock
- Fence
- Wall
- Sidewalk
- Paved Road
- Unpaved Road
- Mooring Area
- Bridge
- Airfield Surface Marking
- Airfield Pavement
- Dam
- Playground
- Recreation Area
- Swimming
- Golf Course Feature
- Golf Course
- Campground
- Shoreline Armoring
- Lake / Pond
- Stream / Creek
- Installation

Background Web Service:
ESRI ArcGIS OnLine - World_Street_Map

Naval Facilities Engineering Command

NAVFAC Washington GeoReadiness Center
(301) 757-1090

Map Publication Date: November 2015

Grid: State Plane (Feet),
Geographic (Lat/Long)
Coordinate System:
State Plane Maryland 1900
Datum: NAD 1983
Map Units: Feet

N W E S

0 12.525 50 75 100 Meters

0 62.5 125 250 375 500 Feet

This map is for reference only. Although every effort has been made to ensure the accuracy of information, errors and conditions originating from physical sources used to develop the database may be reflected on this map. The USN & NAVFAC shall not be liable for any errors, omissions, or damage that results from inappropriate use of this document.

This material is For Official Use Only. Unauthorized reproduction, distribution, publication, or exhibition of this material is STRICTLY PROHIBITED. Destroy as "For Official Use Only".

FOR OFFICIAL USE ONLY

NAS Patuxent River

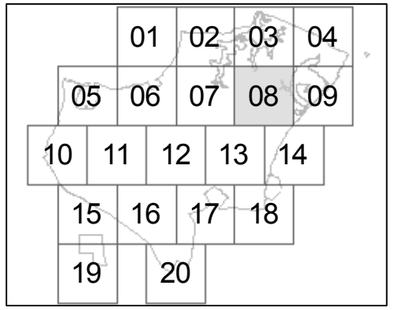

Legend

- Site Access Gate
- Matchline
- Building
- Canopy / Pavilion
- Other Structure
- Storage
- Bleacher
- Slab / Loading Dock
- Tower Point
- Fence
- Wall
- Sidewalk
- Paved Road
- Unpaved Road
- Bridge
- Airfield Surface Marking
- Airfield Pavement
- Playground
- Recreation Area
- Swimming
- Golf Course Feature
- Golf Course
- Mooring Area
- Shoreline Armoring
- Stream / Creek
- Lake / Pond
- Installation

Naval Facilities Engineering Command

NAVFAC Washington GeoReadiness Center
(301) 757-1090

Map Publication Date: November 2015

Grid: State Plane (Feet),
Geographic (Lat/Long)
Coordinate System:
State Plane Maryland 1900
Datum: NAD 1983
Map Units: Feet

N W E S

0 12.525 50 75 100 Meters

0 62.5 125 250 375 500 Feet

This map is for reference only. Although every effort has been made to ensure the accuracy of information, errors and conditions originating from physical sources used to develop the database may be reflected on this map. The USN & NAVFAC shall not be liable for any errors, omissions, or damage that results from inappropriate use of this document.

This material is For Official Use Only. Unauthorized reproduction, distribution, publication, or exhibition of this material is STRICTLY PROHIBITED. Destroy as "For Official Use Only".

FOR OFFICIAL USE ONLY

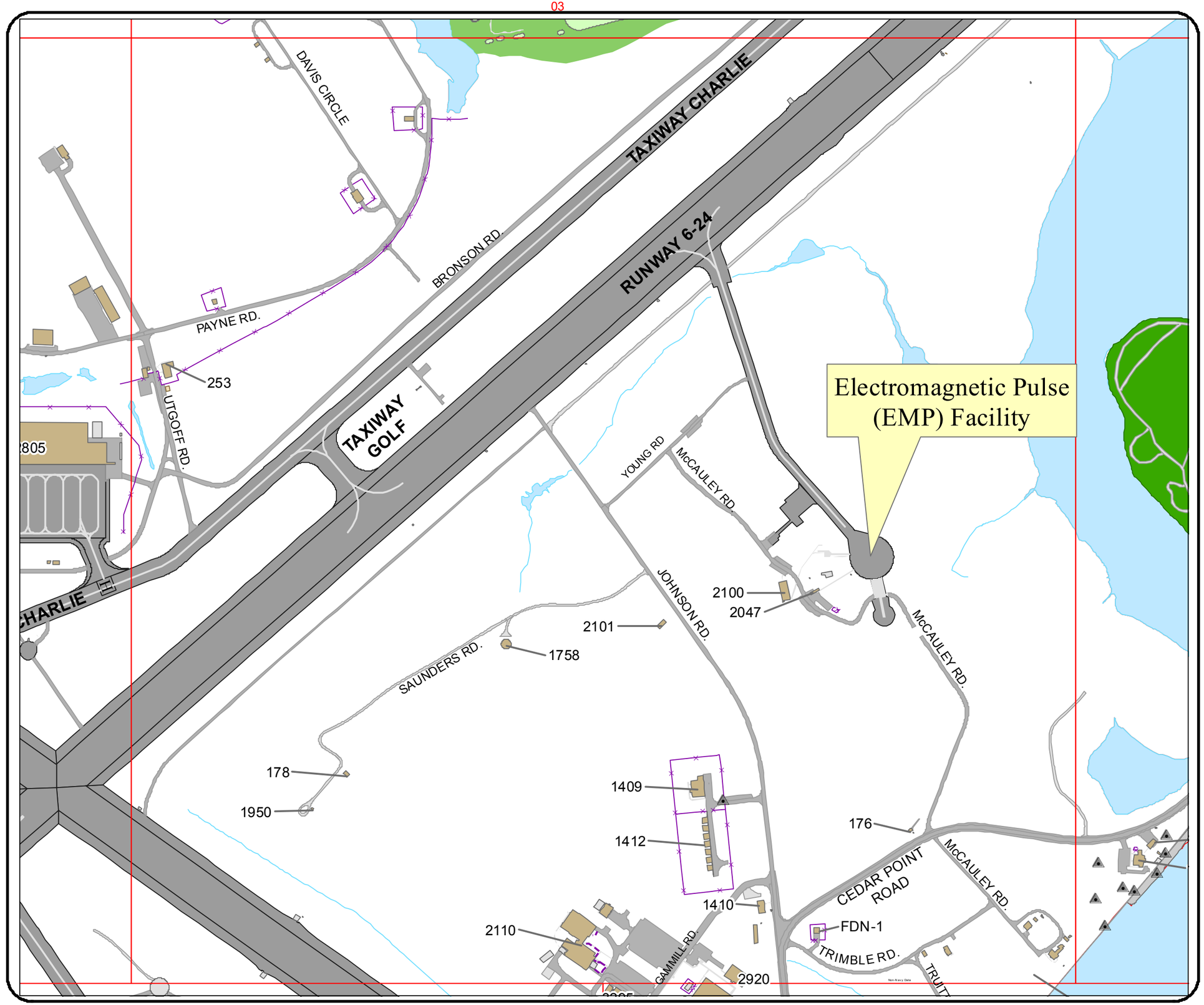

04

08

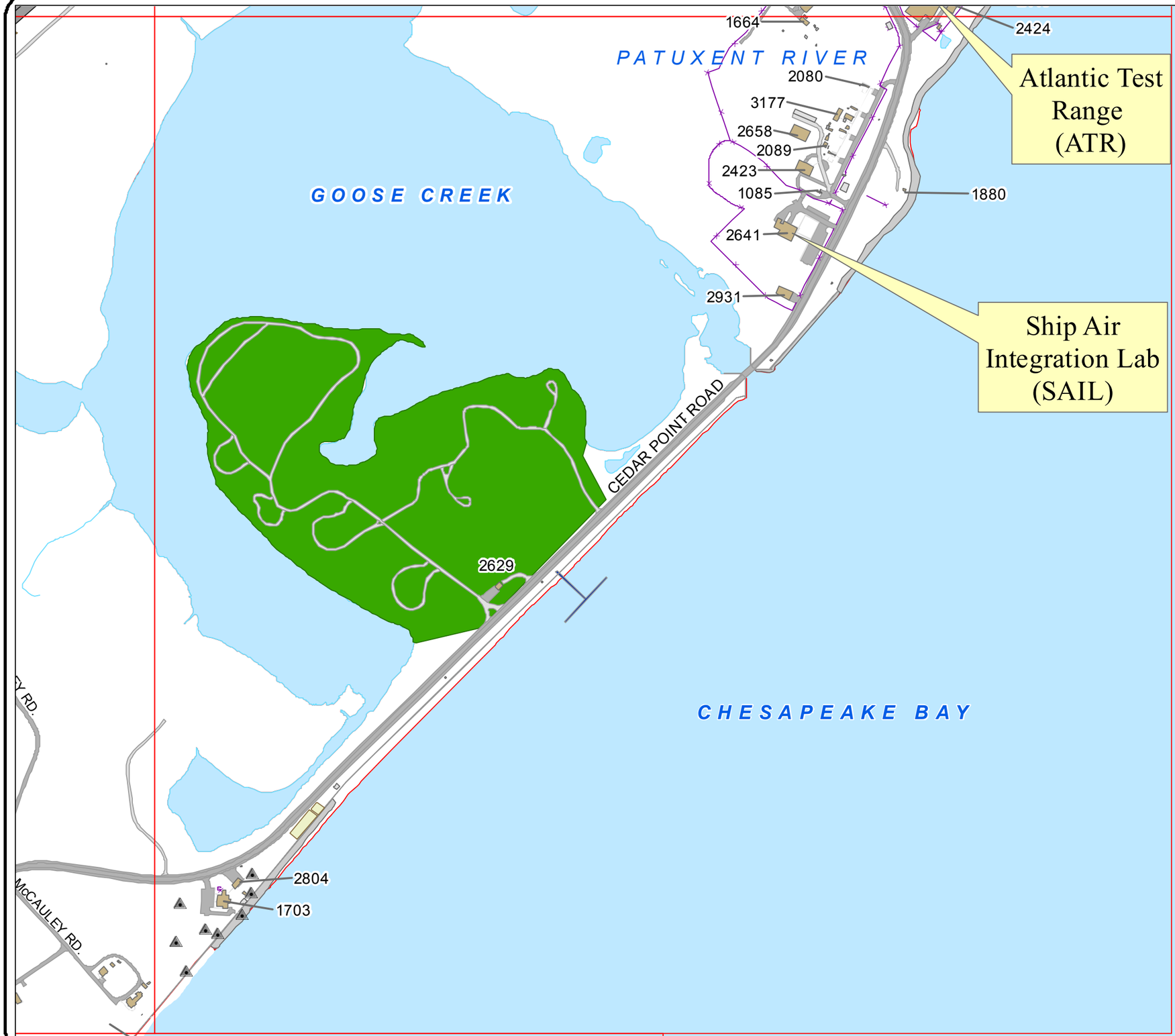

14

NAS Patuxent River

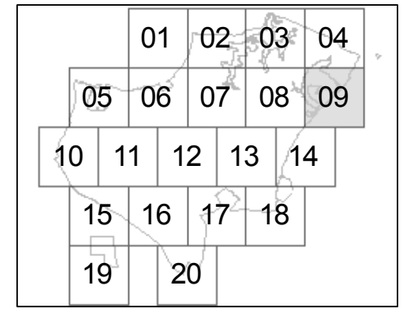

Legend

- Site Access Gate
- Tower Point
- Matchline
- Building
- Canopy / Pavilion
- Other Structure
- Storage
- Bleacher
- Slab / Loading Dock
- Fence
- Wall
- Sidewalk
- Paved Road
- Unpaved Road
- Mooring Area
- Bridge
- Airfield Surface Marking
- Airfield Pavement
- Dam
- Playground
- Recreation Area
- Swimming
- Golf Course Feature
- Golf Course
- Campground
- Shoreline Armoring
- Lake / Pond
- Stream / Creek
- Installation

Background Web Service:
ESRI ArcGIS OnLine - World_Street_Map

Naval Facilities Engineering Command

NAVFAC Washington GeoReadiness Center
(301) 757-1090

Map Publication Date: November 2015

Grid: State Plane (Feet),
Geographic (Lat/Long)
Coordinate System:
State Plane Maryland 1900
Datum: NAD 1983
Map Units: Feet

N W E S

0 12.525 50 75 100 Meters

0 62.5 125 250 375 500 Feet

This map is for reference only. Although every effort has been made to ensure the accuracy of information, errors and conditions originating from physical sources used to develop the database may be reflected on this map. The USN & NAVFAC shall not be liable for any errors, omissions, or damage that results from inappropriate use of this document.

This material is For Official Use Only. Unauthorized reproduction, distribution, publication, or exhibition of this material is STRICTLY PROHIBITED. Destroy as "For Official Use Only".

FOR OFFICIAL USE ONLY

NAS Patuxent River

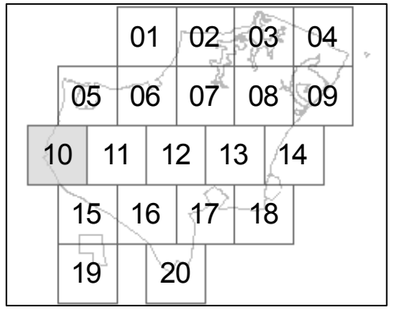

Legend

- Site Access Gate
- Matchline
- Building
- Canopy / Pavilion
- Other Structure
- Storage
- Bleacher
- Slab / Loading Dock
- Tower Point
- Fence
- Wall
- Sidewalk
- Paved Road
- Unpaved Road
- Bridge
- Airfield Surface Marking
- Airfield Pavement
- Playground
- Recreation Area
- Swimming
- Golf Course Feature
- Golf Course
- Mooring Area
- Shoreline Armoring
- Stream / Creek
- Lake / Pond
- Installation

Naval Facilities Engineering Command

NAVFAC Washington GeoReadiness Center
(301) 757-1090

Map Publication Date: November 2015

Grid: State Plane (Feet),
Geographic (Lat/Long)
Coordinate System:
State Plane Maryland 1900
Datum: NAD 1983
Map Units: Feet

N W E S

0 12.525 50 75 100 Meters

0 62.5 125 250 375 500 Feet

This map is for reference only. Although every effort has been made to ensure the accuracy of information, errors and conditions originating from physical sources used to develop the database may be reflected on this map. The USN & NAVFAC shall not be liable for any errors, omissions, or damage that results from inappropriate use of this document.

This material is For Official Use Only. Unauthorized reproduction, distribution, publication, or exhibition of this material is STRICTLY PROHIBITED. Destroy as "For Official Use Only."

FOR OFFICIAL USE ONLY

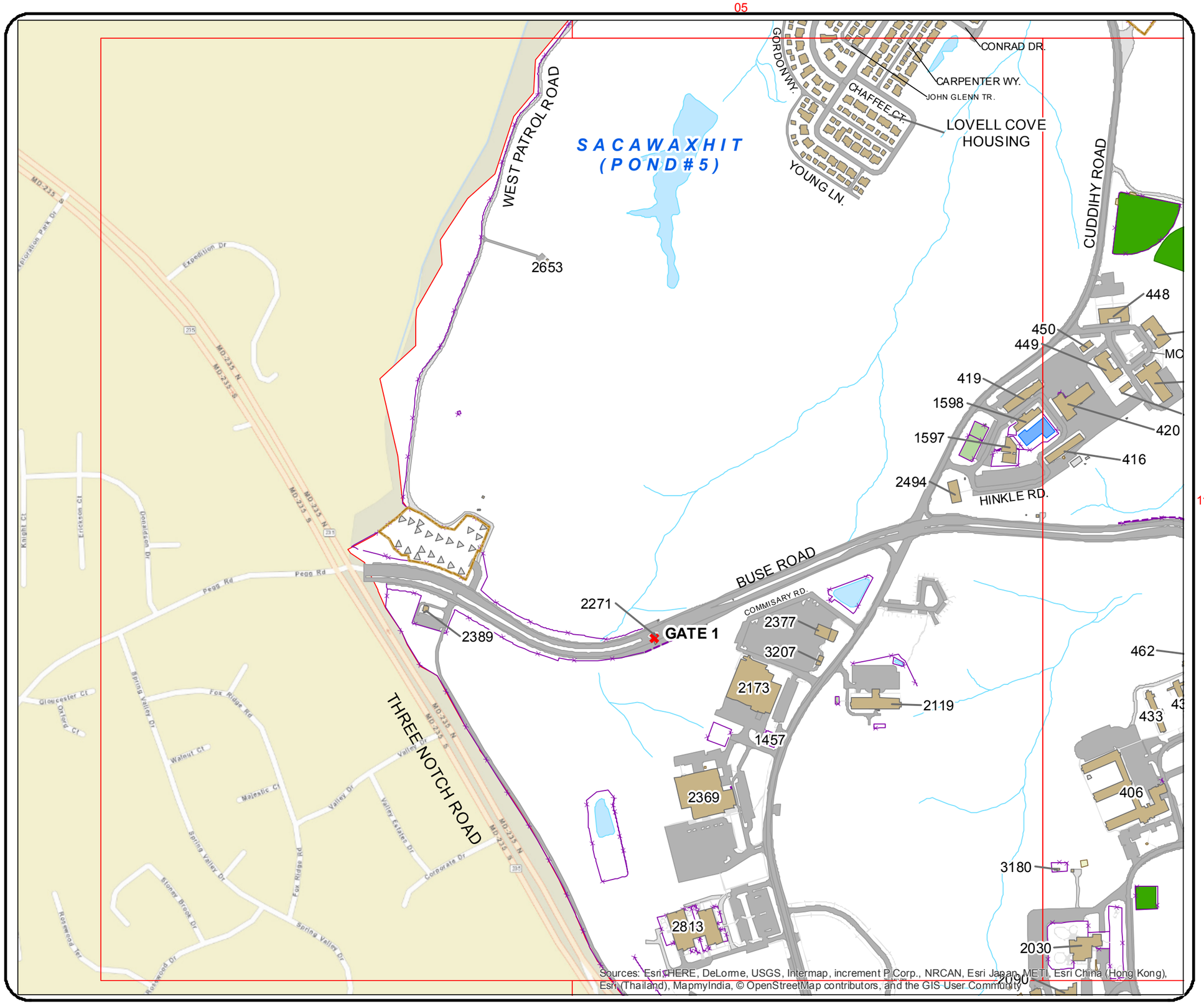

Sources: Esri, HERE, DeLorme, USGS, Intermap, increment P Corp., NRCAN, Esri Japan, METI, Esri China (Hong Kong), Esri (Thailand), MapmyIndia, © OpenStreetMap contributors, and the GIS User Community

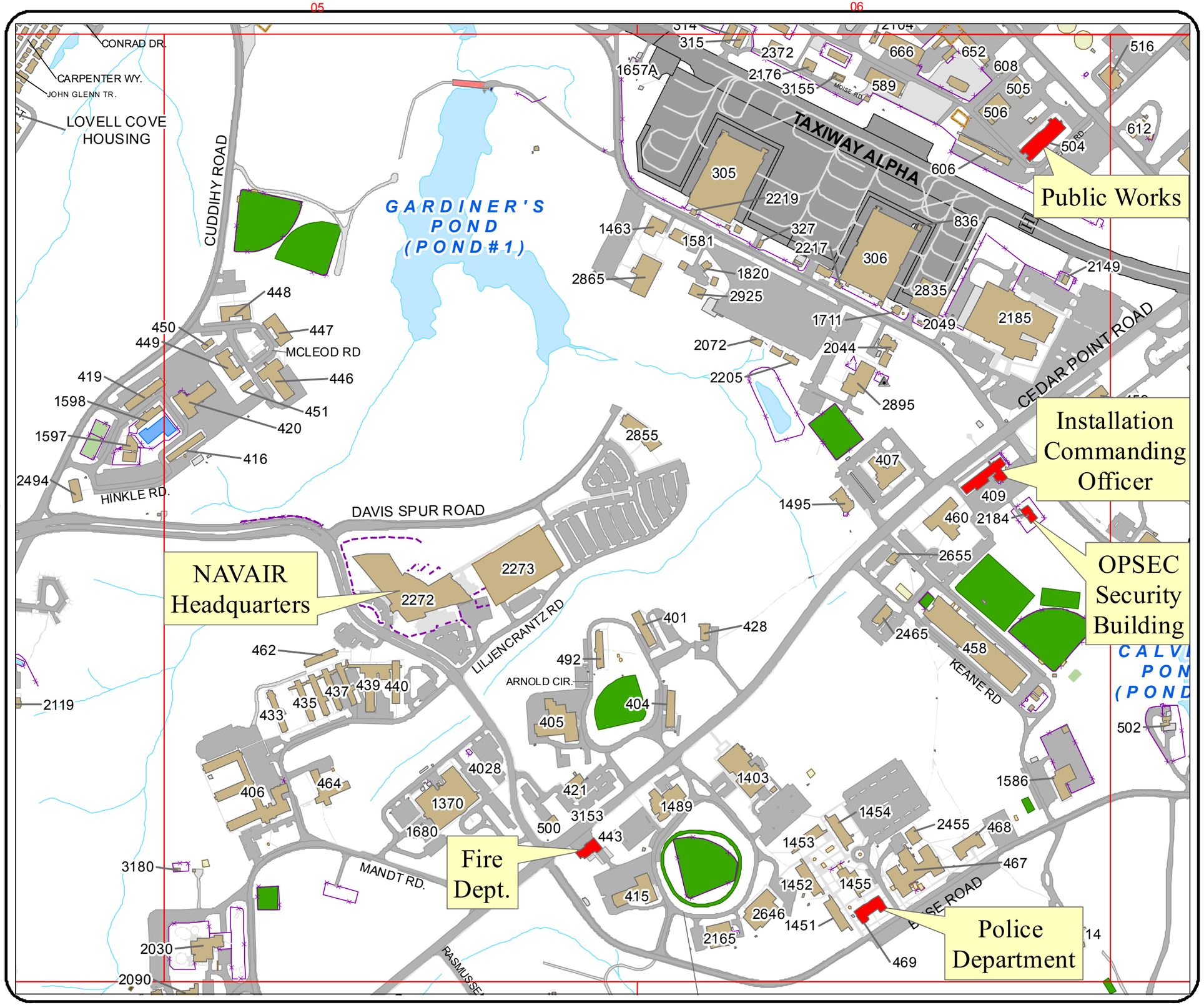

NAS Patuxent River

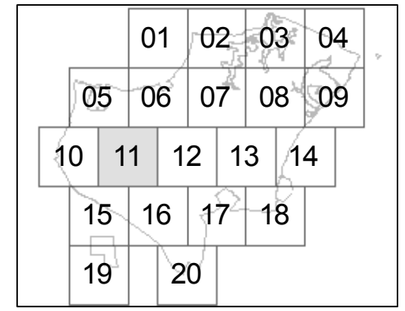

Legend

- Site Access Gate
- Tower Point
- Matchline
- Building
- Canopy / Pavilion
- Parking Garage
- Other Structure
- Storage
- Bleacher
- Slab / Loading Dock
- Fence
- Wall
- Sidewalk
- Paved Road
- Unpaved Road
- Mooring Area
- Bridge
- Airfield Surface Marking
- Airfield Pavement
- Dam
- Playground
- Recreation Area
- Swimming
- Golf Course Feature
- Golf Course
- Campground
- Shoreline Armoring
- Lake / Pond
- Stream / Creek
- Installation

Background Web Service: ESRI ArcGIS OnLine - World_Street_Map

Naval Facilities Engineering Command

NAVFAC Washington GeoReadiness Center (301) 757-1090

Map Publication Date: November 2015

Grid: State Plane (Feet), Geographic (Lat/Long)
Coordinate System: State Plane Maryland 1900
Datum: NAD 1983
Map Units: Feet

N W E S

0 12.525 50 75 100 Meters

0 62.5 125 250 375 500 Feet

This map is for reference only. Although every effort has been made to ensure the accuracy of information, errors and conditions originating from physical sources used to develop the database may be reflected on this map. The USN & NAVFAC shall not be liable for any errors, omissions, or damage that results from inappropriate use of this document.

This material is "For Official Use Only". Unauthorized reproduction, distribution, publication, or exhibition of this material is STRICTLY PROHIBITED. Destroy as "For Official Use Only".

FOR OFFICIAL USE ONLY

NAS Patuxent River

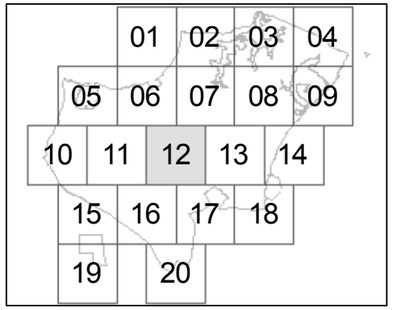

Legend

- Site Access Gate
- Matchline
- Building
- Canopy / Pavilion
- Other Structure
- Storage
- Bleacher
- Slab / Loading Dock
- Tower Point
- Fence
- Wall
- Sidewalk
- Paved Road
- Unpaved Road
- Bridge
- Airfield Surface Marking
- Airfield Pavement
- Playground
- Recreation Area
- Swimming
- Golf Course Feature
- Golf Course
- Mooring Area
- Shoreline Armoring
- Stream / Creek
- Lake / Pond
- Installation

Naval Facilities Engineering Command

NAVFAC Washington GeoReadiness Center
(301) 757-1090

Map Publication Date: November 2015

Grid: State Plane (Feet),
Geographic (Lat/Long)
Coordinate System:
State Plane Maryland 1900
Datum: NAD 1983
Map Units: Feet

N W E S

0 12.525 50 75 100 Meters

0 62.5 125 250 375 500 Feet

This map is for reference only. Although every effort has been made to ensure the accuracy of information, errors and conditions originating from physical sources used to develop the database may be reflected on this map. The USN & NAVFAC shall not be liable for any errors, omissions, or damage that results from inappropriate use of this document.

This material is For Official Use Only. Unauthorized reproduction, distribution, publication, or exhibition of this material is STRICTLY PROHIBITED. Destroy as "For Official Use Only".

FOR OFFICIAL USE ONLY

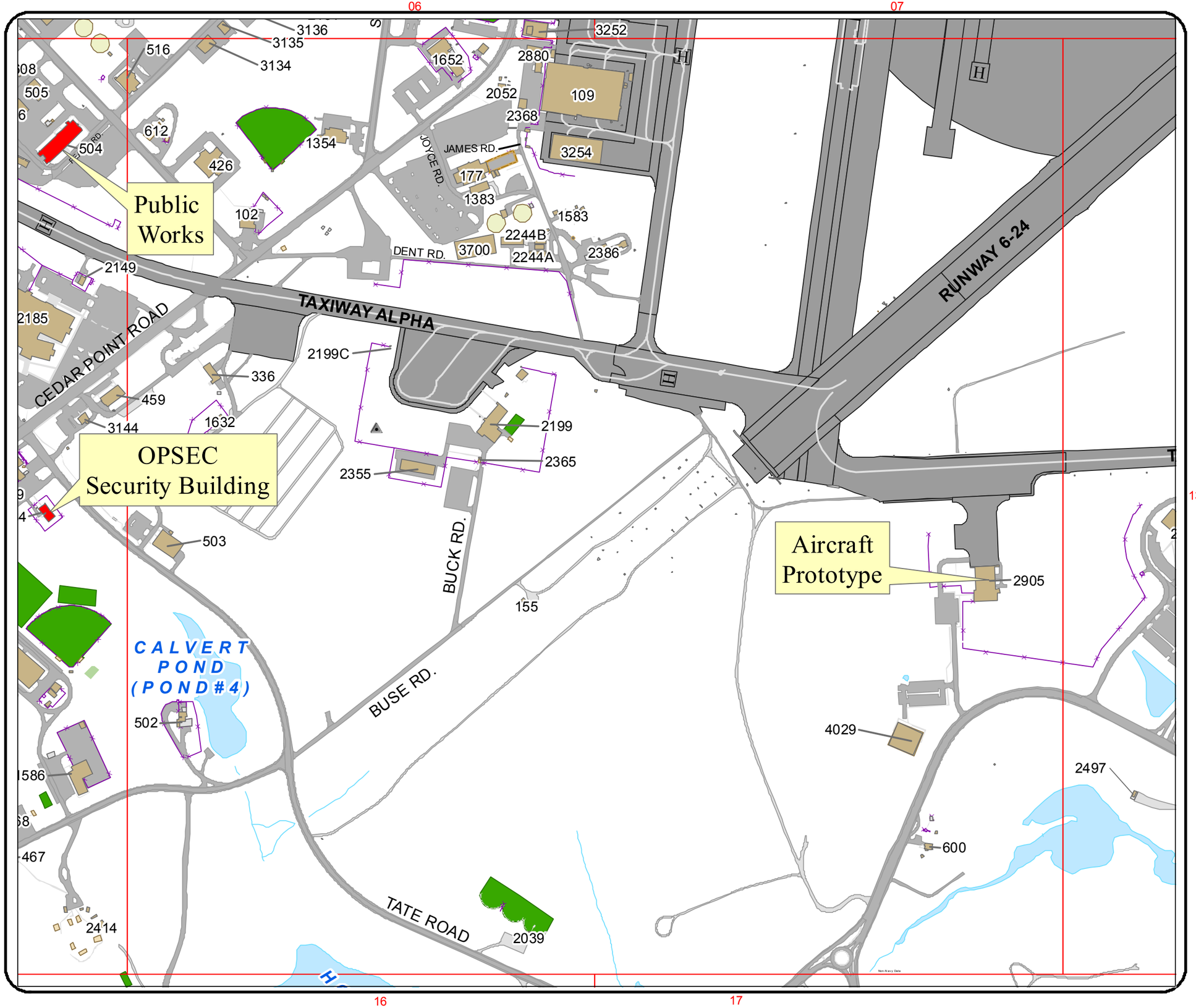

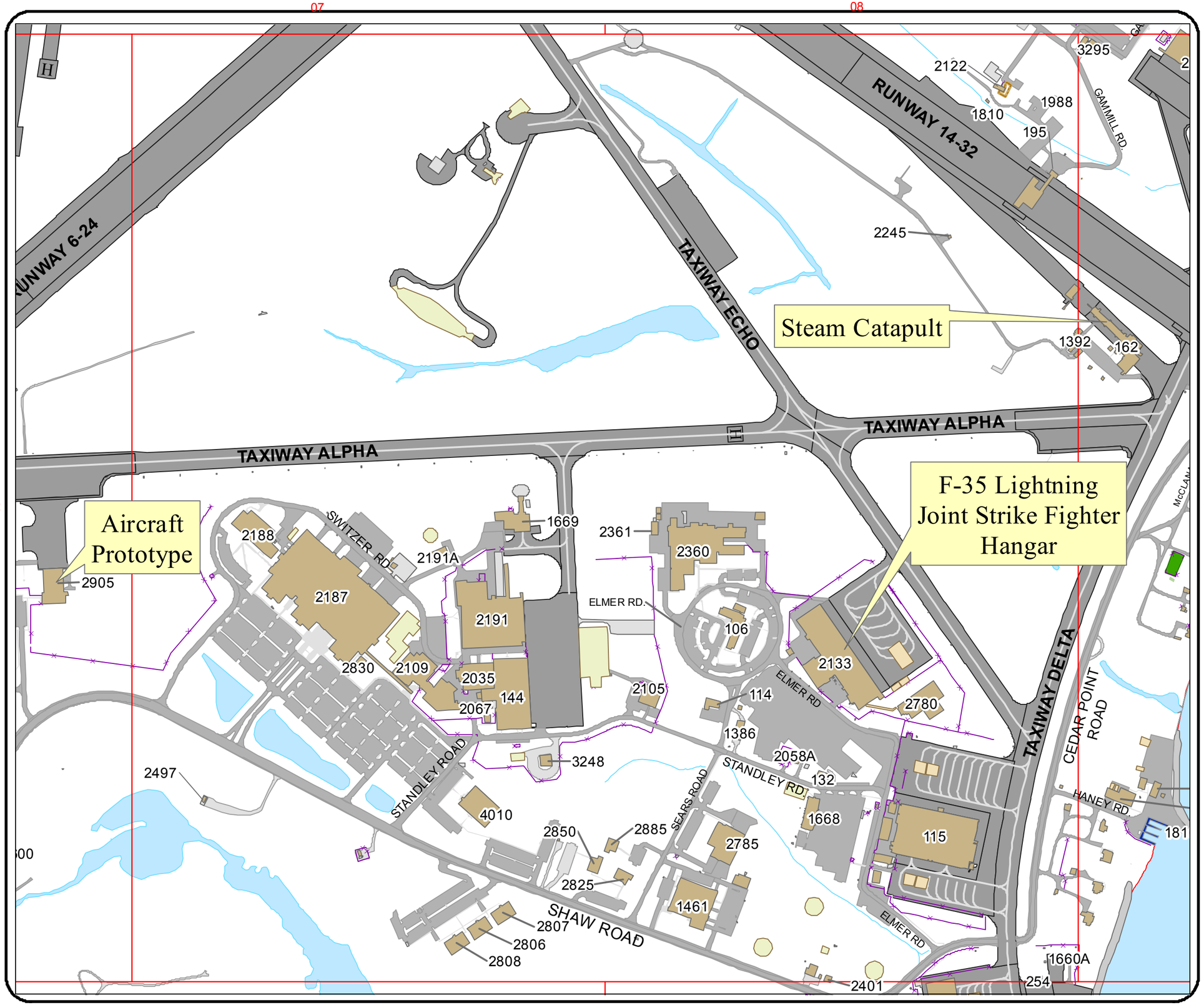

NAS Patuxent River

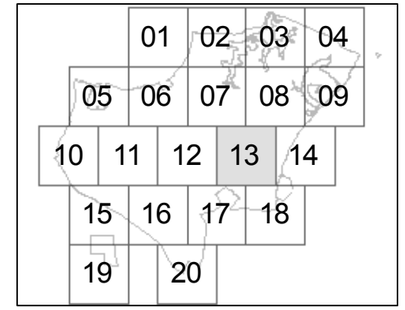

Legend

- Site Access Gate
- Tower Point
- Matchline
- Building
- Canopy / Pavilion
- Other Structure
- Storage
- Bleacher
- Slab / Loading Dock
- Fence
- Wall
- Sidewalk
- Paved Road
- Unpaved Road
- Mooring Area
- Bridge
- Airfield Surface Marking
- Airfield Pavement
- Dam
- Playground
- Recreation Area
- Swimming
- Golf Course Feature
- Golf Course
- Campground
- Shoreline Armoring
- Lake / Pond
- Stream / Creek
- Installation

Background Web Service:
ESRI ArcGIS OnLine - World_Street_Map

Naval Facilities Engineering Command

NAVFAC Washington GeoReadiness Center
(301) 757-1090

Map Publication Date: November 2015

Grid: State Plane (Feet),
Geographic (Lat/Long)
Coordinate System:
State Plane Maryland 1900
Datum: NAD 1983
Map Units: Feet

N W E S

0 12.525 50 75 100 Meters

0 62.5 125 250 375 500 Feet

This map is for reference only. Although every effort has been made to ensure the accuracy of information, errors and conditions originating from physical sources used to develop the database may be reflected on this map. The USN & NAVFAC shall not be liable for any errors, omissions, or damage that results from inappropriate use of this document.

This material is For Official Use Only. Unauthorized reproduction, distribution, publication, or exhibition of this material is STRICTLY PROHIBITED. Destroy as "For Official Use Only".

FOR OFFICIAL USE ONLY

NAS Patuxent River

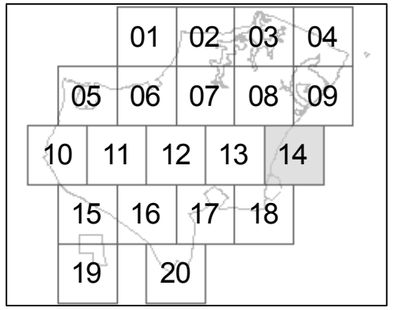

Legend

- Site Access Gate
- Matchline
- Building
- Canopy / Pavilion
- Other Structure
- Storage
- Bleacher
- Slab / Loading Dock
- Tower Point
- Fence
- Wall
- Sidewalk
- Paved Road
- Unpaved Road
- Bridge
- Airfield Surface Marking
- Airfield Pavement
- Playground
- Recreation Area
- Swimming
- Golf Course Feature
- Golf Course
- Mooring Area
- Shoreline Armoring
- Stream / Creek
- Lake / Pond
- Installation

Background Web Service:
ESRI ArcGIS OnLine - World_Street_Map

Naval Facilities Engineering Command

NAVFAC Washington GeoReadiness Center
(301) 757-1090

Map Publication Date: November 2015

Grid: State Plane (Feet),
Geographic (Lat/Long)
Coordinate System:
State Plane Maryland 1900
Datum: NAD 1983
Map Units: Feet

N
W E
S

0 12.525 50 75 100 Meters

0 62.5 125 250 375 500 Feet

This map is for reference only. Although every effort has been made to ensure the accuracy of information, errors and conditions originating from physical sources used to develop the database may be reflected on this map. The USN & NAVFAC shall not be liable for any errors, omissions, or damage that results from inappropriate use of this document.

This material is For Official Use Only. Unauthorized reproduction, distribution, publication, or exhibition of this material is STRICTLY PROHIBITED. Destroy as "For Official Use Only".

FOR OFFICIAL USE ONLY

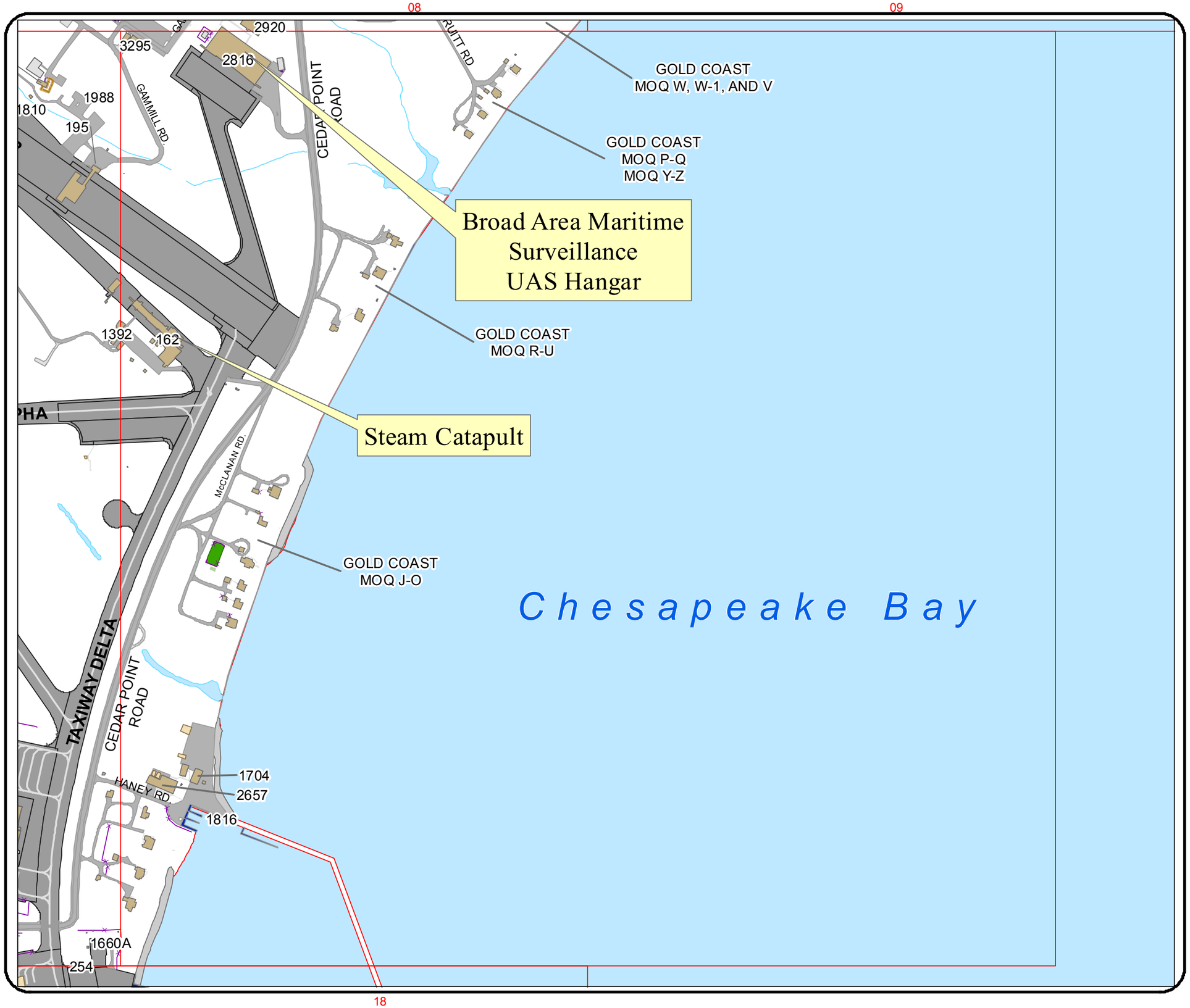

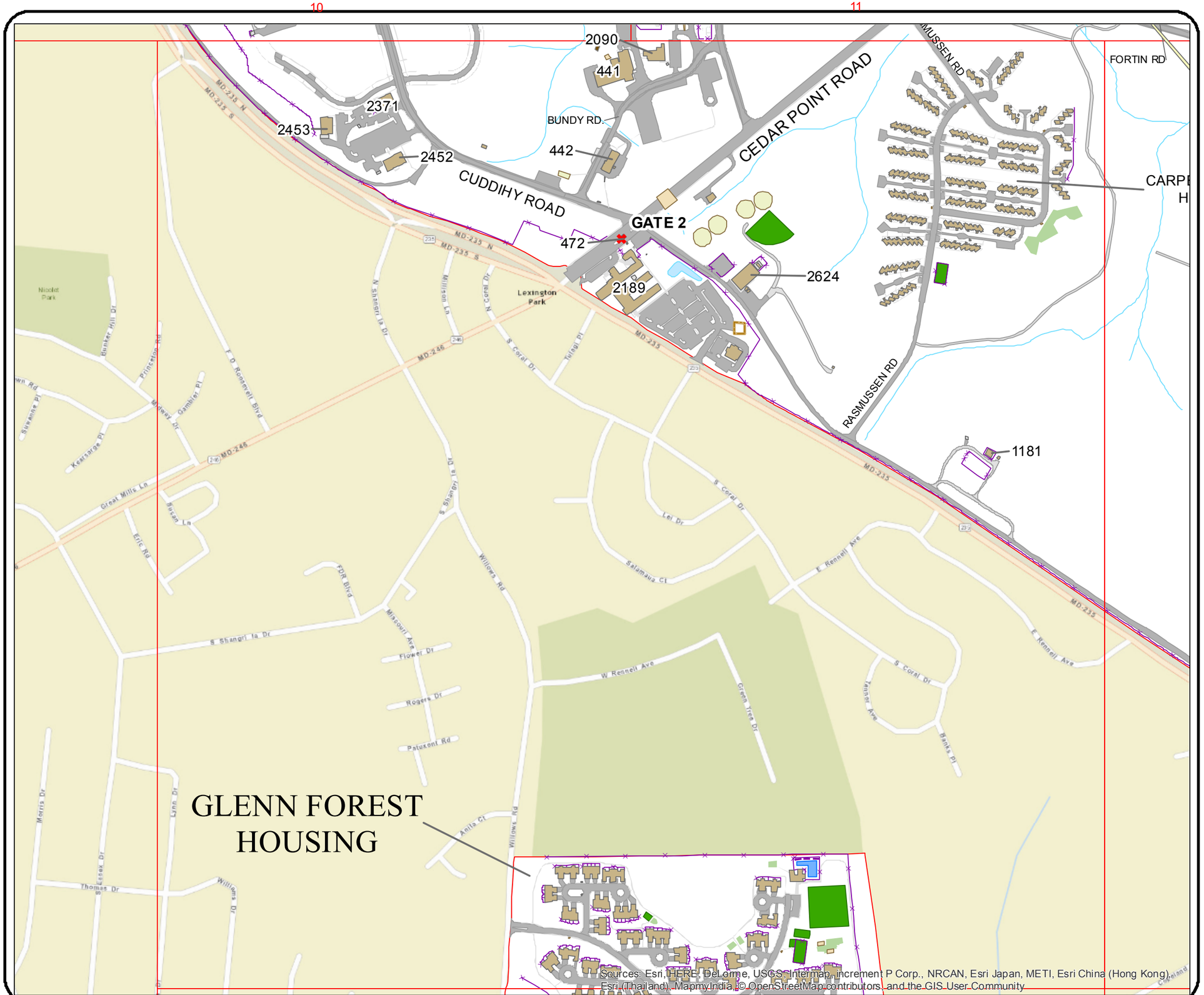

NAS Patuxent River

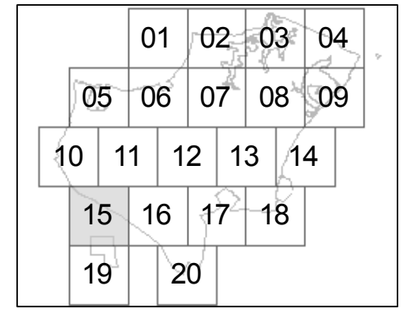

Legend

- Site Access Gate
- Tower Point
- Matchline
- Building
- Canopy / Pavilion
- Other Structure
- Storage
- Bleacher
- Slab / Loading Dock
- Fence
- Wall
- Sidewalk
- Paved Road
- Unpaved Road
- Mooring Area
- Bridge
- Airfield Surface Marking
- Airfield Pavement
- Dam
- Playground
- Recreation Area
- Swimming
- Golf Course Feature
- Golf Course
- Campground
- Shoreline Armoring
- Lake / Pond
- Stream / Creek
- Installation

Background Web Service:
ESRI ArcGIS OnLine - World_Street_Map

Naval Facilities Engineering Command

NAVFAC Washington GeoReadiness Center
(301) 757-1090

Map Publication Date: November 2015

Grid: State Plane (Feet),
Geographic (Lat/Long)
Coordinate System:
State Plane Maryland 1900
Datum: NAD 1983
Map Units: Feet

N W E S

0 12.525 50 75 100 Meters

0 62.5 125 250 375 500 Feet

This map is for reference only. Although every effort has been made to ensure the accuracy of information, errors and conditions originating from physical sources used to develop the database may be reflected on this map. The USN & NAVFAC Email not be liable for any errors, omissions, or damage that results from inappropriate use of this document.

This material is For Official Use Only. Unauthorized reproduction, distribution, publication, or exhibition of this material is STRICTLY PROHIBITED. Destroy as "For Official Use Only".

FOR OFFICIAL USE ONLY

NAS Patuxent River

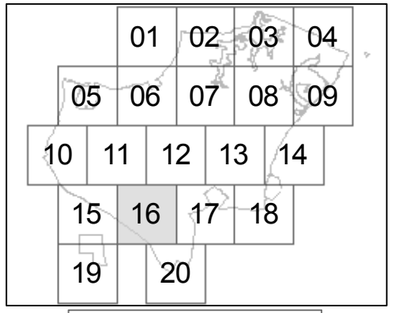

Legend

- Site Access Gate
- Matchline
- Building
- Canopy / Pavilion
- Other Structure
- Storage
- Bleacher
- Slab / Loading Dock
- Tower Point
- Fence
- Wall
- Recreation Trail
- Sidewalk
- Paved Road
- Unpaved Road
- Bridge
- Airfield Surface Marking
- Airfield Pavement
- Playground
- Recreation Area
- Swimming
- Golf Course Feature
- Golf Course
- Mooring Area
- Shoreline Armoring
- Stream / Creek
- Lake / Pond
- Installation

Background Web Service:
ESRI ArcGIS OnLine - World_Street_Map

Naval Facilities Engineering Command

NAVFAC Washington GeoReadiness Center
(301) 757-1090

Map Publication Date: November 2015

Grid: State Plane (Feet),
Geographic (Lat/Long)
Coordinate System:
State Plane Maryland 1900
Datum: NAD 1983
Map Units: Feet

N W E S

0 12.525 50 75 100 Meters

0 62.5 125 250 375 500 Feet

This map is for reference only. Although every effort has been made to ensure the accuracy of information, errors and conditions originating from physical sources used to develop the database may be reflected on this map. The USN & NAVFAC shall not be liable for any errors, omissions, or damage that results from inappropriate use of this document.

This material is For Official Use Only. Unauthorized reproduction, distribution, publication, or exhibition of this material is STRICTLY PROHIBITED. Destroy as "For Official Use Only".

FOR OFFICIAL USE ONLY

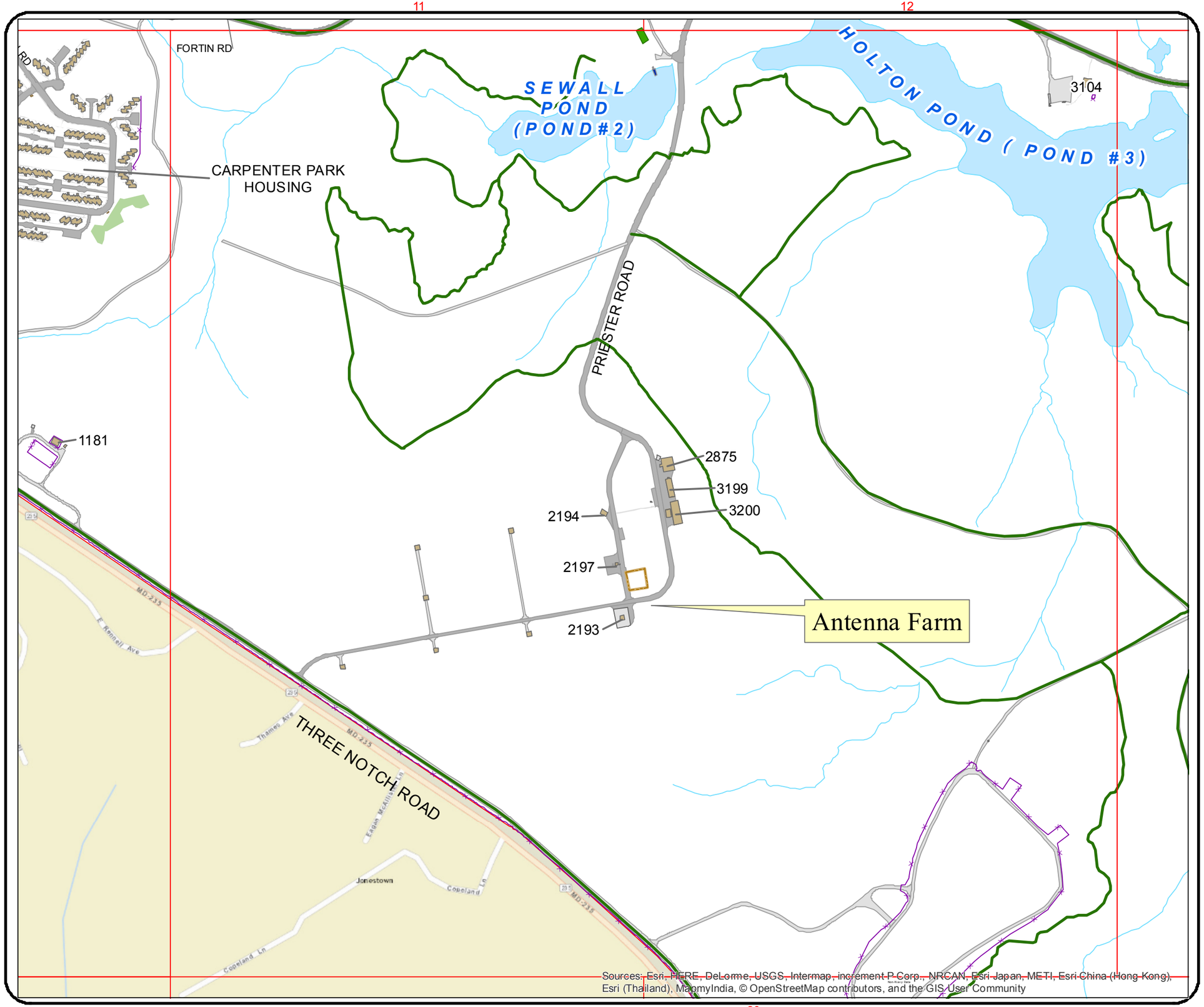

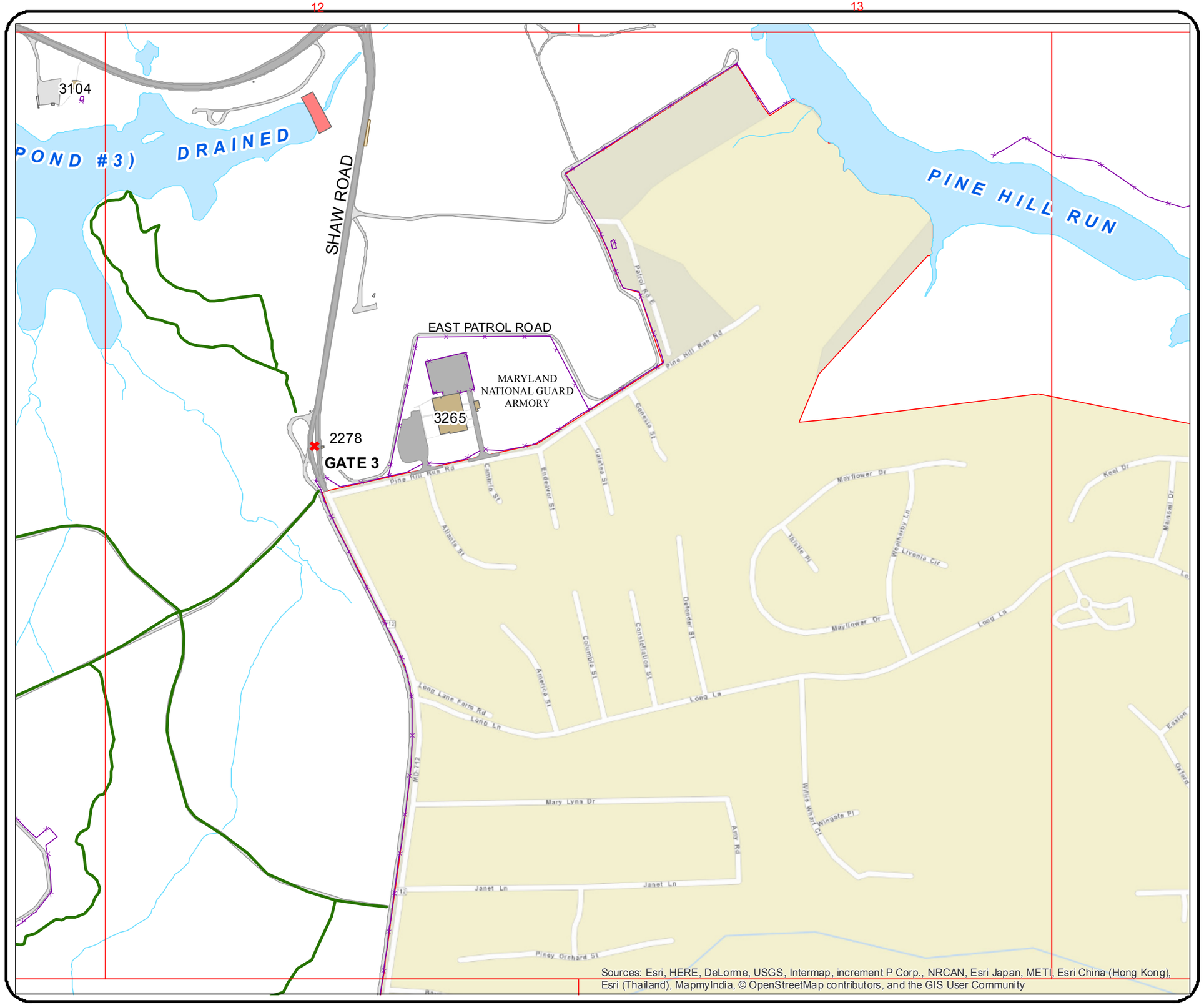

NAS Patuxent River

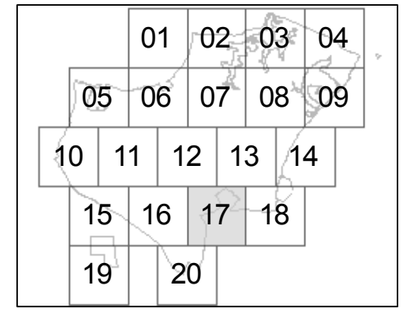

Legend

- Site Access Gate
- Tower Point
- Matchline
- Building
- Canopy / Pavilion
- Other Structure
- Storage
- Bleacher
- Slab / Loading Dock
- Fence
- Wall
- Recreation Trail
- Sidewalk
- Paved Road
- Unpaved Road
- Mooring Area
- Bridge
- Airfield Surface Marking
- Airfield Pavement
- Dam
- Playground
- Recreation Area
- Swimming
- Golf Course Feature
- Golf Course
- Campground
- Shoreline Armoring
- Lake / Pond
- Stream / Creek
- Installation

Background Web Service:
ESRI ArcGIS OnLine - World_Street_Map

Naval Facilities Engineering Command

NAVFAC Washington GeoReadiness Center
(301) 757-1090

Map Publication Date: November 2015

Grid: State Plane (Feet),
Geographic (Lat/Long)
Coordinate System:
State Plane Maryland 1900
Datum: NAD 1983
Map Units: Feet

N
W E
S

0 12,525 50 75 100 Meters

0 62.5 125 250 375 500 Feet

This map is for reference only. Although every effort has been made to ensure the accuracy of information, errors and conditions originating from physical sources used to develop the database may be reflected on this map. The USN & NAVFAC shall not be liable for any errors, omissions, or damage that results from inappropriate use of this document.

This material is For Official Use Only. Unauthorized reproduction, distribution, publication, or exhibition of this material is STRICTLY PROHIBITED. Destroy as "For Official Use Only".

FOR OFFICIAL USE ONLY

NAS Patuxent River

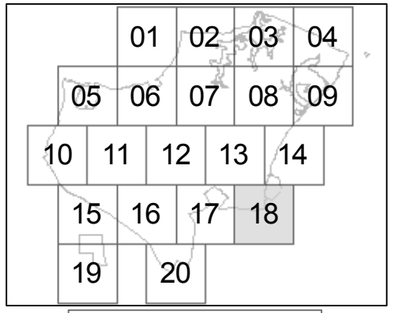

Legend

- Site Access Gate
- Matchline
- Building
- Canopy / Pavilion
- Other Structure
- Storage
- Bleacher
- Slab / Loading Dock
- Tower Point
- Fence
- Wall
- Recreation Trail
- Sidewalk
- Paved Road
- Unpaved Road
- Bridge
- Airfield Surface Marking
- Airfield Pavement
- Playground
- Recreation Area
- Swimming
- Golf Course Feature
- Golf Course
- Mooring Area
- Shoreline Armoring
- Stream / Creek
- Lake / Pond
- Installation

Background Web Service:
ESRI ArcGIS OnLine - World_Street_Map

Naval Facilities Engineering Command

NAVFAC Washington GeoReadiness Center
(301) 757-1090

Map Publication Date: November 2015

Grid: State Plane (Feet),
Geographic (Lat/Long)
Coordinate System:
State Plane Maryland 1900
Datum: NAD 1983
Map Units: Feet

N W E S

0 12.525 50 75 100 Meters

0 62.5 125 250 375 500 Feet

This map is for reference only. Although every effort has been made to ensure the accuracy of information, errors and conditions originating from physical sources used to develop the database may be reflected on this map. The USN & NAVFAC Chesapeake be liable for any errors, omissions, or damage that results from inappropriate use of this document.

This material is For Official Use Only. Unauthorized reproduction, distribution, publication, or exhibition of this material is STRICTLY PROHIBITED. Destroy as "For Official Use Only".

FOR OFFICIAL USE ONLY

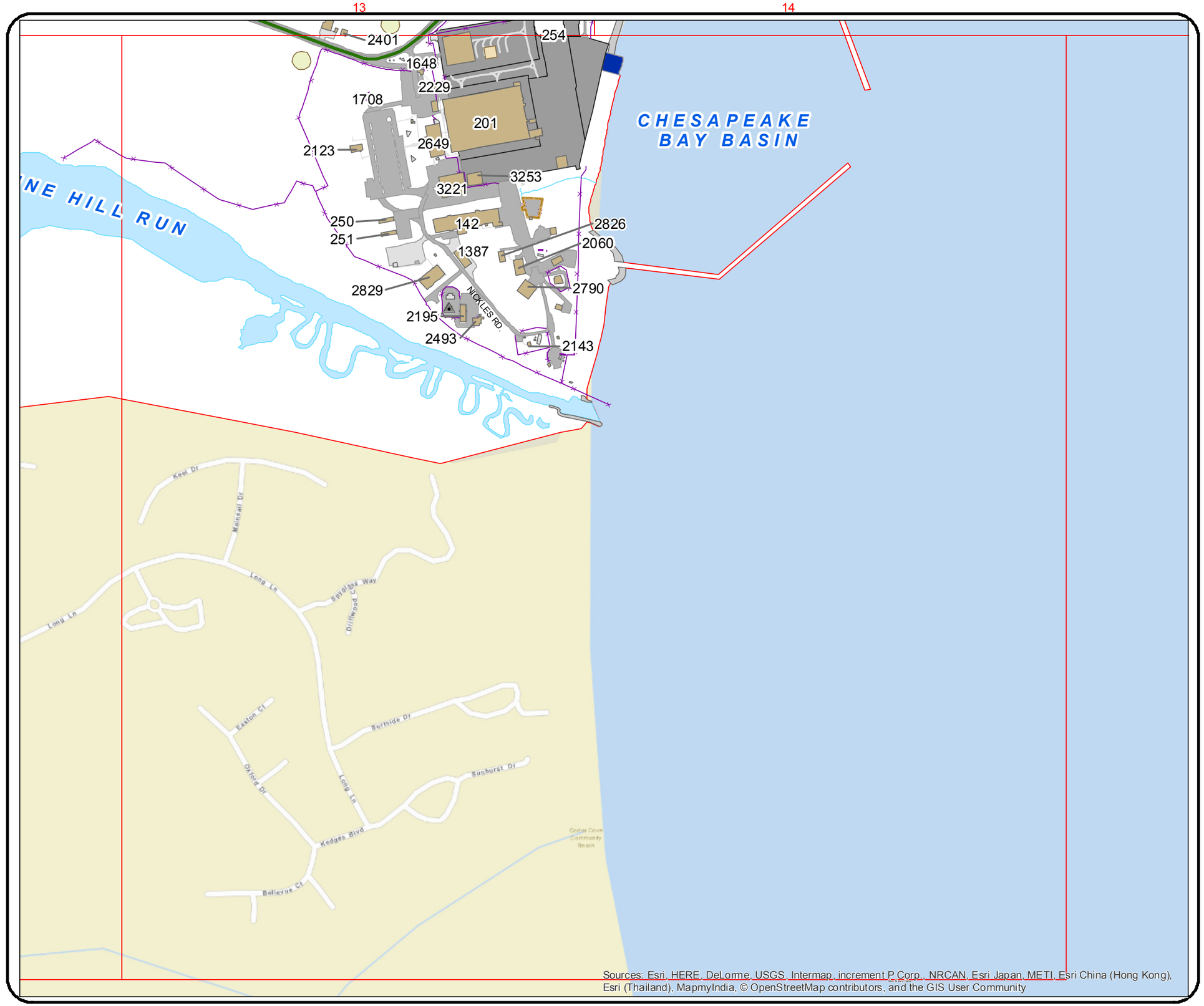

Sources: Esri, HERE, DeLorme, USGS, Intermap, increment P Corp., NRCAN, Esri Japan, METI, Esri China (Hong Kong), Esri (Thailand), MapmyIndia, © OpenStreetMap contributors, and the GIS User Community

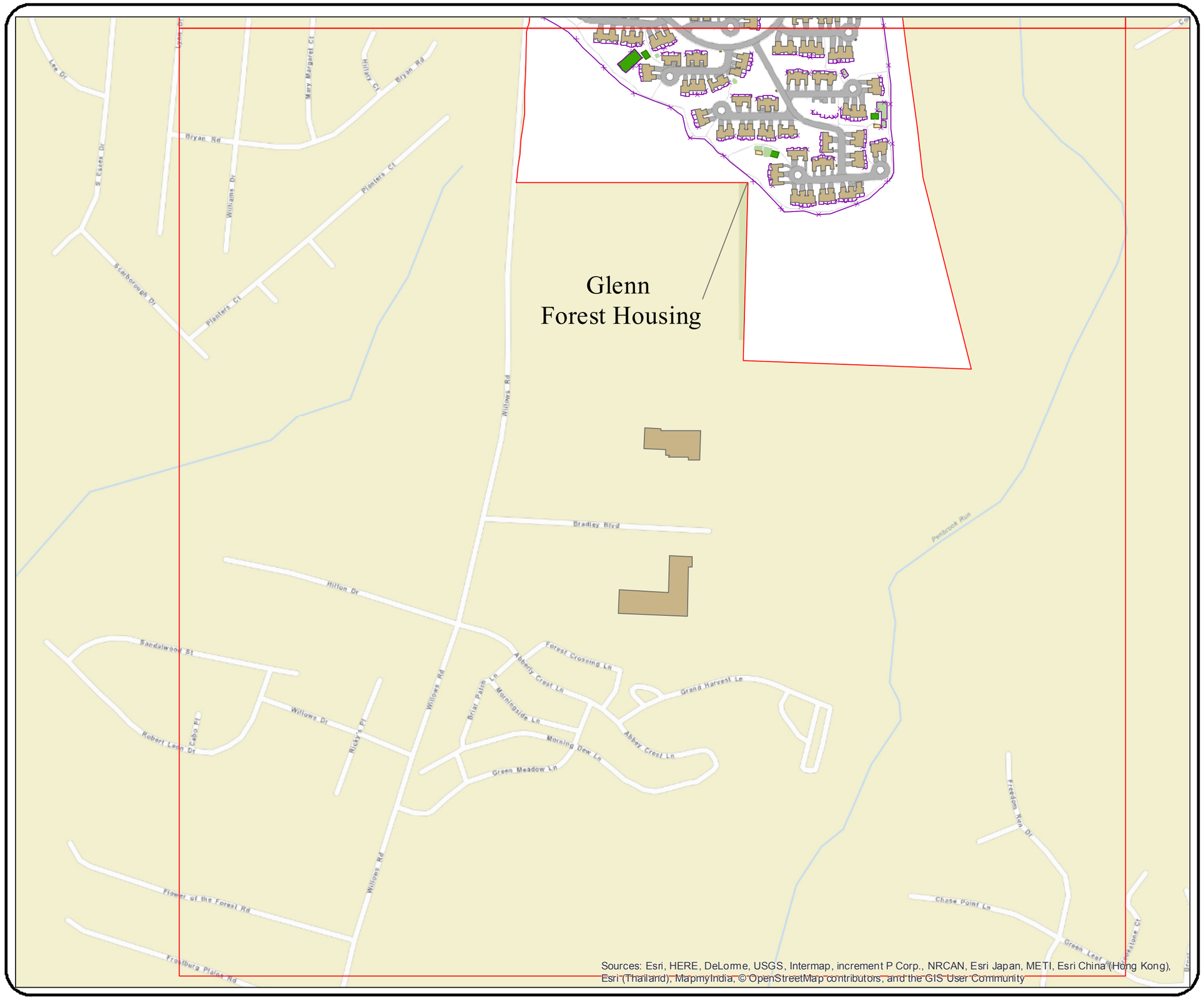

Sources: Esri, HERE, DeLorme, USGS, Intermap, increment P Corp., NRCAN, Esri Japan, METI, Esri China (Hong Kong), Esri (Thailand), MapmyIndia, © OpenStreetMap contributors, and the GIS User Community

NAS Patuxent River

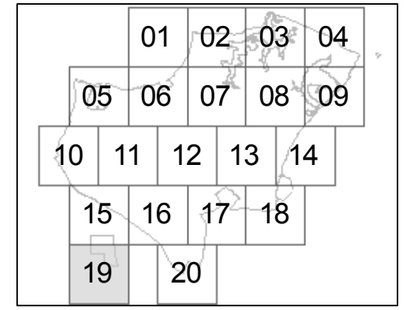

Legend

- Site Access Gate
- Tower Point
- Matchline
- Building
- Canopy / Pavilion
- Other Structure
- Storage
- Bleacher
- Slab / Loading Dock
- Fence
- Wall
- Recreation Trail
- Sidewalk
- Paved Road
- Unpaved Road
- Mooring Area
- Bridge
- Airfield Surface Marking
- Airfield Pavement
- Dam
- Playground
- Recreation Area
- Swimming
- Golf Course Feature
- Golf Course
- Campground
- Shoreline Armoring
- Lake / Pond
- Stream / Creek
- Installation

Background Web Service:
ESRI ArcGIS OnLine - World_Street_Map

Naval Facilities Engineering Command

NAVFAC Washington GeoReadiness Center
(301) 757-1090

Map Publication Date: November 2015

Grid: State Plane (Feet),
Geographic (Lat/Long)
Coordinate System:
State Plane Maryland 1900
Datum: NAD 1983
Map Units: Feet

N W E S

0 12.525 50 75 100 Meters

0 62.5 125 250 375 500 Feet

This map is for reference only. Although every effort has been made to ensure the accuracy of information, errors and conditions originating from physical sources used to develop the database may be reflected on this map. The USN & NAVFAC C ptnal not be liable for any errors, omissions, or damage that results from inappropriate use of this document.

This material is For Official Use Only. Unauthorized reproduction, distribution, publication, or exhibition of this material is STRICTLY PROHIBITED. Destroy as "For Official Use Only".

FOR OFFICIAL USE ONLY

NAS Patuxent River

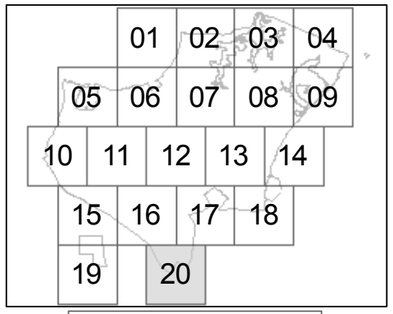

Legend

- Site Access Gate
- Matchline
- Building
- Canopy / Pavilion
- Other Structure
- Storage
- Bleacher
- Slab / Loading Dock
- Tower Point
- Fence
- Wall
- Recreation Trail
- Sidewalk
- Paved Road
- Unpaved Road
- Bridge
- Airfield Surface Marking
- Airfield Pavement
- Playground
- Recreation Area
- Swimming
- Golf Course Feature
- Golf Course
- Mooring Area
- Shoreline Armoring
- Stream / Creek
- Lake / Pond
- Installation

Background Web Service:
ESRI ArcGIS OnLine - World_Street_Map

Naval Facilities Engineering Command

NAVFAC Washington GeoReadiness Center
(301) 757-1090

Map Publication Date: November 2015

Grid: State Plane (Feet),
Geographic (Lat/Long)
Coordinate System:
State Plane Maryland 1900
Datum: NAD 1983
Map Units: Feet

N W E S

0 12.525 50 75 100 Meters

0 62.5 125 250 375 500 Feet

This map is for reference only. Although every effort has been made to ensure the accuracy of information, errors and conditions originating from physical sources used to develop the database may be reflected on this map. The USN & NAVFAC shall not be liable for any errors, omissions, or damage that results from inappropriate use of this document.

This material is For Official Use Only. Unauthorized reproduction, distribution, publication, or exhibition of this material is STRICTLY PROHIBITED. Destroy as "For Official Use Only".

FOR OFFICIAL USE ONLY

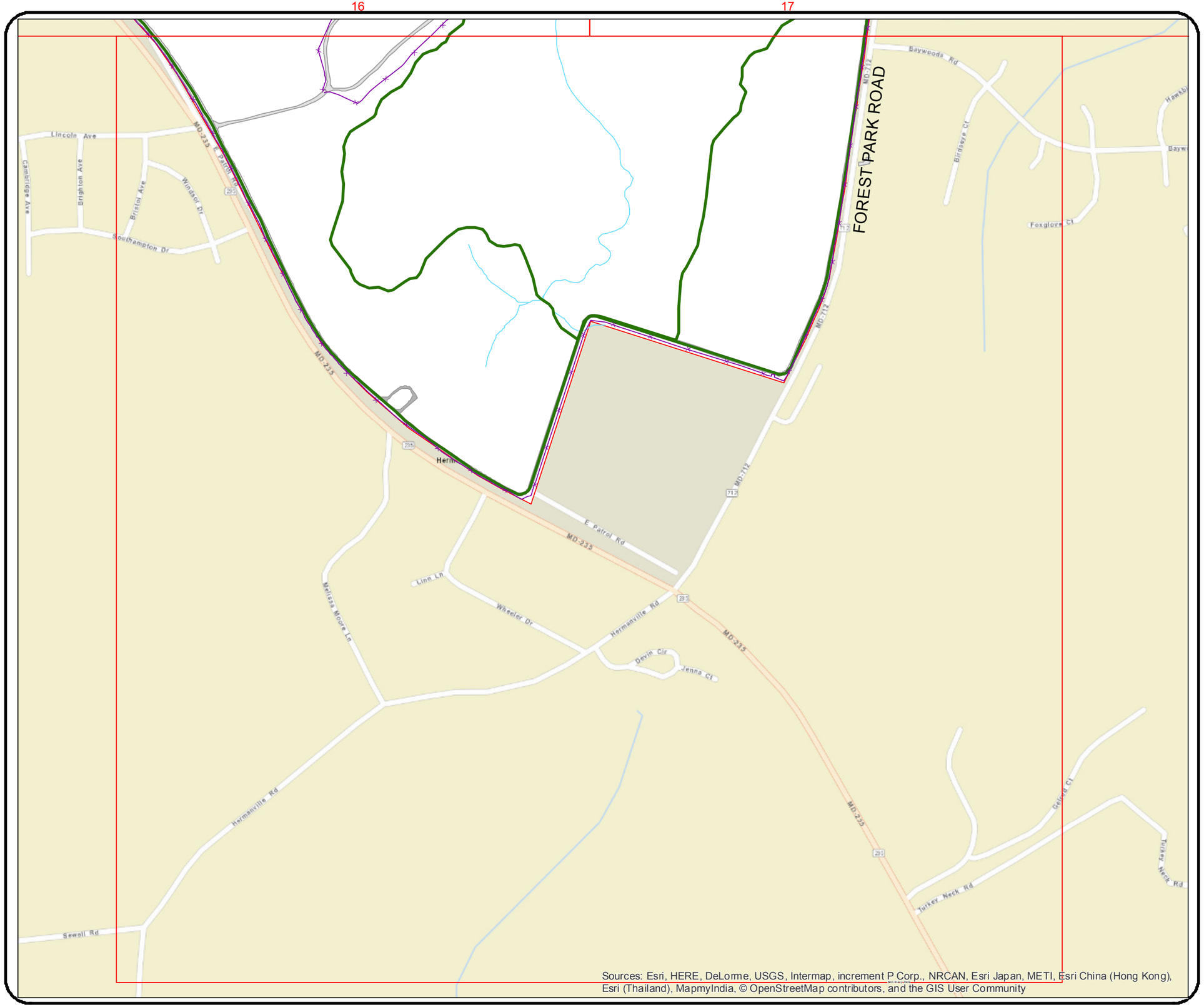

Sources: Esri, HERE, DeLorme, USGS, Intermap, increment P Corp., NRCAN, Esri Japan, METI, Esri China (Hong Kong), Esri (Thailand), MapmyIndia, © OpenStreetMap contributors, and the GIS User Community