TENTATIVE

BOS CONTRACT - SIGONELLA
GROUNDS MAINTENANCE INDEX MAP

NAS II & WELLS, WEAPONS, NAS I & WELLS & MARINAI & TRANSMITTER SITE (NISCEMI)

Updated 18 February 2025

NAS I & WELLS			
Type	**Square Feet**	**Square Meters**	**Acres**
Improved Areas (BUMED Improved Area, Gravel Bed and Xeriscape Area, Housing Improved Area, Improved Area, & Prestige Area)	580,606.37	53,940.31	13.33
Operational Areas (BUMED Unimproved Area, Semi-Improved Area & Unimproved)	485,260.25	45,082.33	11.14
Storm Drain/Stormwater Open Channel	5,406.25	502.26	0.12

NAS II, WELLS, WEAPONS & MARINAI			
Type	**Square Feet**	**Square Meters**	**Acres**
Improved Areas (Gravel Bed and Xeriscape Area, Improved Area, Improved Grass, NAVFAC Improved Area, Prestige (Hedges) & Prestige Area)	1,373,330.70	127,587.11	31.53
Operational Areas (Semi-Improved Area & Unimproved Area)	6,631,815.93	616,118.32	152.25
Storm Drain/Stormwater Open Channel	153,487.28	14,259.49	3.52

TRANSMITTER SITE (NISCEMI)			
Type	**Square Feet**	**Square Meters**	**Acres**
Storm Drain/Stormwater Open Channel	10,891.01	1,011.81	0.25

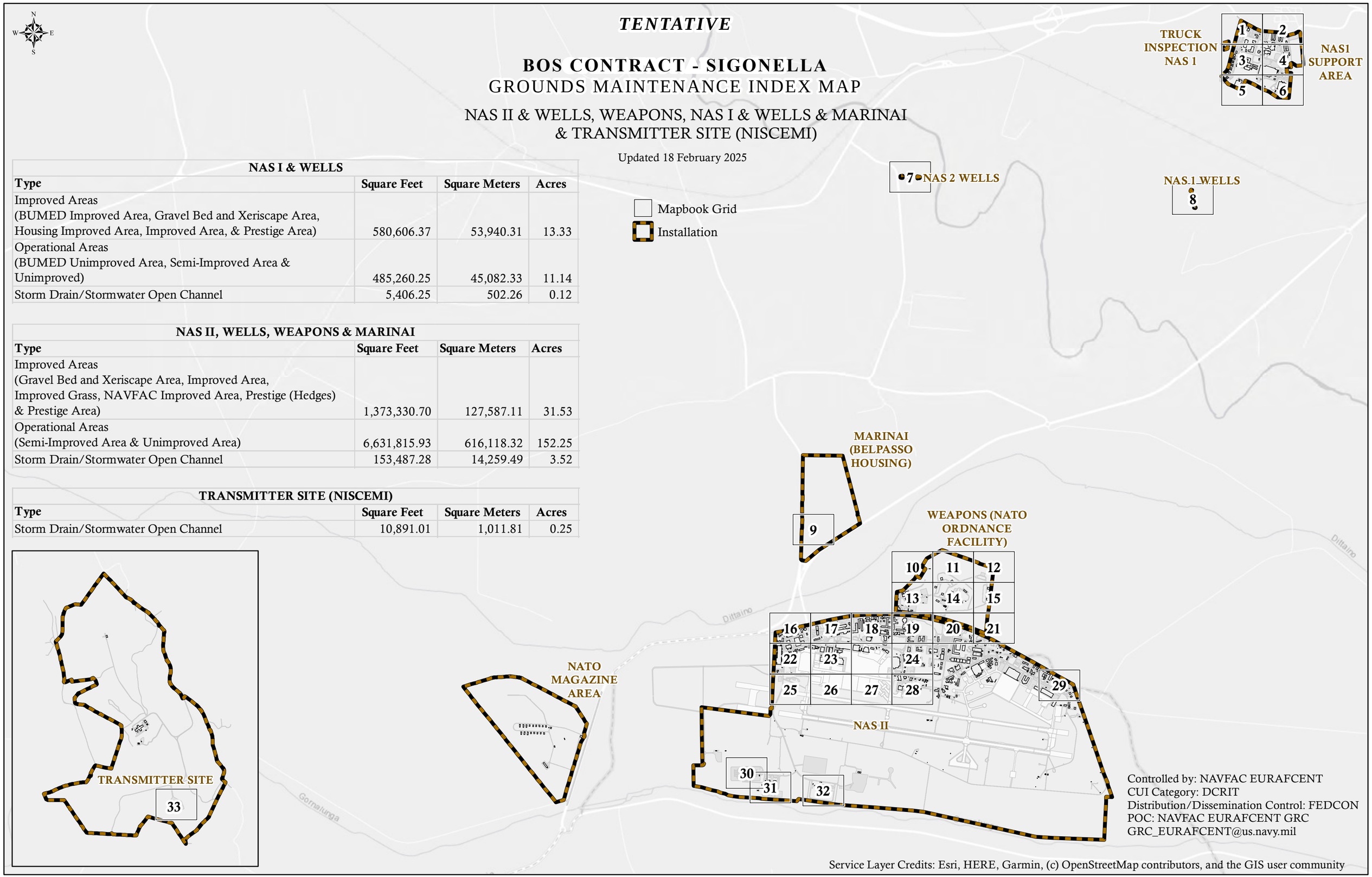

Controlled by: NAVFAC EURAFCENT
CUI Category: DCRIT
Distribution/Dissemination Control: FEDCON
POC: NAVFAC EURAFCENT GRC
GRC_EURAFCENT@us.navy.mil

Service Layer Credits: Esri, HERE, Garmin, (c) OpenStreetMap contributors, and the GIS user community

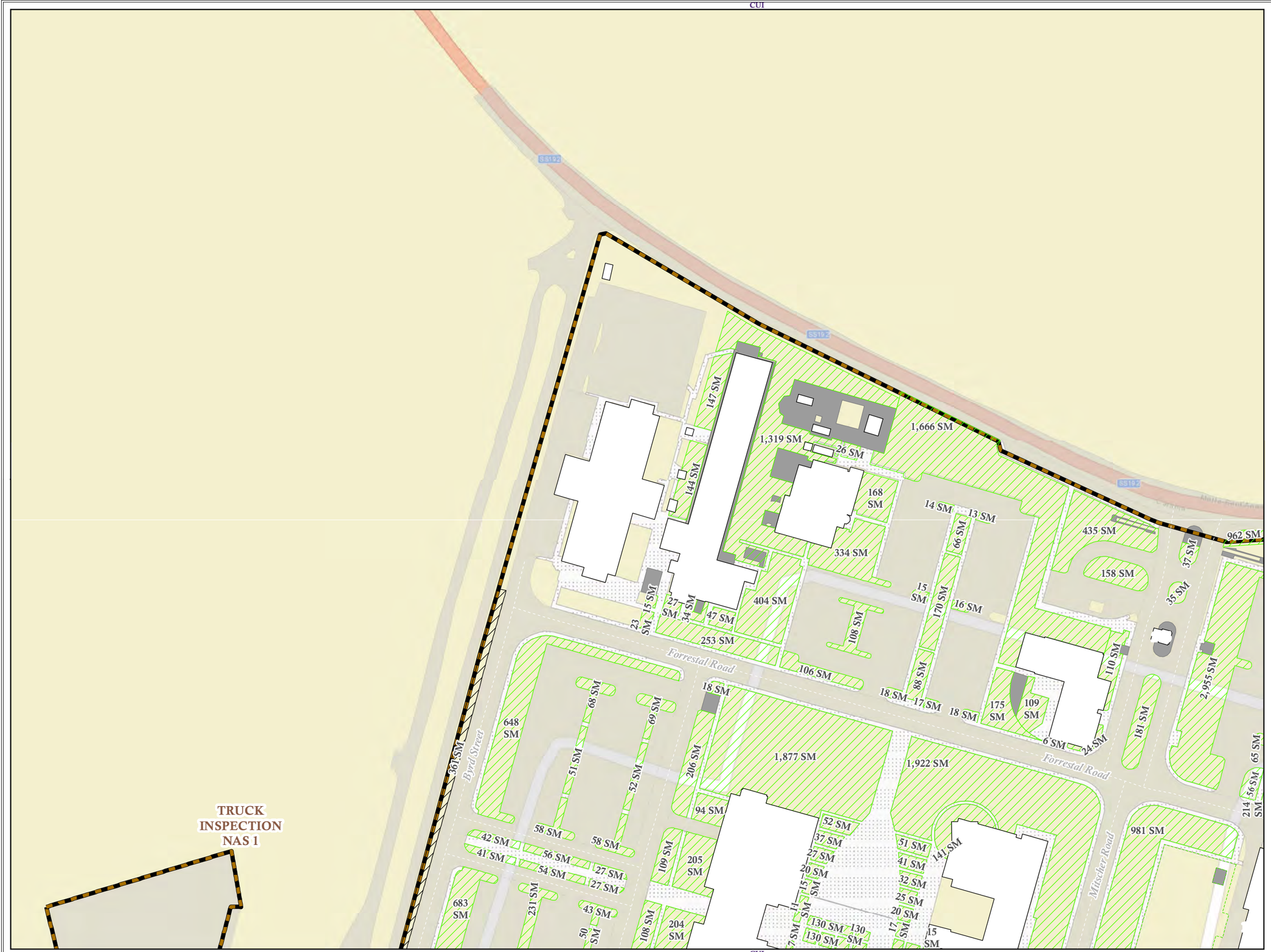

GROUNDS MAINTENANCE

Grounds Maintenance data modified on 31 Dec 2024 based on J-1503050-05 Attachment Grounds Inventories & Site Maps mod A00003 Sep 2021, mod A0015 Sep 2023, and ep#1809285_B3873 Dec 2023.

NAS I

- Improved Areas (87)
- Operational Areas (1)
- Building Area
- Installation Area
- Recreation Area
- Road Section
- Sidewalk
- Structure Area
- Storage Tank Area

Projection:	Map Date:	Scale:
WGS 1984 UTM Zone 33N	18 Feb 2025	1:1,200

Sheet Size: 11" x 17" Tabloid

Meters: 0 10 20 30

Feet: 0 50 100

NAS SIGONELLA

This map and data contained herein is Controlled Unclassified Information. All data shown is considered CUI. Reproduction, distribution, publication, or exhibition of this data is strictly prohibited without the written consent of the Command Navy Region Europe, Africa, Central GeoReadiness Center (EURAFCENT GRC). The EURAFCENT GRC does not attest to or guarantee the currency and/or validity of the data contained in this map, nor does it attest of any spatial accuracy. This map is for planning purposes only.

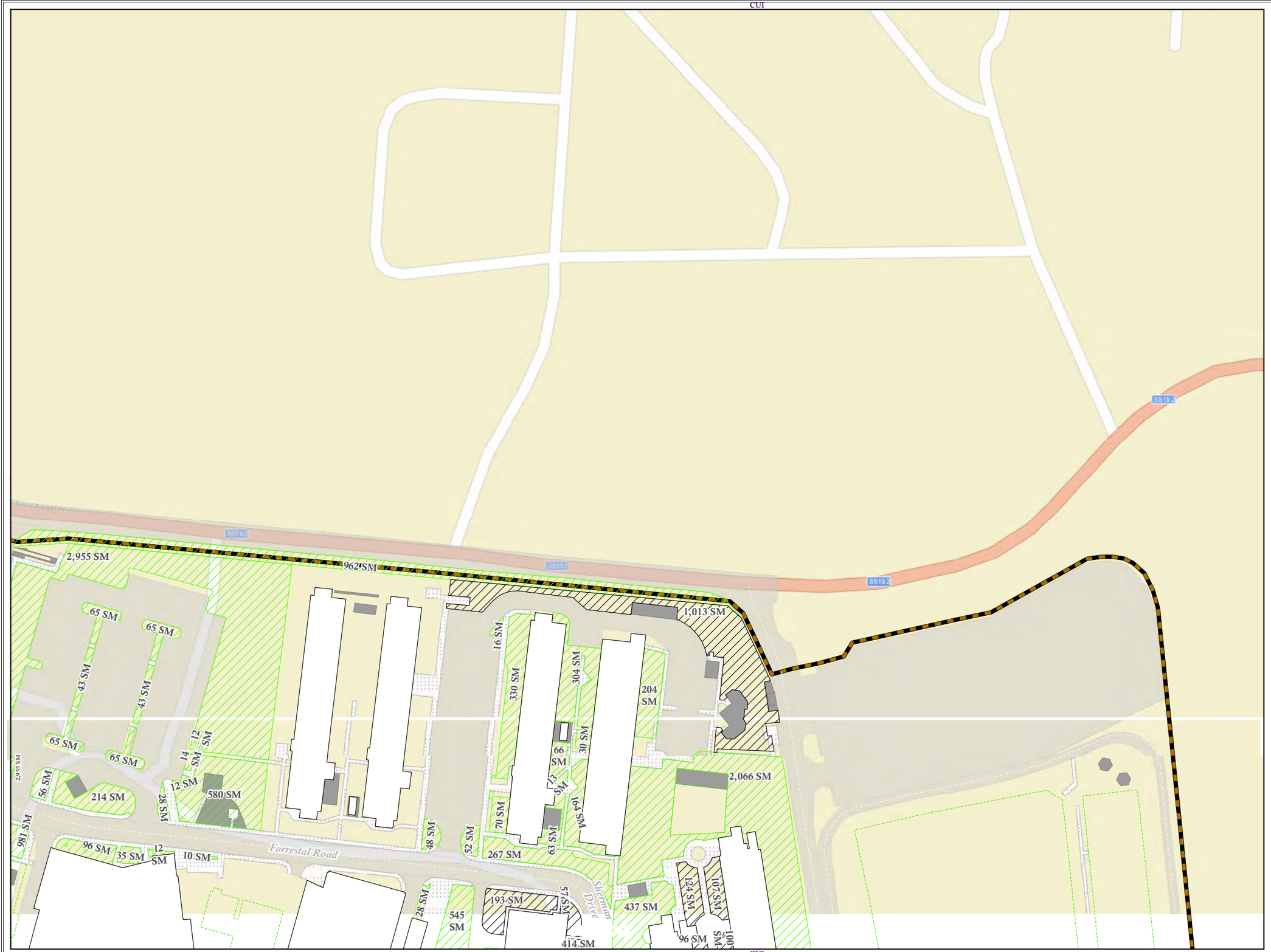

GROUNDS MAINTENANCE

Grounds Maintenance data modified on 31 Dec 2024 based on J-1503050-05 Attachment Grounds Inventories & Site Maps mod A00003 Sep 2021, mod A0015 Sep 2023, and ep#1809285_B3873 Dec 2023.

NAS I

- Improved Areas (37)
- Operational Areas (8)
- Building Area
- Installation Area
- Recreation Area
- Road Section
- Sidewalk
- Structure Area

Projection:	Map Date:	Scale:
WGS 1984 UTM Zone 33N	18 Feb 2025	1:1,200

Sheet Size: 11" x 17" Tabloid

0 10 20 30 Meters

0 50 100 Feet

NAS SIGONELLA

This map and data contained herein is Controlled Unclassified Information. All data shown is considered CUI. Reproduction, distribution, publication, or exhibition of this data is strictly prohibited without the written consent of the Command Navy Region Europe, Africa, Central GeoReadiness Center (EURAFCENT GRC). The EURAFCENT GRC does not attest to or guarantee the currency and/or validity of the data contained in this map, nor does it attest of any spatial accuracy. This map is for planning purposes only.

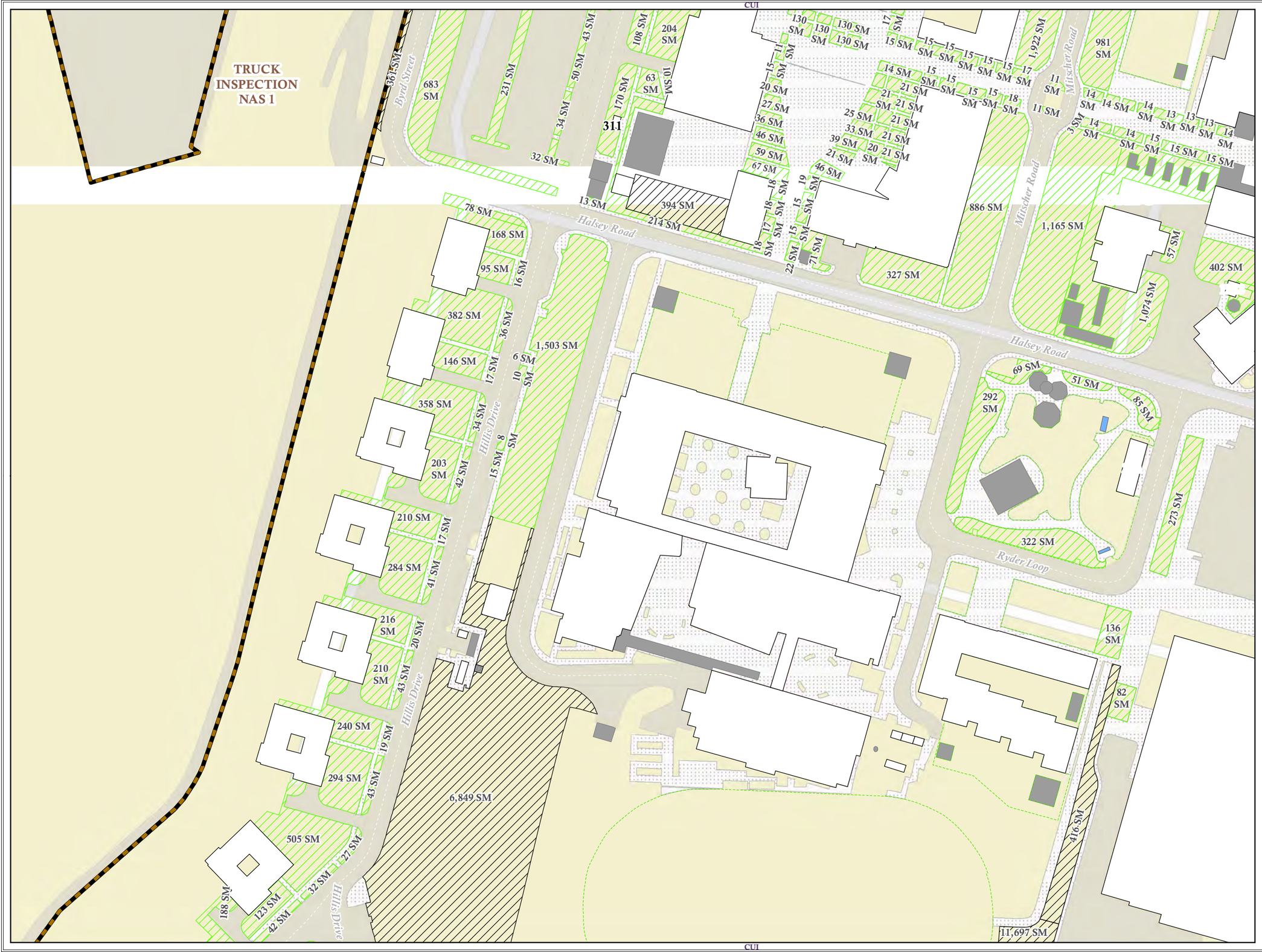

GROUNDS MAINTENANCE

Grounds Maintenance data modified on 31 Dec 2024 based on J-1503050-05 Attachment Grounds Inventories & Site Maps mod A00003 Sep 2021, mod A0015 Sep 2023, and ep#1809285_B3873 Dec 2023.

NAS I

- Improved Areas (147)
- Operational Areas (5)
- Building Area
- Installation Area
- Recreation Area
- Road Section
- Sidewalk
- Structure Area
- Storage Tank Area
- Water Storage Structure Area (3)

Projection:	Map Date:	Scale:
WGS 1984 UTM Zone 33N	18 Feb 2025	1:1,200

Sheet Size: 11" x 17" Tabloid

0 10 20 30 Meters

0 50 100 Feet

N W E S

NAS SIGONELLA

This map and data contained herein is Controlled Unclassified Information. All data shown is considered CUI. Reproduction, distribution, publication, or exhibition of this data is strictly prohibited without the written consent of the Command Navy Region Europe, Africa, Central GeoReadiness Center (EURAFCENT GRC). The EURAFCENT GRC does not attest to or guarantee the currency and/or validity of the data contained in this map, nor does it attest of any spatial accuracy. This map is for planning purposes only.

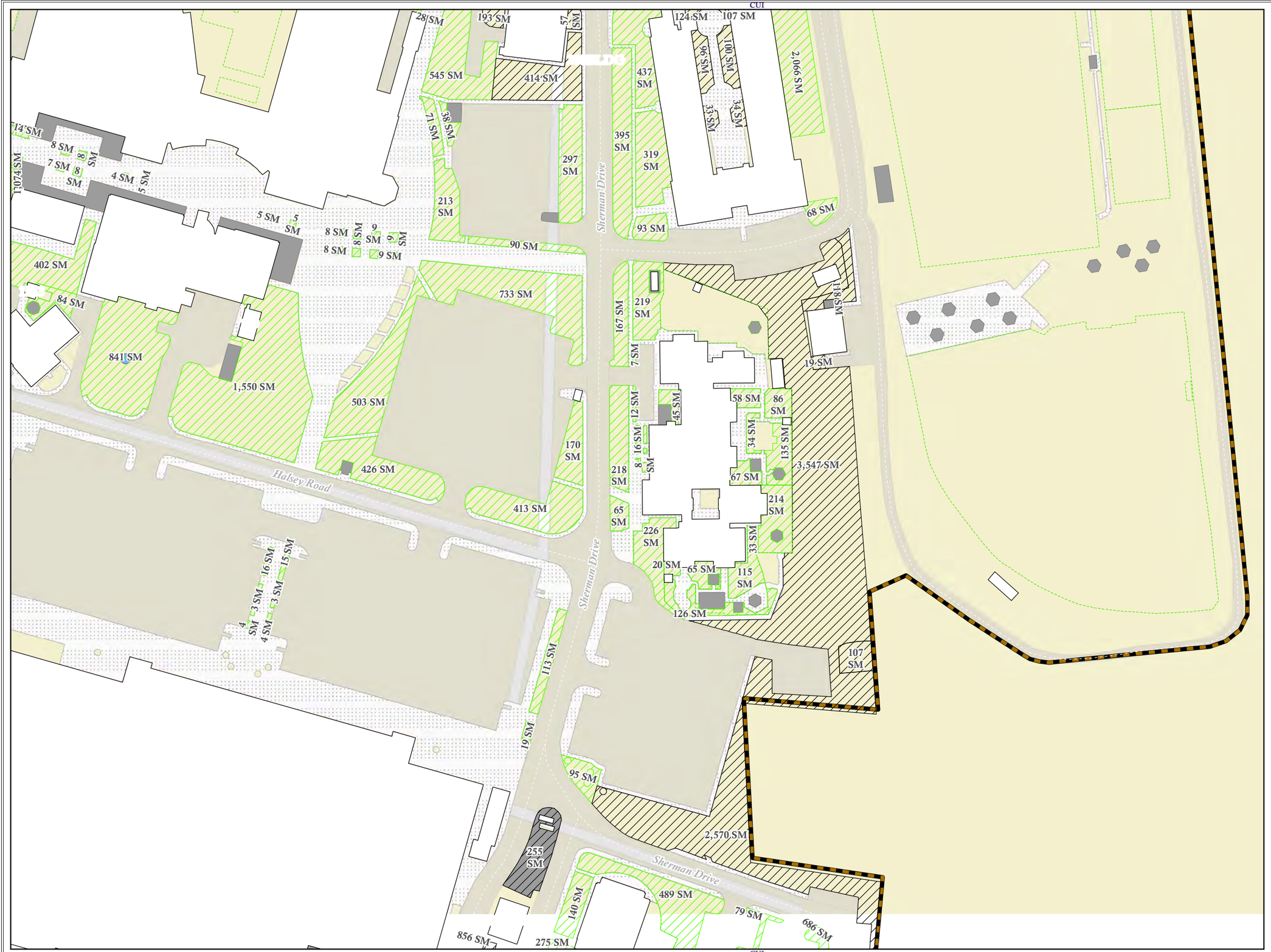

GROUNDS MAINTENANCE

Grounds Maintenance data modified on 31 Dec 2024 based on J-1503050-05 Attachment Grounds Inventories & Site Maps mod A00003 Sep 2021, mod A0015 Sep 2023, and ep#1809285_B3873 Dec 2023.

NAS I

- Improved Areas (83)
- Operational Areas (16)
- Building Area
- Installation Area
- Recreation Area
- Road Section
- Sidewalk
- Structure Area
- Storage Tank Area
- Water Storage Structure Area (1)

Projection:	Map Date:	Scale:
WGS 1984 UTM Zone 33N	18 Feb 2025	1:1,200

Sheet Size: 11" x 17" Tabloid

0 10 20 30 Meters

0 50 100 Feet

N W E S

NAVFAC EURAFCENT

NAS SIGONELLA

This map and data contained herein is Controlled Unclassified Information. All data shown is considered CUI. Reproduction, distribution, publication, or exhibition of this data is strictly prohibited without the written consent of the Command Navy Region Europe, Africa, Central GeoReadiness Center (EURAFCENT GRC). The EURAFCENT GRC does not attest to or guarantee the currency and/or validity of the data contained in this map, nor does it attest of any spatial accuracy. This map is for planning purposes only.

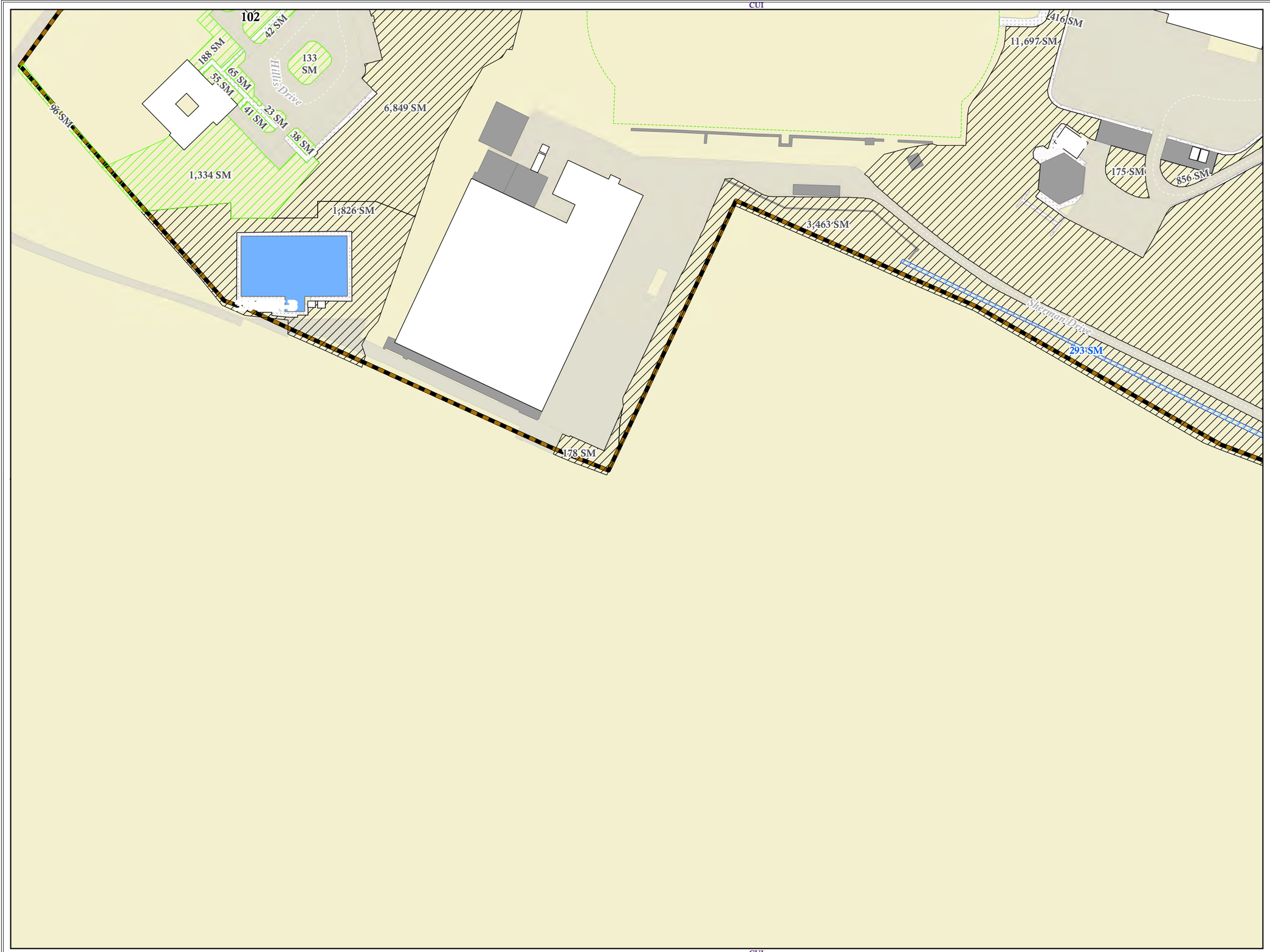

GROUNDS MAINTENANCE

Grounds Maintenance data modified on 31 Dec 2024 based on J-1503050-05 Attachment Grounds Inventories & Site Maps mod A00003 Sep 2021, mod A0015 Sep 2023, and ep#1809285_B3873 Dec 2023.

NAS I

- Improved Areas (11)
- Operational Areas (8)
- Building Area
- Installation Area
- Recreation Area
- Road Section
- Sidewalk
- Structure Area
- Stormwater Open Channel Area (1)
- Water Storage Structure Area (1)

Projection:	Map Date:	Scale:
WGS 1984 UTM Zone 33N	18 Feb 2025	1:1,200

Sheet Size: 11" x 17" Tabloid

0 10 20 30 Meters

0 50 100 Feet

N W E S

NAS SIGONELLA

This map and data contained herein is Controlled Unclassified Information. All data shown is considered CUI. Reproduction, distribution, publication, or exhibition of this data is strictly prohibited without the written consent of the Command Navy Region Europe, Africa, Central GeoReadiness Center (EURAFCENT GRC). The EURAFCENT GRC does not attest to or guarantee the currency and/or validity of the data contained in this map, nor does it attest of any spatial accuracy. This map is for planning purposes only.

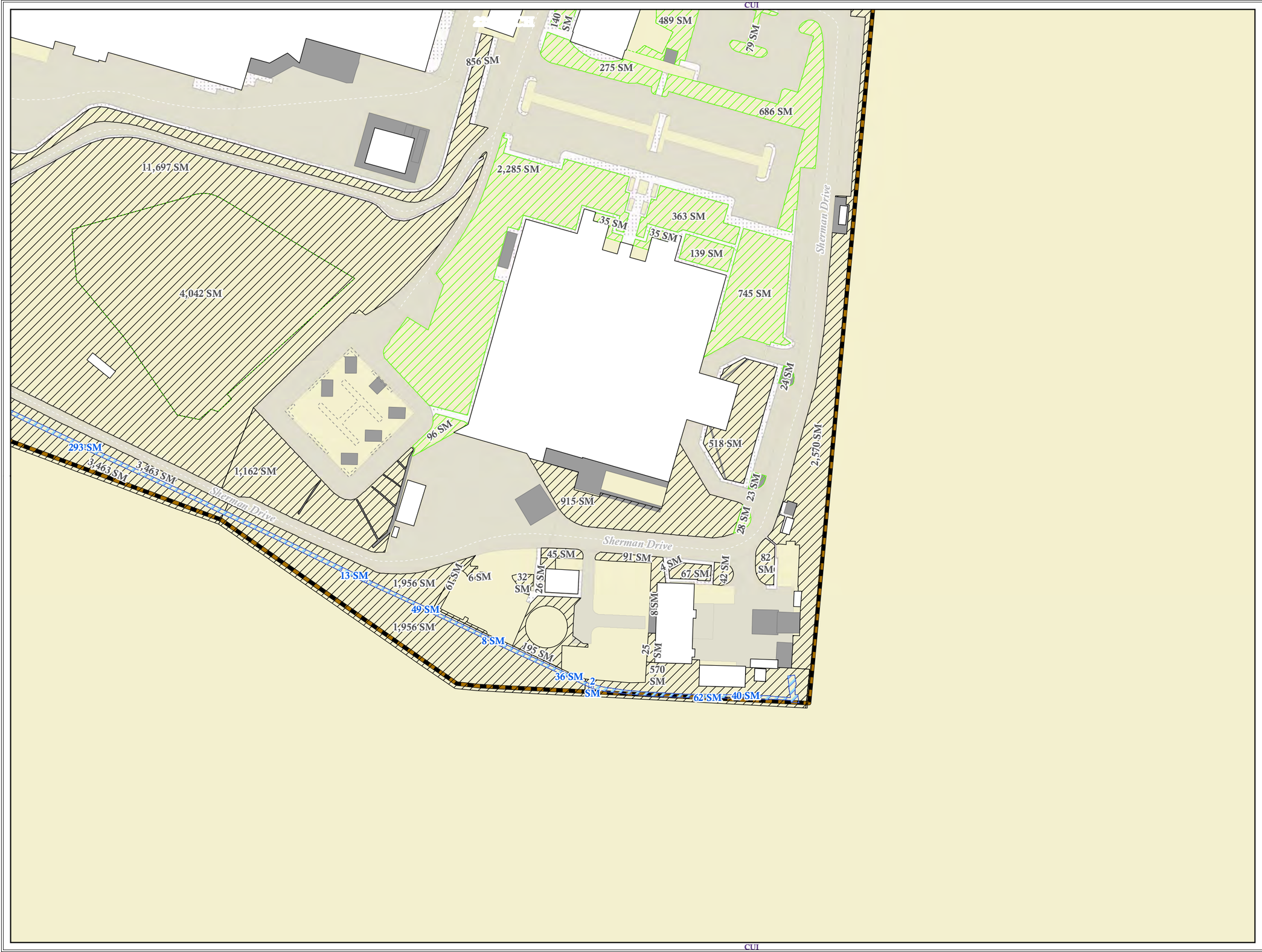

GROUNDS MAINTENANCE

Grounds Maintenance data modified on 31 Dec 2024 based on J-1503050-05 Attachment Grounds Inventories & Site Maps mod A00003 Sep 2021, mod A0015 Sep 2023, and ep#1809285_B3873 Dec 2023.

NAS I

- Improved Areas (15)
- Operational Areas (23)
- Building Area
- Installation Area
- Recreation Area
- Road Section
- Sidewalk
- Structure Area
- Storage Tank Area
- Airfield Marking Line
- Stormwater Open Channel Area (8)

Projection:	Map Date:	Scale:
WGS 1984 UTM Zone 33N	18 Feb 2025	1:1,200

Sheet Size: 11" x 17" Tabloid

0 10 20 30 Meters

0 50 100 Feet

N W E S

NAS SIGONELLA

This map and data contained herein is Controlled Unclassified Information. All data shown is considered CUI. Reproduction, distribution, publication, or exhibition of this data is strictly prohibited without the written consent of the Command Navy Region Europe, Africa, Central GeoReadiness Center (EURAFCENT GRC). The EURAFCENT GRC does not attest to or guarantee the currency and/or validity of the data contained in this map, nor does it attest of any spatial accuracy. This map is for planning purposes only.

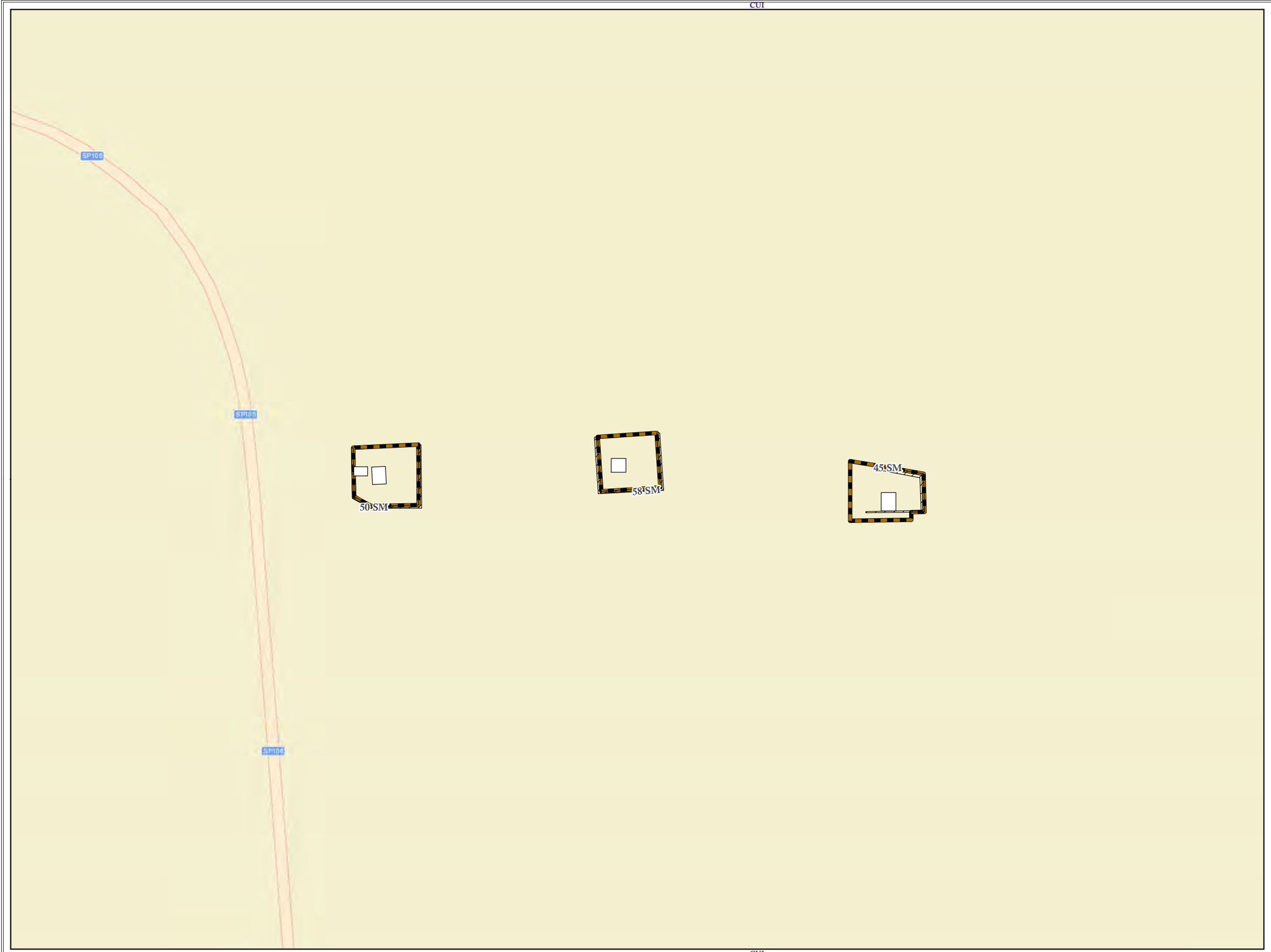

GROUNDS MAINTENANCE

Grounds Maintenance data modified on 31 Dec 2024 based on J-1503050-05 Attachment Grounds Inventories & Site Maps mod A00003 Sep 2021, mod A0015 Sep 2023, and ep#1809285_B3873 Dec 2023.

NAS II Wells

- Improved Areas (0)
- Operational Areas (3)
- Building Area
- Installation Area

Projection:	Map Date:	Scale:
WGS 1984 UTM Zone 33N	18 Feb 2025	1:1,200

Sheet Size: 11" x 17" Tabloid

0 10 20 30 Meters

0 50 100 Feet

N W E S

NAS SIGONELLA

This map and data contained herein is Controlled Unclassified Information. All data shown is considered CUI. Reproduction, distribution, publication, or exhibition of this data is strictly prohibited without the written consent of the Command Navy Region Europe, Africa, Central GeoReadiness Center (EURAFCENT GRC). The EURAFCENT GRC does not attest to or guarantee the currency and/or validity of the data contained in this map, nor does it attest of any spatial accuracy. This map is for planning purposes only.

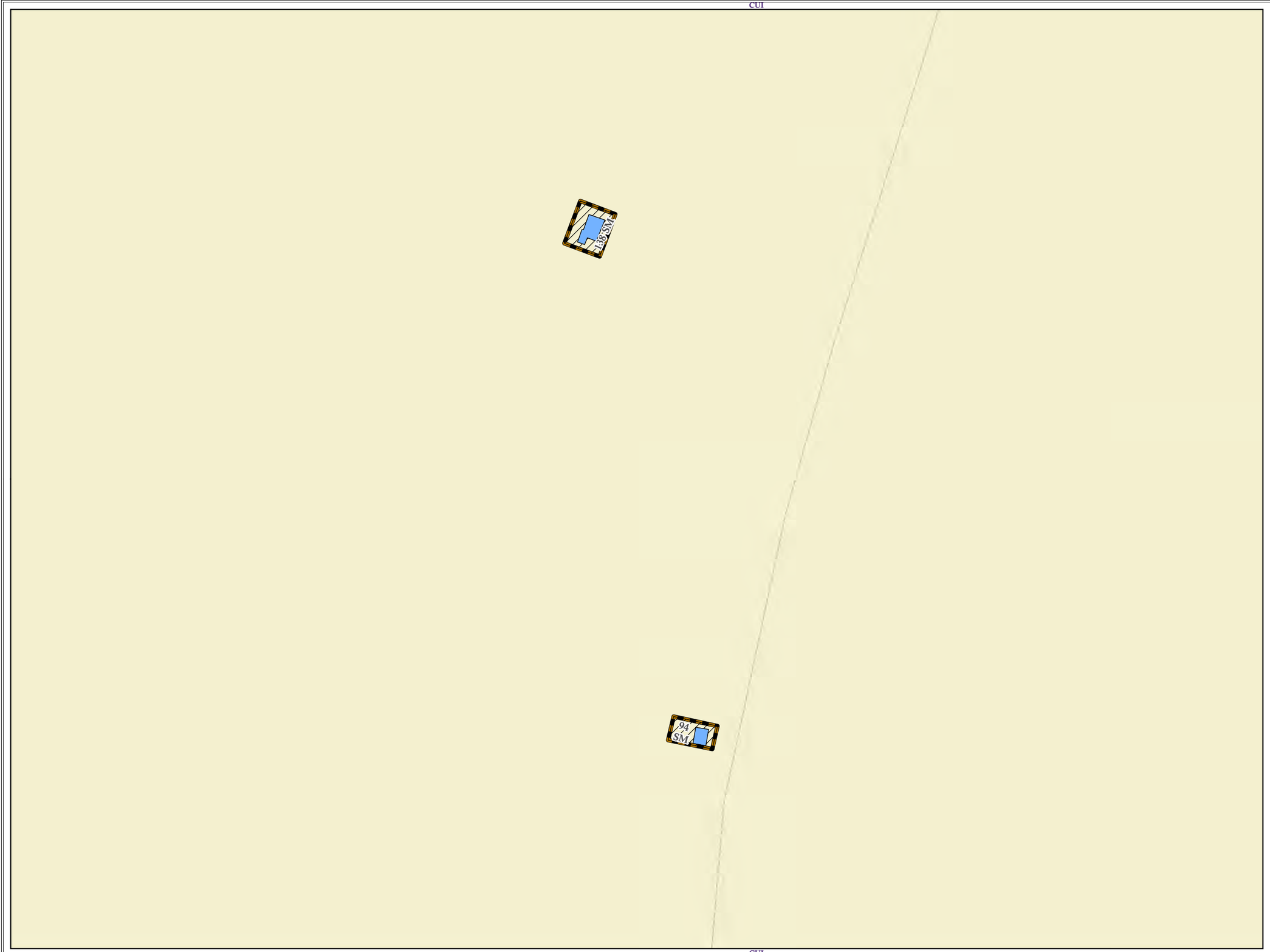

GROUNDS MAINTENANCE

Grounds Maintenance data modified on 31 Dec 2024 based on J-1503050-05 Attachment Grounds Inventories & Site Maps mod A00003 Sep 2021, mod A0015 Sep 2023, and ep#1809285_B3873 Dec 2023.

NAS I Wells

- Improved Areas (0)
- Operational Areas (2)
- Installation Area
- Water Storage Structure Area (2)

Projection:	Map Date:	Scale:
WGS 1984 UTM Zone 33N	18 Feb 2025	1:1,200

Sheet Size: 11" x 17" Tabloid

0 10 20 30 Meters

0 50 100 Feet

N W E S

NAS SIGONELLA

This map and data contained herein is Controlled Unclassified Information. All data shown is considered CUI. Reproduction, distribution, publication, or exhibition of this data is strictly prohibited without the written consent of the Command Navy Region Europe, Africa, Central GeoReadiness Center (EURAFCENT GRC). The EURAFCENT GRC does not attest to or guarantee the currency and/or validity of the data contained in this map, nor does it attest of any spatial accuracy. This map is for planning purposes only.

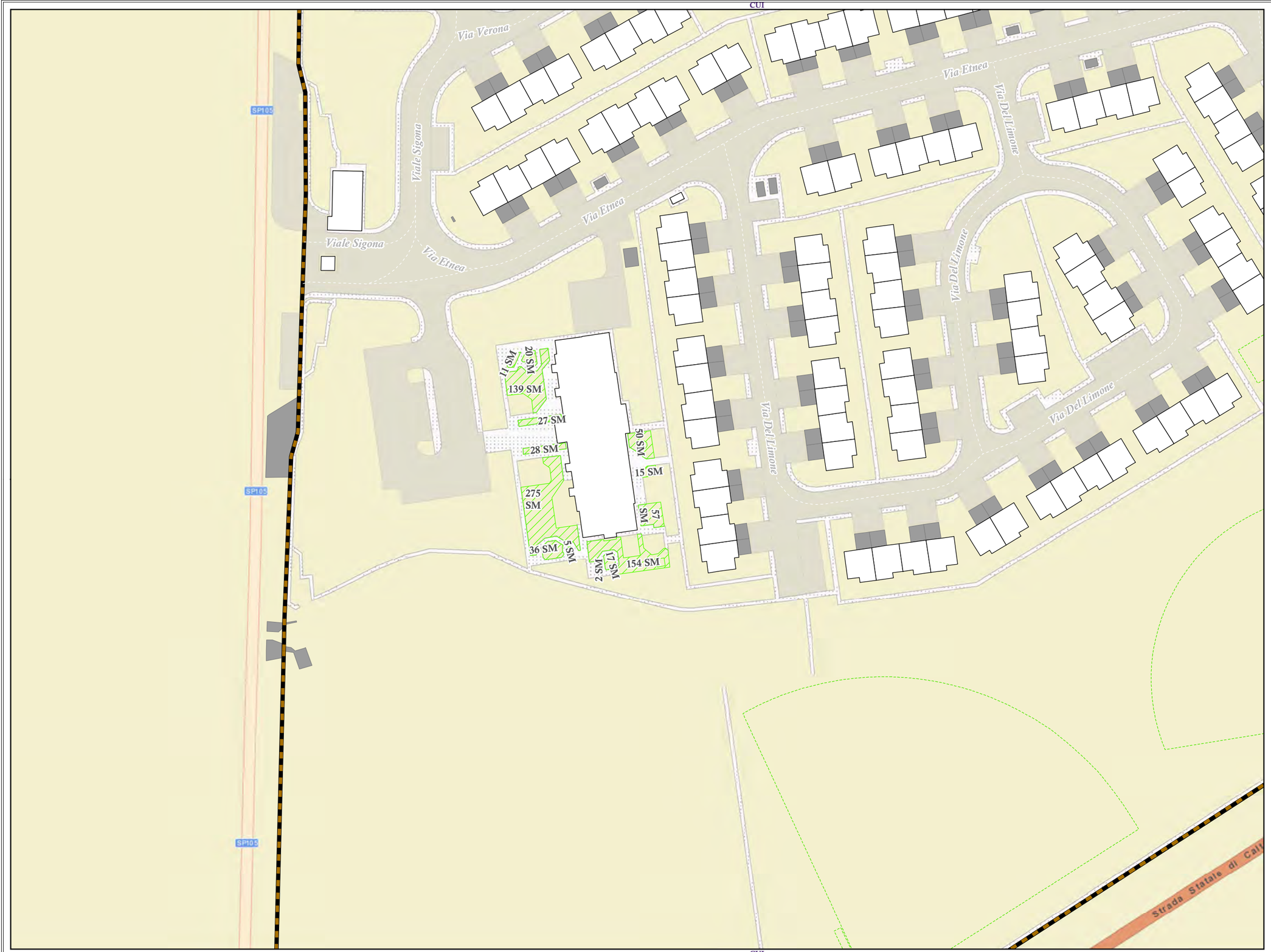

GROUNDS MAINTENANCE

Grounds Maintenance data modified on 31 Dec 2024 based on J-1503050-05 Attachment Grounds Inventories & Site Maps mod A00003 Sep 2021, mod A0015 Sep 2023, and ep#1809285_B3873 Dec 2023.

Marinai (Belpasso)

- Improved Areas (14)
- Operational Areas (0)
- Building Area
- Installation Area
- Recreation Area
- Road Section
- Sidewalk
- Structure Area

Projection:	Map Date:	Scale:
WGS 1984 UTM Zone 33N	18 Feb 2025	1:1,200

Sheet Size: 11" x 17" Tabloid

0 10 20 30 Meters

0 50 100 Feet

N W E S

NAS SIGONELLA

This map and data contained herein is Controlled Unclassified Information. All data shown is considered CUI. Reproduction, distribution, publication, or exhibition of this data is strictly prohibited without the written consent of the Command Navy Region Europe, Africa, Central GeoReadiness Center (EURAFCENT GRC). The EURAFCENT GRC does not attest to or guarantee the currency and/or validity of the data contained in this map, nor does it attest of any spatial accuracy. This map is for planning purposes only.

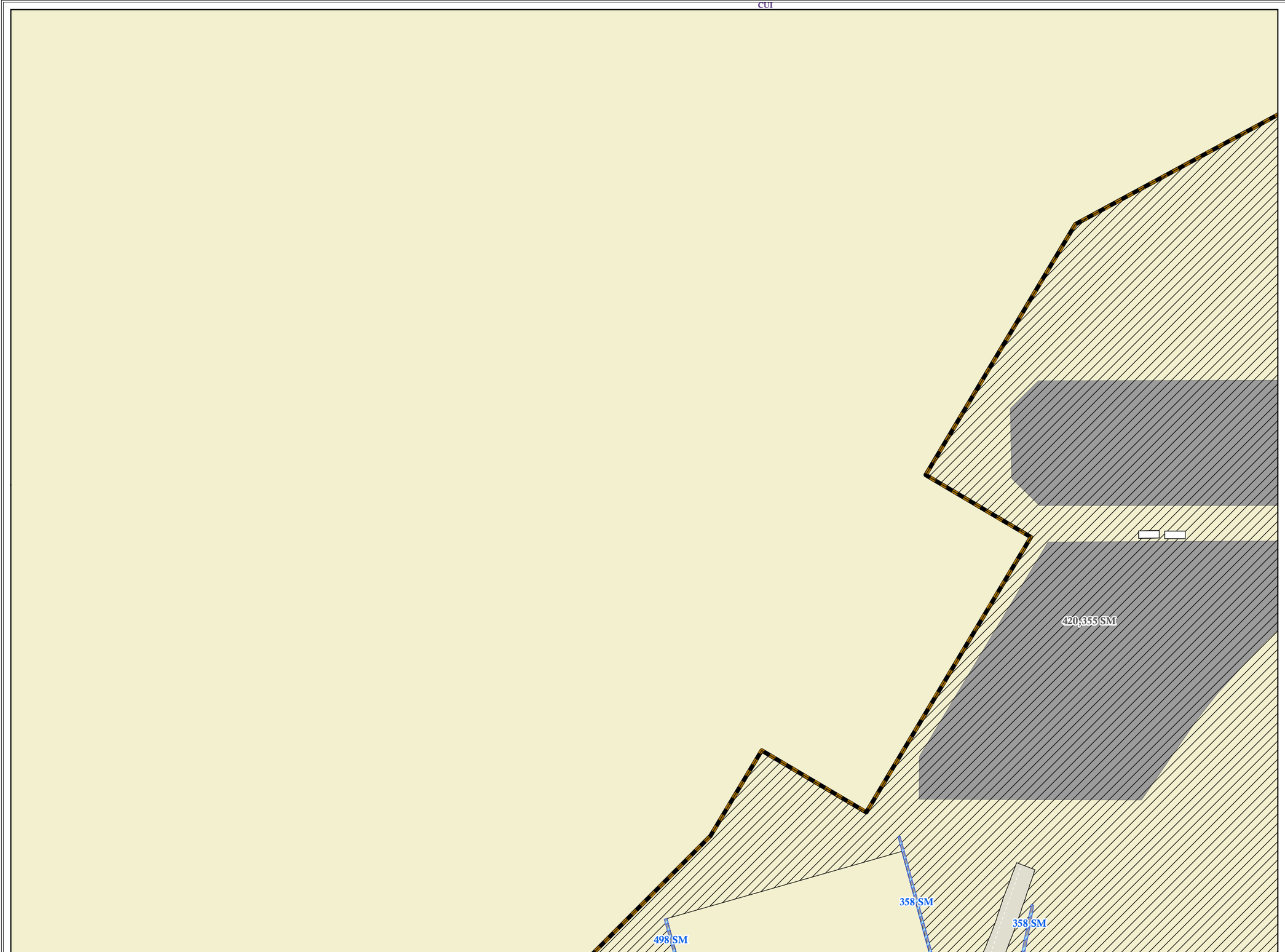

GROUNDS MAINTENANCE

Grounds Maintenance data modified on 31 Dec 2024 based on J-1503050-05 Attachment Grounds Inventories & Site Maps mod A00003 Sep 2021, mod A0015 Sep 2023, and ep#1809285_B3873 Dec 2023.

Weapons

- Improved Areas (0)
- Operational Areas (1)
- Building Area
- Installation Area
- Road Section
- Structure Area
- Stormwater Open Channel Area (2)

Projection:	Map Date:	Scale:
WGS 1984 UTM Zone 33N	18 Feb 2025	1:1,200

Sheet Size: 11" x 17" Tabloid

0 10 20 30 Meters

0 50 100 Feet

N W E S

NAS SIGONELLA

This map and data contained herein is Controlled Unclassified Information. All data shown is considered CUI. Reproduction, distribution, publication, or exhibition of this data is strictly prohibited without the written consent of the Command Navy Region Europe, Africa, Central GeoReadiness Center (EURAFCENT GRC). The EURAFCENT GRC does not attest to or guarantee the currency and/or validity of the data contained in this map, nor does it attest of any spatial accuracy. This map is for planning purposes only.

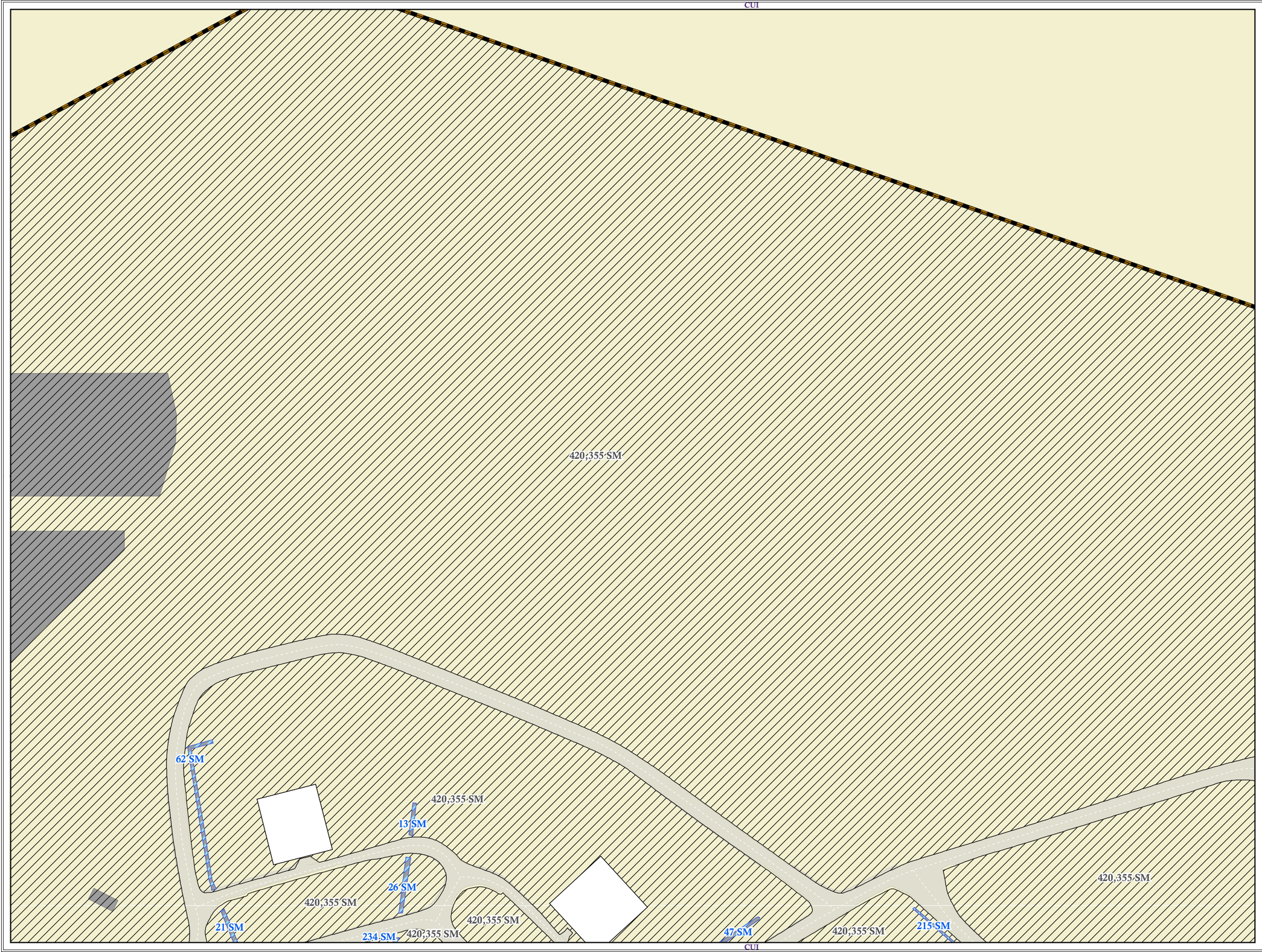

GROUNDS MAINTENANCE

Grounds Maintenance data modified on 31 Dec 2024 based on J-1503050-05 Attachment Grounds Inventories & Site Maps mod A00003 Sep 2021, mod A0015 Sep 2023, and ep#1809285_B3873 Dec 2023.

Weapons

- Improved Areas (0)
- Operational Areas (1)
- Building Area
- Installation Area
- Road Section
- Structure Area
- Stormwater Open Channel Area (7)

Projection:	Map Date:	Scale:
WGS 1984 UTM Zone 33N	18 Feb 2025	1:1,200

Sheet Size: 11" x 17" Tabloid

0 10 20 30 Meters

0 50 100 Feet

N W E S

NAS SIGONELLA

This map and data contained herein is Controlled Unclassified Information. All data shown is considered CUI. Reproduction, distribution, publication, or exhibition of this data is strictly prohibited without the written consent of the Command Navy Region Europe, Africa, Central GeoReadiness Center (EURAFCENT GRC). The EURAFCENT GRC does not attest to or guarantee the currency and/or validity of the data contained in this map, nor does it attest of any spatial accuracy. This map is for planning purposes only.

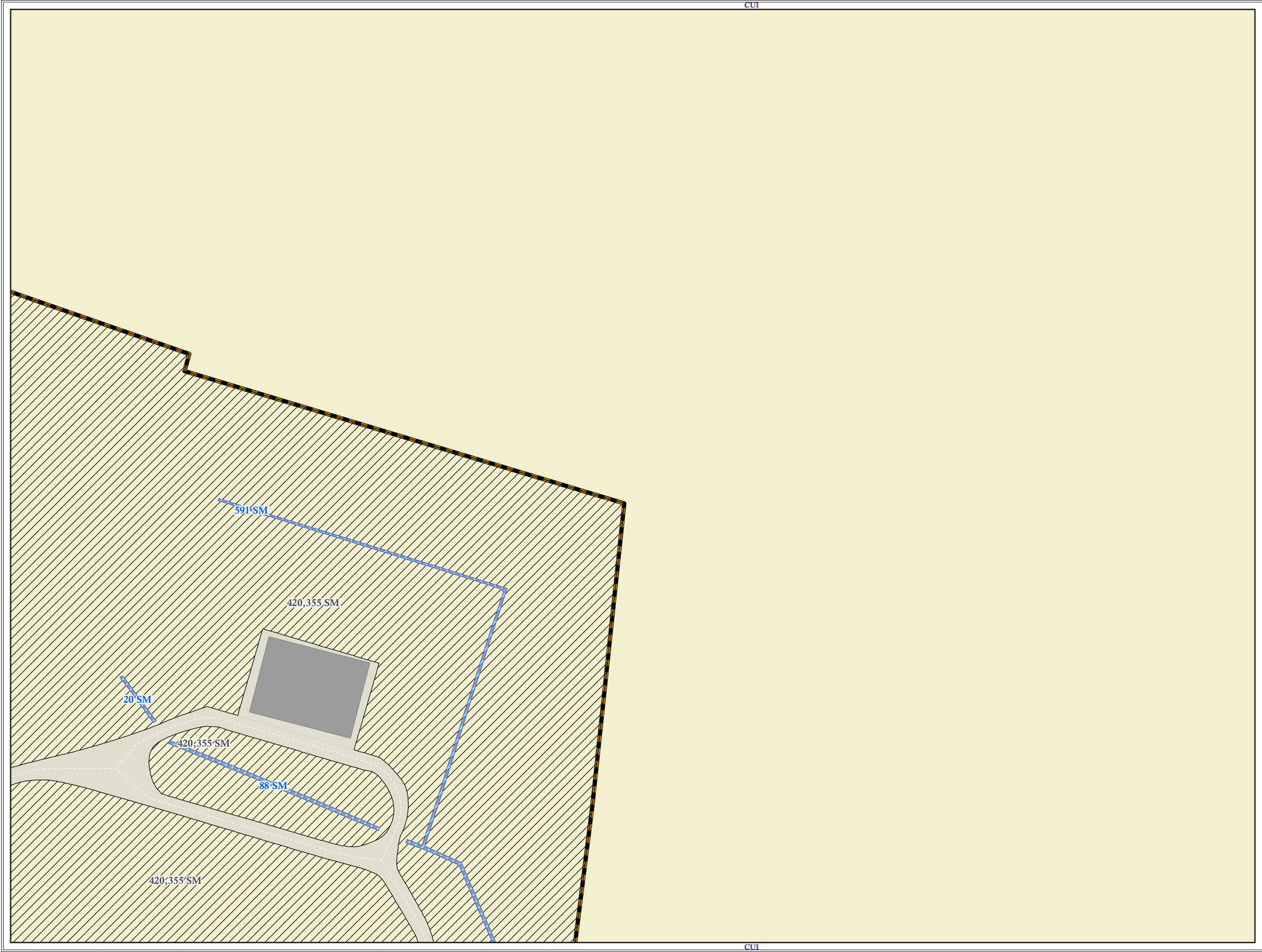

GROUNDS MAINTENANCE

Grounds Maintenance data modified on 31 Dec 2024 based on J-1503050-05 Attachment Grounds Inventories & Site Maps mod A00003 Sep 2021, mod A0015 Sep 2023, and ep#1809285_B3873 Dec 2023.

Weapons

- Improved Areas (0)
- Operational Areas (1)
- Installation Area
- Road Section
- Structure Area
- Stormwater Open Channel Area (3)

Projection:	Map Date:	Scale:
WGS 1984 UTM Zone 33N	18 Feb 2025	1:1,200

Sheet Size: 11" x 17" Tabloid

0 10 20 30 Meters

0 50 100 Feet

N W E S

NAS SIGONELLA

This map and data contained herein is Controlled Unclassified Information. All data shown is considered CUI. Reproduction, distribution, publication, or exhibition of this data is strictly prohibited without the written consent of the Command Navy Region Europe, Africa, Central GeoReadiness Center (EURAFCENT GRC). The EURAFCENT GRC does not attest to or guarantee the currency and/or validity of the data contained in this map, nor does it attest of any spatial accuracy. This map is for planning purposes only.

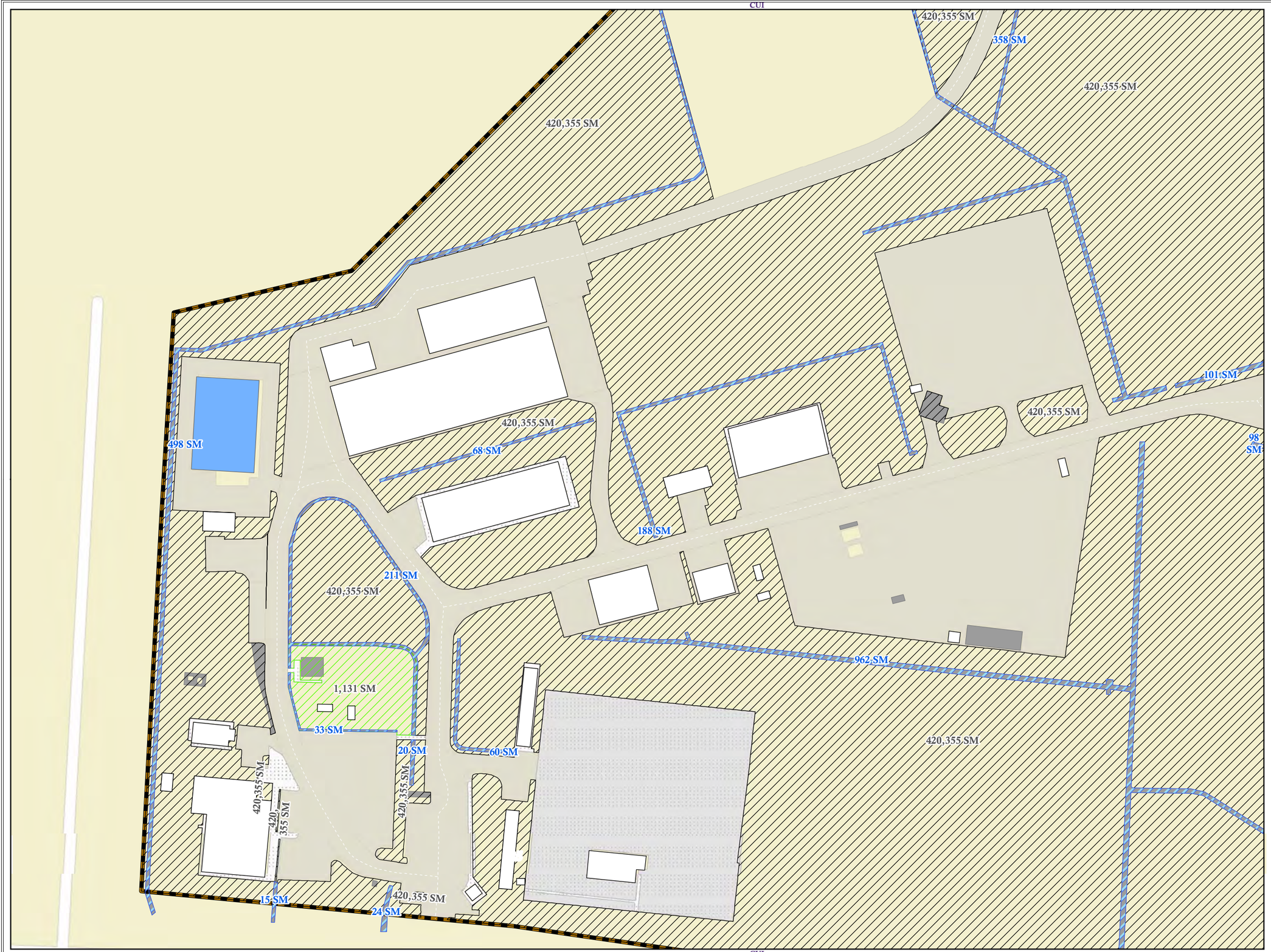

GROUNDS MAINTENANCE

Grounds Maintenance data modified on 31 Dec 2024 based on J-1503050-05 Attachment Grounds Inventories & Site Maps mod A00003 Sep 2021, mod A0015 Sep 2023, and ep#1809285_B3873 Dec 2023.

Weapons

- Improved Areas (1)
- Operational Areas (1)
- Building Area
- Installation Area
- Road Section
- Sidewalk
- Structure Area
- Stormwater Open Channel Area (13)
- Water Storage Structure Area (1)

Projection:	Map Date:	Scale:
WGS 1984 UTM Zone 33N	18 Feb 2025	1:1,200

Sheet Size: 11" x 17" Tabloid

0 10 20 30 Meters

0 50 100 Feet

N W E S

NAS SIGONELLA

This map and data contained herein is Controlled Unclassified Information. All data shown is considered CUI. Reproduction, distribution, publication, or exhibition of this data is strictly prohibited without the written consent of the Command Navy Region Europe, Africa, Central GeoReadiness Center (EURAFCENT GRC). The EURAFCENT GRC does not attest to or guarantee the currency and/or validity of the data contained in this map, nor does it attest of any spatial accuracy. This map is for planning purposes only.

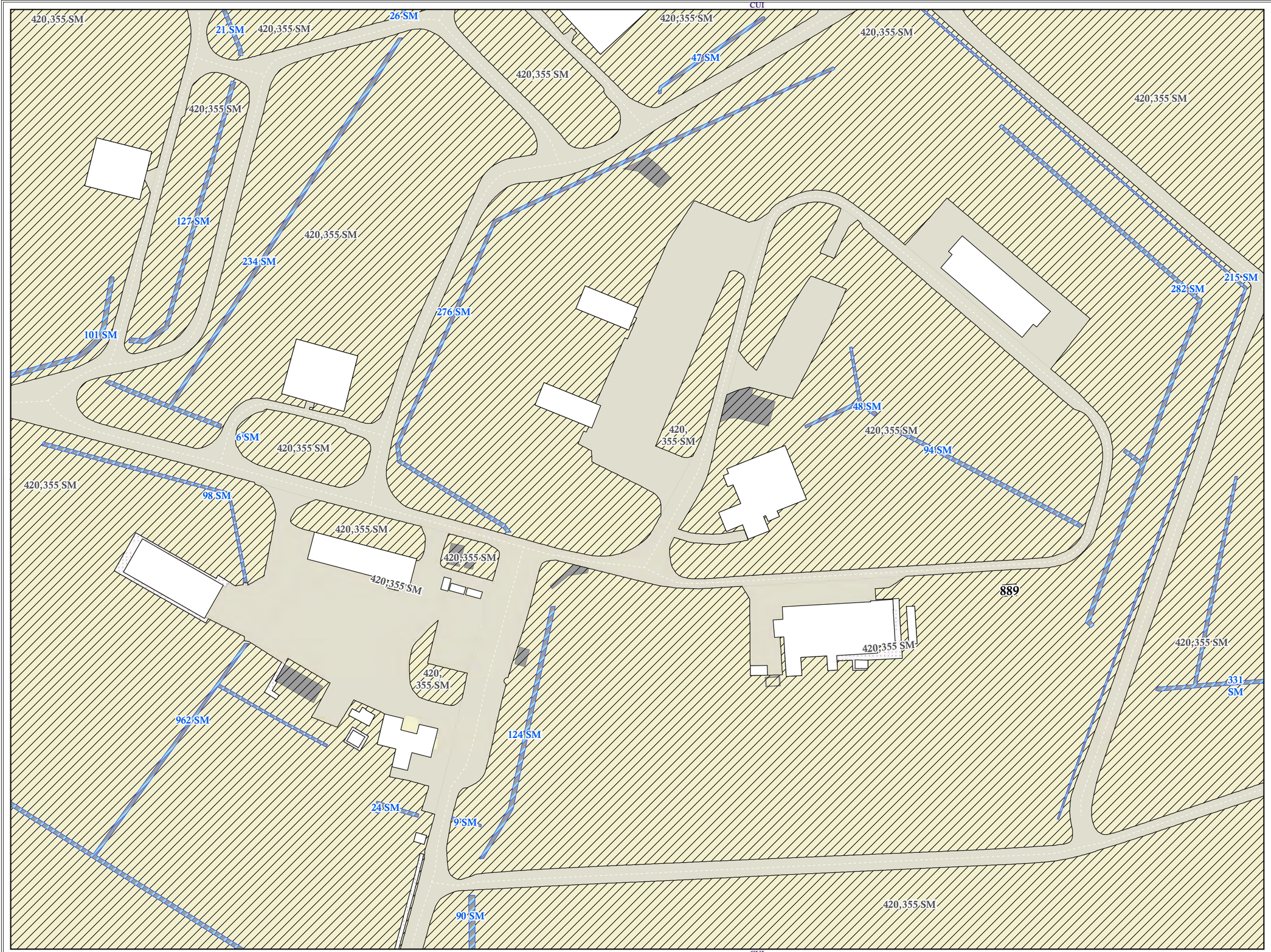

GROUNDS MAINTENANCE

Grounds Maintenance data modified on 31 Dec 2024 based on J-1503050-05 Attachment Grounds Inventories & Site Maps mod A00003 Sep 2021, mod A0015 Sep 2023, and ep#1809285_B3873 Dec 2023.

Weapons

- Improved Areas (0)
- Operational Areas (1)
- Building Area
- Installation Area
- Road Section
- Sidewalk
- Structure Area
- Stormwater Open Channel Area (19)

Projection:	Map Date:	Scale:
WGS 1984 UTM Zone 33N	18 Feb 2025	1:1,200

Sheet Size: 11" x 17" Tabloid

0 10 20 30 Meters

0 50 100 Feet

N W E S

NAVFAC EURAFCENT

NAS SIGONELLA

This map and data contained herein is Controlled Unclassified Information. All data shown is considered CUI. Reproduction, distribution, publication, or exhibition of this data is strictly prohibited without the written consent of the Command Navy Region Europe, Africa, Central GeoReadiness Center (EURAFCENT GRC). The EURAFCENT GRC does not attest to or guarantee the currency and/or validity of the data contained in this map, nor does it attest of any spatial accuracy. This map is for planning purposes only.

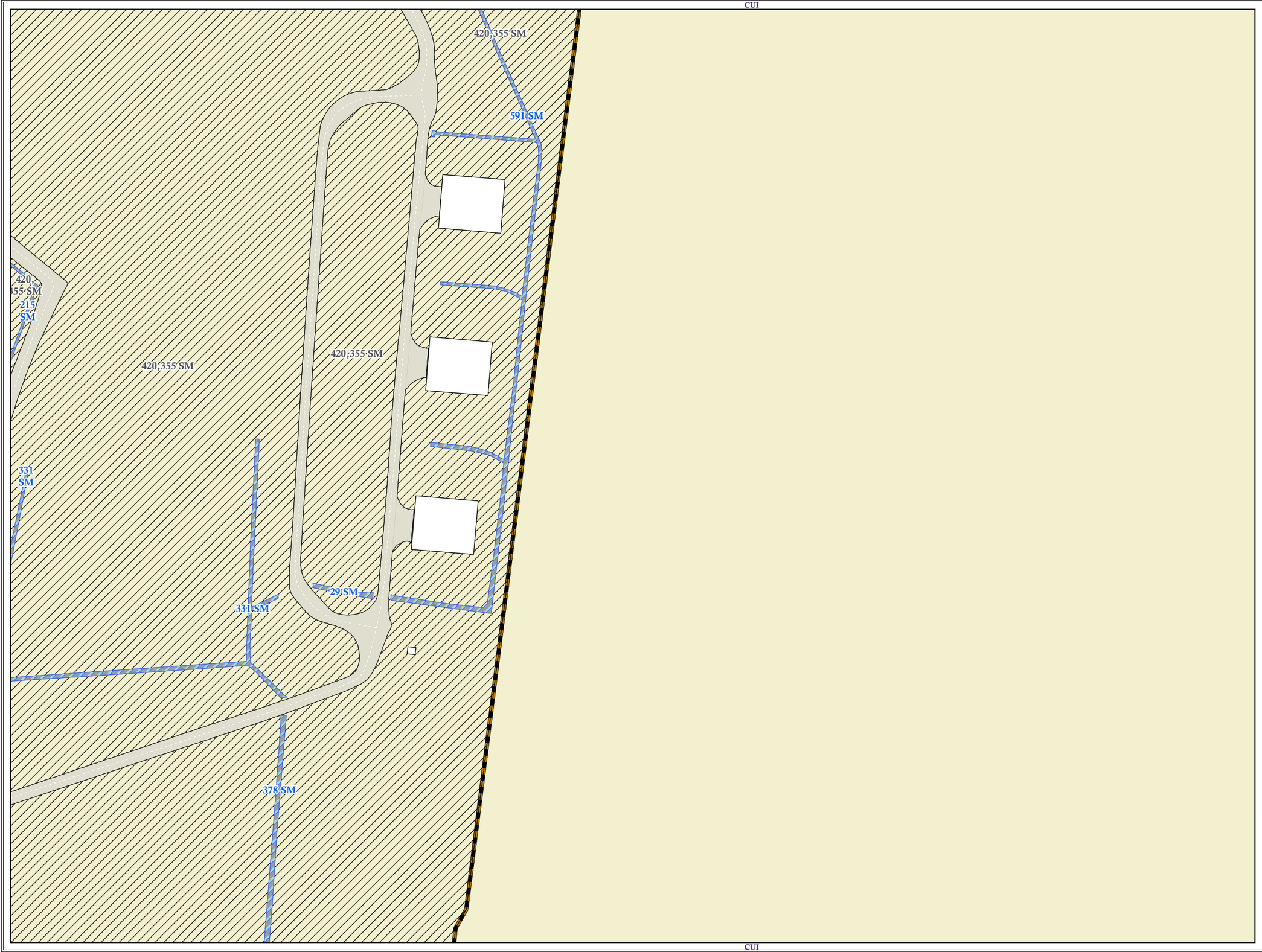

GROUNDS MAINTENANCE

Grounds Maintenance data modified on 31 Dec 2024 based on J-1503050-05 Attachment Grounds Inventories & Site Maps mod A00003 Sep 2021, mod A0015 Sep 2023, and ep#1809285_B3873 Dec 2023.

Weapons

- Improved Areas (0)
- Operational Areas (1)
- Building Area
- Installation Area
- Road Section
- Structure Area
- Stormwater Open Channel Area (5)

Projection:	Map Date:	Scale:
WGS 1984 UTM Zone 33N	18 Feb 2025	1:1,200

Sheet Size: 11" x 17" Tabloid

0 10 20 30 Meters

0 50 100 Feet

N W E S

NAS SIGONELLA

This map and data contained herein is Controlled Unclassified Information. All data shown is considered CUI. Reproduction, distribution, publication, or exhibition of this data is strictly prohibited without the written consent of the Command Navy Region Europe, Africa, Central GeoReadiness Center (EURAFCENT GRC). The EURAFCENT GRC does not attest to or guarantee the currency and/or validity of the data contained in this map, nor does it attest of any spatial accuracy. This map is for planning purposes only.

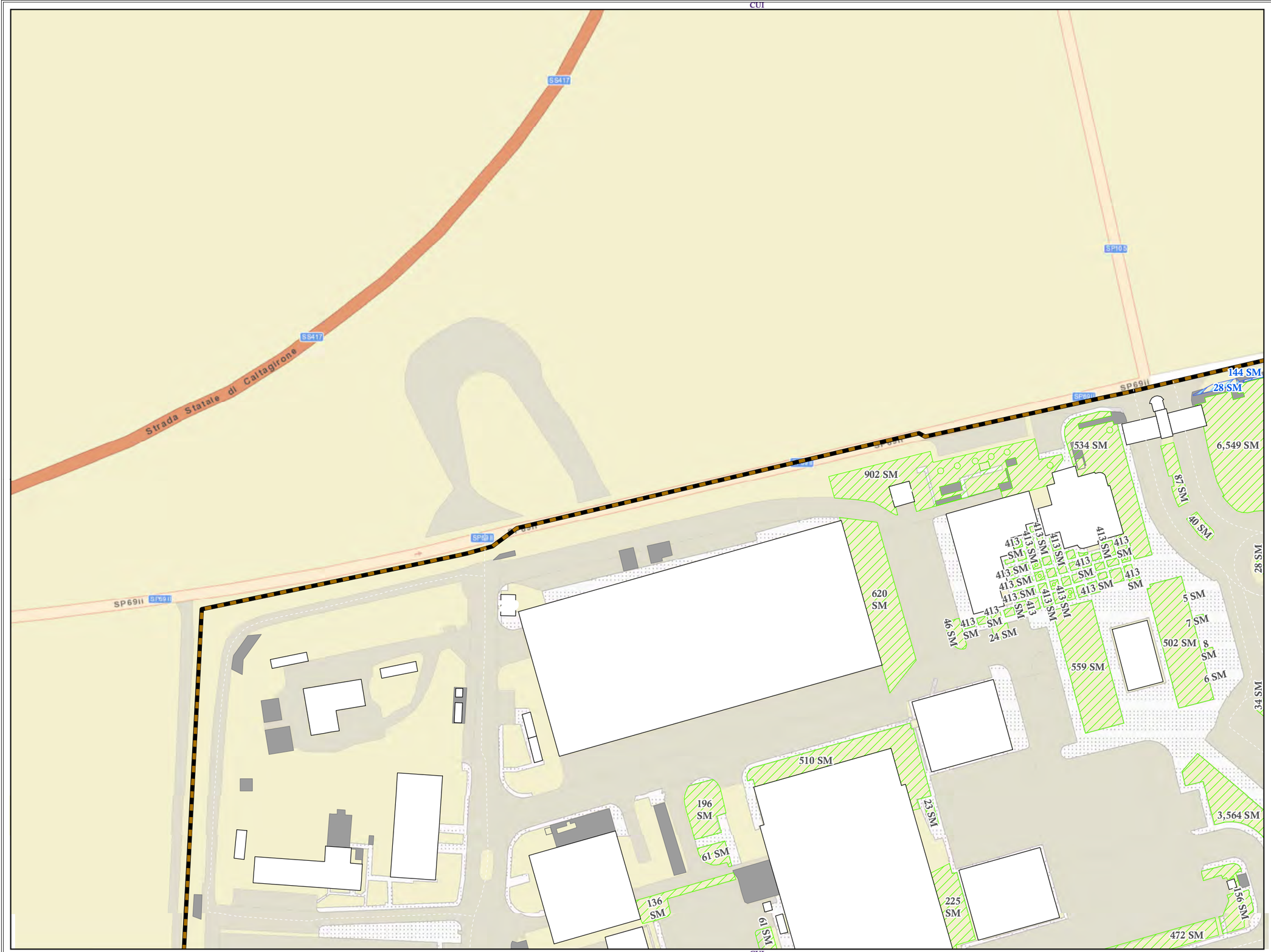

GROUNDS MAINTENANCE

Grounds Maintenance data modified on 31 Dec 2024 based on J-1503050-05 Attachment Grounds Inventories & Site Maps mod A00003 Sep 2021, mod A0015 Sep 2023, and ep#1809285_B3873 Dec 2023.

NAS II

- Improved Areas (27)
- Operational Areas (0)
- Building Area
- Installation Area
- Road Section
- Sidewalk
- Structure Area
- Storage Tank Area
- Stormwater Open Channel Area (2)

Projection:	Map Date:	Scale:
WGS 1984 UTM Zone 33N	18 Feb 2025	1:1,200

Sheet Size: 11" x 17" Tabloid

0 10 20 30 Meters

0 50 100 Feet

N W E S

NAS SIGONELLA

This map and data contained herein is Controlled Unclassified Information. All data shown is considered CUI. Reproduction, distribution, publication, or exhibition of this data is strictly prohibited without the written consent of the Command Navy Region Europe, Africa, Central GeoReadiness Center (EURAFCENT GRC). The EURAFCENT GRC does not attest to or guarantee the currency and/or validity of the data contained in this map, nor does it attest of any spatial accuracy. This map is for planning purposes only.

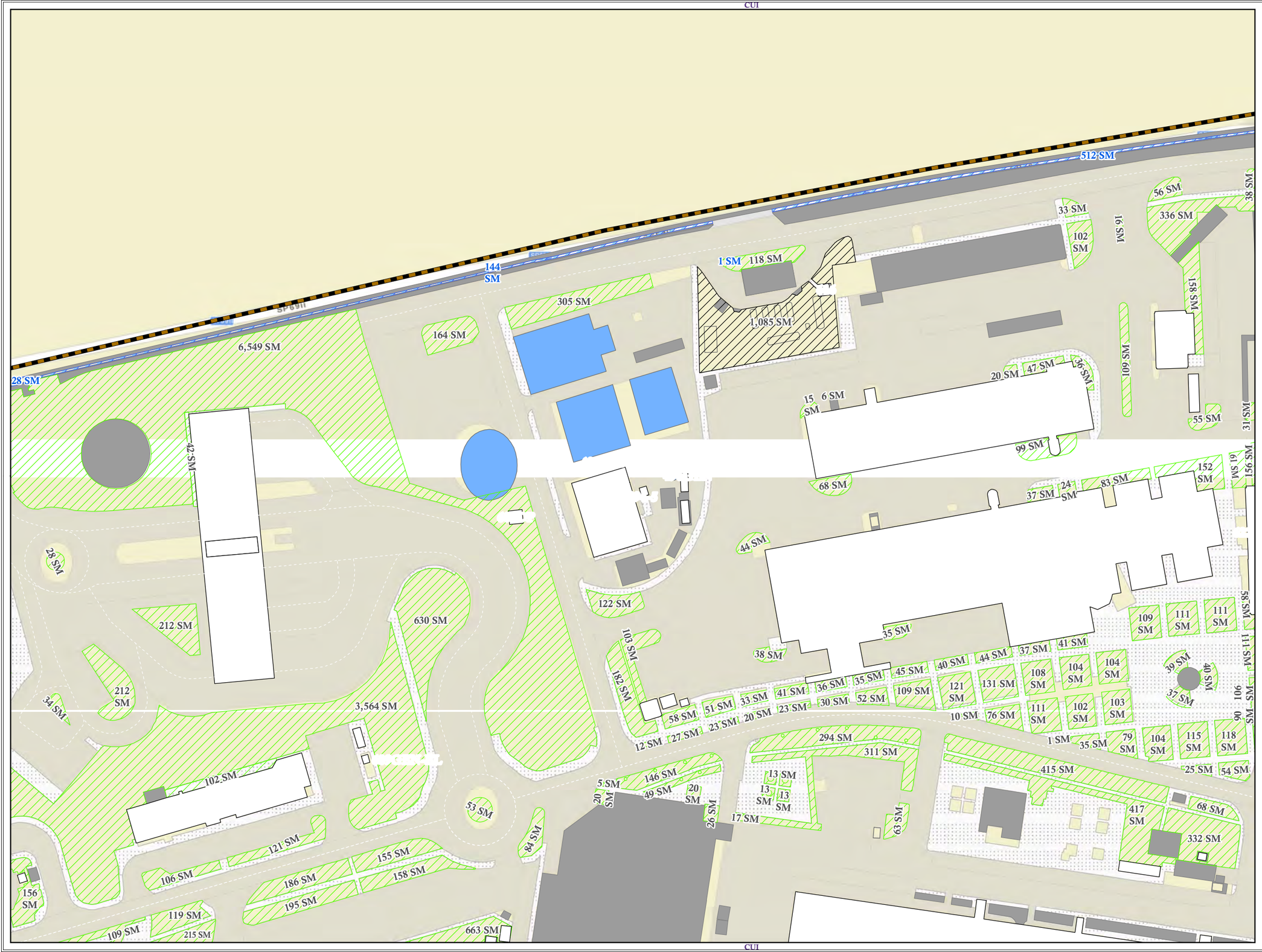

GROUNDS MAINTENANCE

Grounds Maintenance data modified on 31 Dec 2024 based on J-1503050-05 Attachment Grounds Inventories & Site Maps mod A00003 Sep 2021, mod A0015 Sep 2023, and ep#1809285_B3873 Dec 2023.

NAS II

- Improved Areas (120)
- Operational Areas (1)
- Building Area
- Installation Area
- Road Section
- Sidewalk
- Structure Area
- Storage Tank Area
- Stormwater Open Channel Area (4)
- Water Storage Structure Area (5)

Projection:	Map Date:	Scale:
WGS 1984 UTM Zone 33N	18 Feb 2025	1:1,200

Sheet Size: 11" x 17" Tabloid

0 10 20 30 Meters

0 50 100 Feet

NAS SIGONELLA

This map and data contained herein is Controlled Unclassified Information. All data shown is considered CUI. Reproduction, distribution, publication, or exhibition of this data is strictly prohibited without the written consent of the Command Navy Region Europe, Africa, Central GeoReadiness Center (EURAFCENT GRC). The EURAFCENT GRC does not attest to or guarantee the currency and/or validity of the data contained in this map, nor does it attest of any spatial accuracy. This map is for planning purposes only.

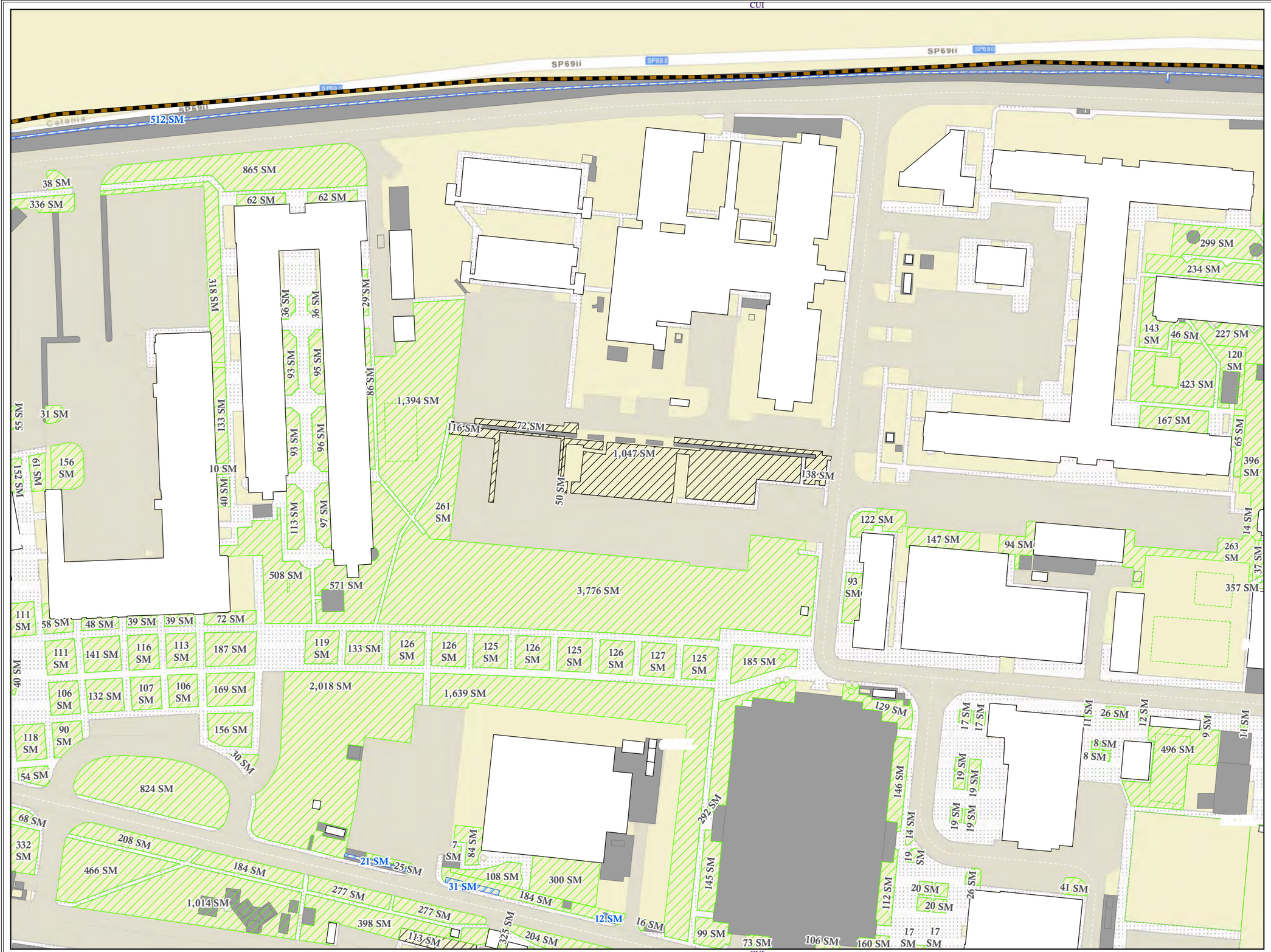

GROUNDS MAINTENANCE

Grounds Maintenance data modified on 31 Dec 2024 based on J-1503050-05 Attachment Grounds Inventories & Site Maps mod A00003 Sep 2021, mod A0015 Sep 2023, and ep#1809285_B3873 Dec 2023.

NAS II

- Improved Areas (145)
- Operational Areas (6)
- Building Area
- Installation Area
- Recreation Area
- Road Section
- Sidewalk
- Structure Area
- Storage Tank Area
- Stormwater Open Channel Area (4)

Projection:	Map Date:	Scale:
WGS 1984 UTM Zone 33N	18 Feb 2025	1:1,200

Sheet Size: 11" x 17" Tabloid

0 10 20 30 Meters

0 50 100 Feet

NAS SIGONELLA

This map and data contained herein is Controlled Unclassified Information. All data shown is considered CUI. Reproduction, distribution, publication, or exhibition of this data is strictly prohibited without the written consent of the Command Navy Region Europe, Africa, Central GeoReadiness Center (EURAFCENT GRC). The EURAFCENT GRC does not attest to or guarantee the currency and/or validity of the data contained in this map, nor does it attest of any spatial accuracy. This map is for planning purposes only.

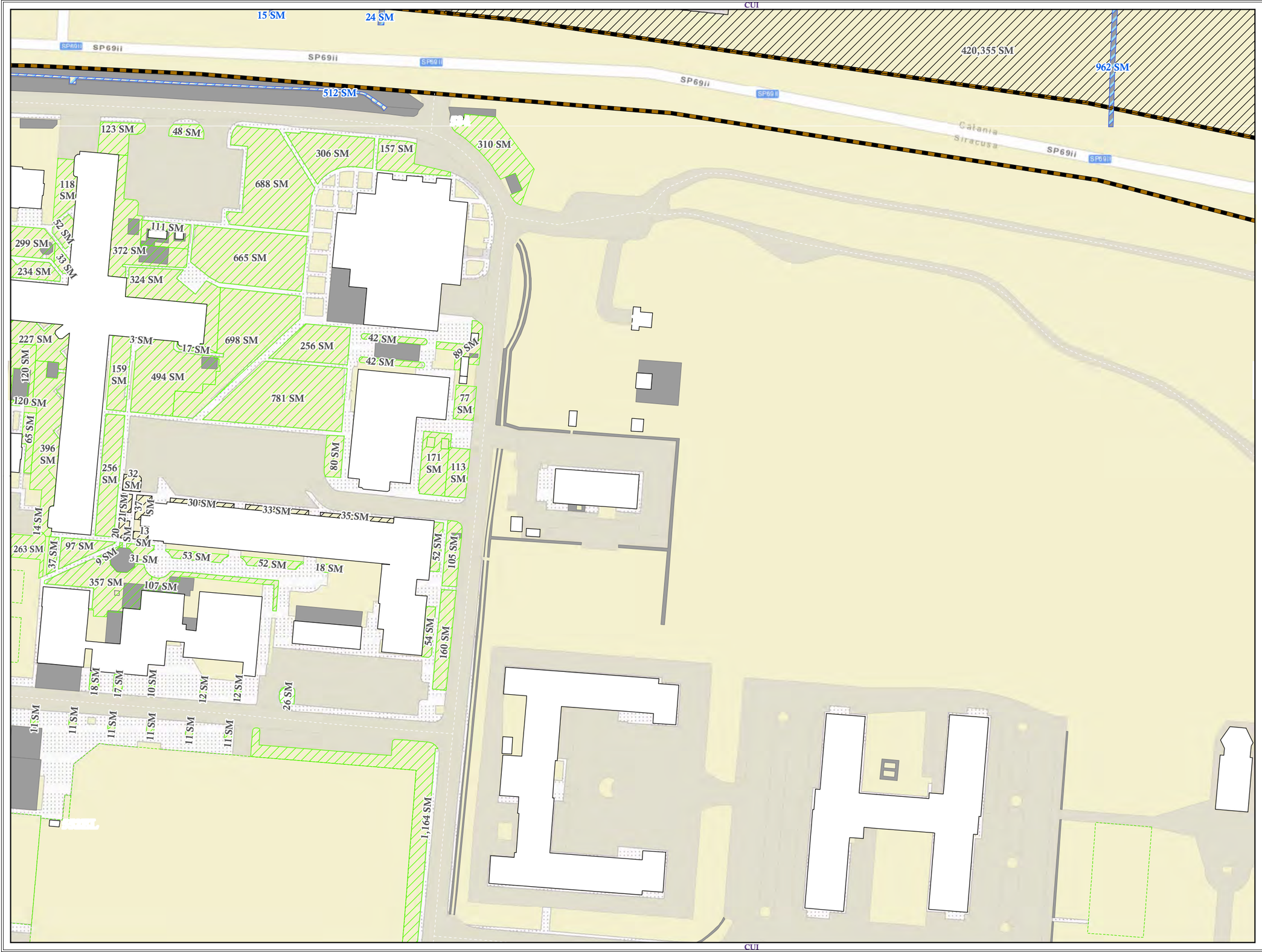

GROUNDS MAINTENANCE

Grounds Maintenance data modified on 31 Dec 2024 based on J-1503050-05 Attachment Grounds Inventories & Site Maps mod A00003 Sep 2021, mod A0015 Sep 2023, and ep#1809285_B3873 Dec 2023.

NAS II & Weapons

- Improved Areas (62)
- Operational Areas (9)
- Building Area
- Installation Area
- Recreation Area
- Road Section
- Sidewalk
- Structure Area
- Storage Tank Area
- Stormwater Open Channel Area (4)

Projection:	Map Date:	Scale:
WGS 1984 UTM Zone 33N	18 Feb 2025	1:1,200

Sheet Size: 11" x 17" Tabloid

0 10 20 30 Meters

0 50 100 Feet

N W E S

NAS SIGONELLA

This map and data contained herein is Controlled Unclassified Information. All data shown is considered CUI. Reproduction, distribution, publication, or exhibition of this data is strictly prohibited without the written consent of the Command Navy Region Europe, Africa, Central GeoReadiness Center (EURAFCENT GRC). The EURAFCENT GRC does not attest to or guarantee the currency and/or validity of the data contained in this map, nor does it attest of any spatial accuracy. This map is for planning purposes only.

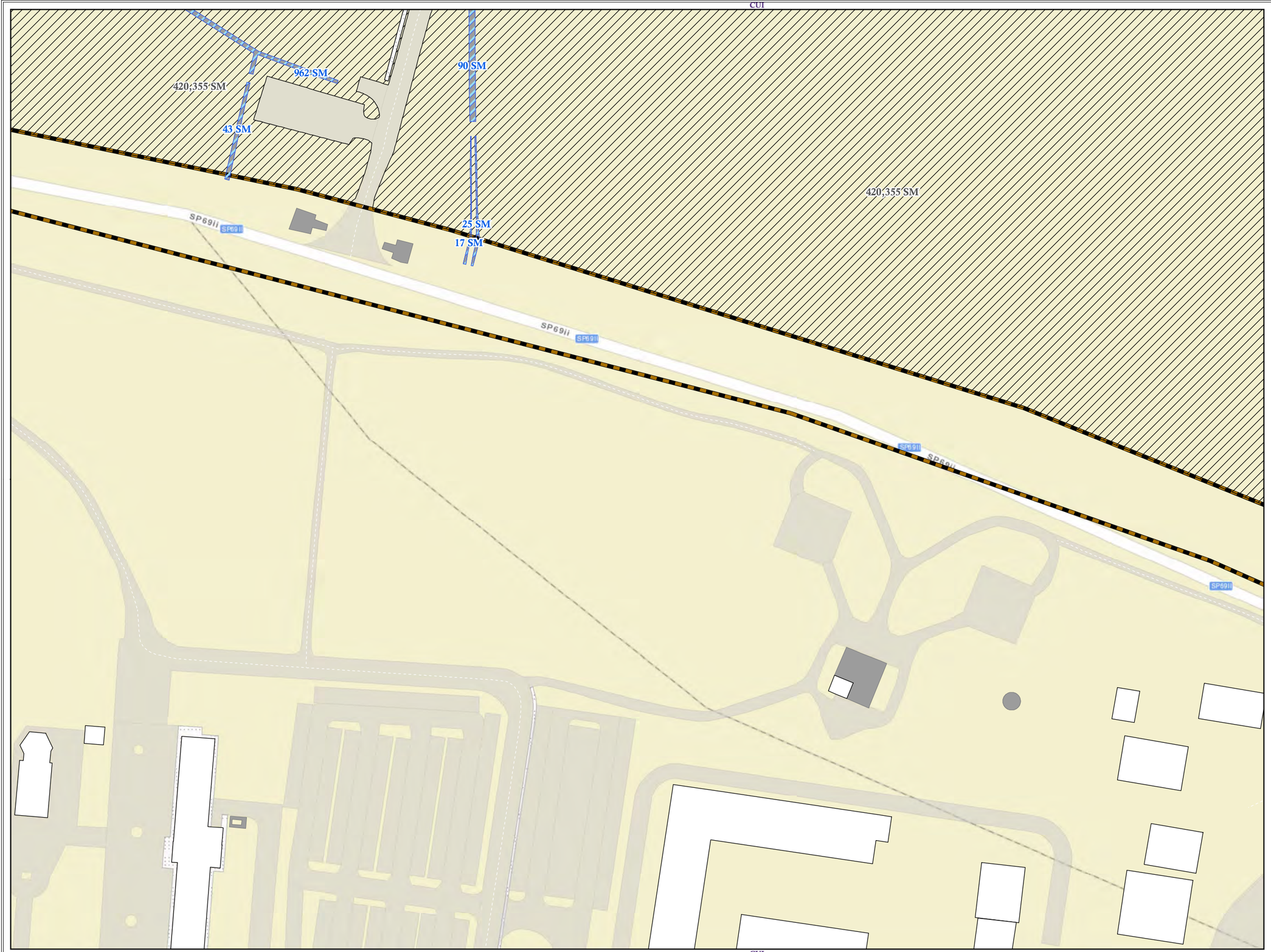

GROUNDS MAINTENANCE

Grounds Maintenance data modified on 31 Dec 2024 based on J-1503050-05 Attachment Grounds Inventories & Site Maps mod A00003 Sep 2021, mod A0015 Sep 2023, and ep#1809285_B3873 Dec 2023.

NAS II & Weapons

- Improved Areas (0)
- Operational Areas (1)
- Building Area
- Installation Area
- Road Section
- Sidewalk
- Structure Area
- Stormwater Open Channel Area (5)

Projection:	Map Date:	Scale:
WGS 1984 UTM Zone 33N	18 Feb 2025	1:1,200

Sheet Size: 11" x 17" Tabloid

0 10 20 30 Meters

0 50 100 Feet

N W E S

NAS SIGONELLA

This map and data contained herein is Controlled Unclassified Information. All data shown is considered CUI. Reproduction, distribution, publication, or exhibition of this data is strictly prohibited without the written consent of the Command Navy Region Europe, Africa, Central GeoReadiness Center (EURAFCENT GRC). The EURAFCENT GRC does not attest to or guarantee the currency and/or validity of the data contained in this map, nor does it attest of any spatial accuracy. This map is for planning purposes only.

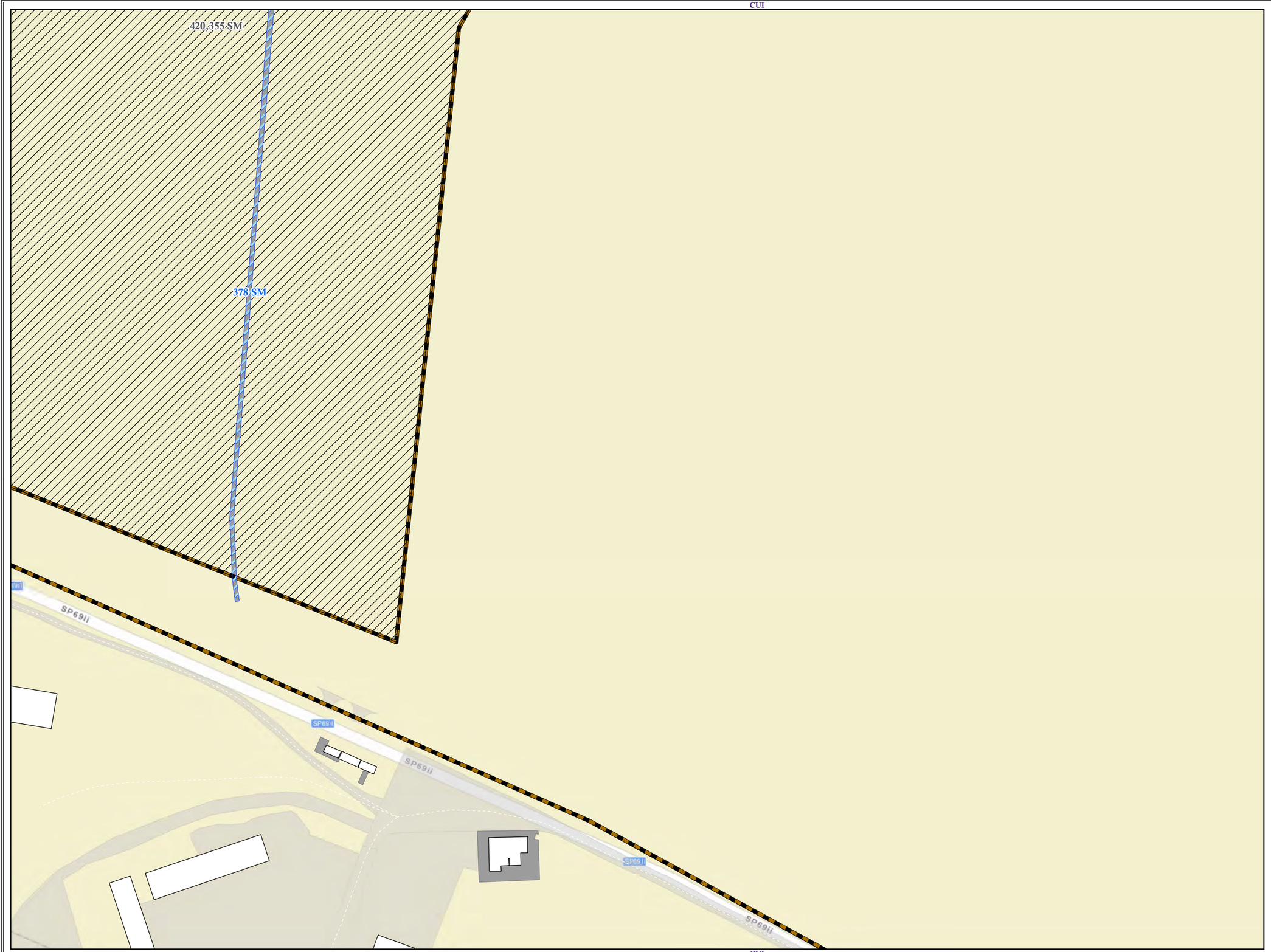

GROUNDS MAINTENANCE

Grounds Maintenance data modified on 31 Dec 2024 based on J-1503050-05 Attachment Grounds Inventories & Site Maps mod A00003 Sep 2021, mod A0015 Sep 2023, and ep#1809285_B3873 Dec 2023.

NAS II & Weapons

- Improved Areas (0)
- Operational Areas (1)
- Building Area
- Installation Area
- Road Section
- Structure Area
- Stormwater Open Channel Area (1)

Projection:	Map Date:	Scale:
WGS 1984 UTM Zone 33N	18 Feb 2025	1:1,200

Sheet Size: 11" x 17" Tabloid

0 10 20 30 Meters

0 50 100 Feet

N W E S

NAS SIGONELLA

This map and data contained herein is Controlled Unclassified Information. All data shown is considered CUI. Reproduction, distribution, publication, or exhibition of this data is strictly prohibited without the written consent of the Command Navy Region Europe, Africa, Central GeoReadiness Center (EURAFCENT GRC). The EURAFCENT GRC does not attest to or guarantee the currency and/or validity of the data contained in this map, nor does it attest of any spatial accuracy. This map is for planning purposes only.

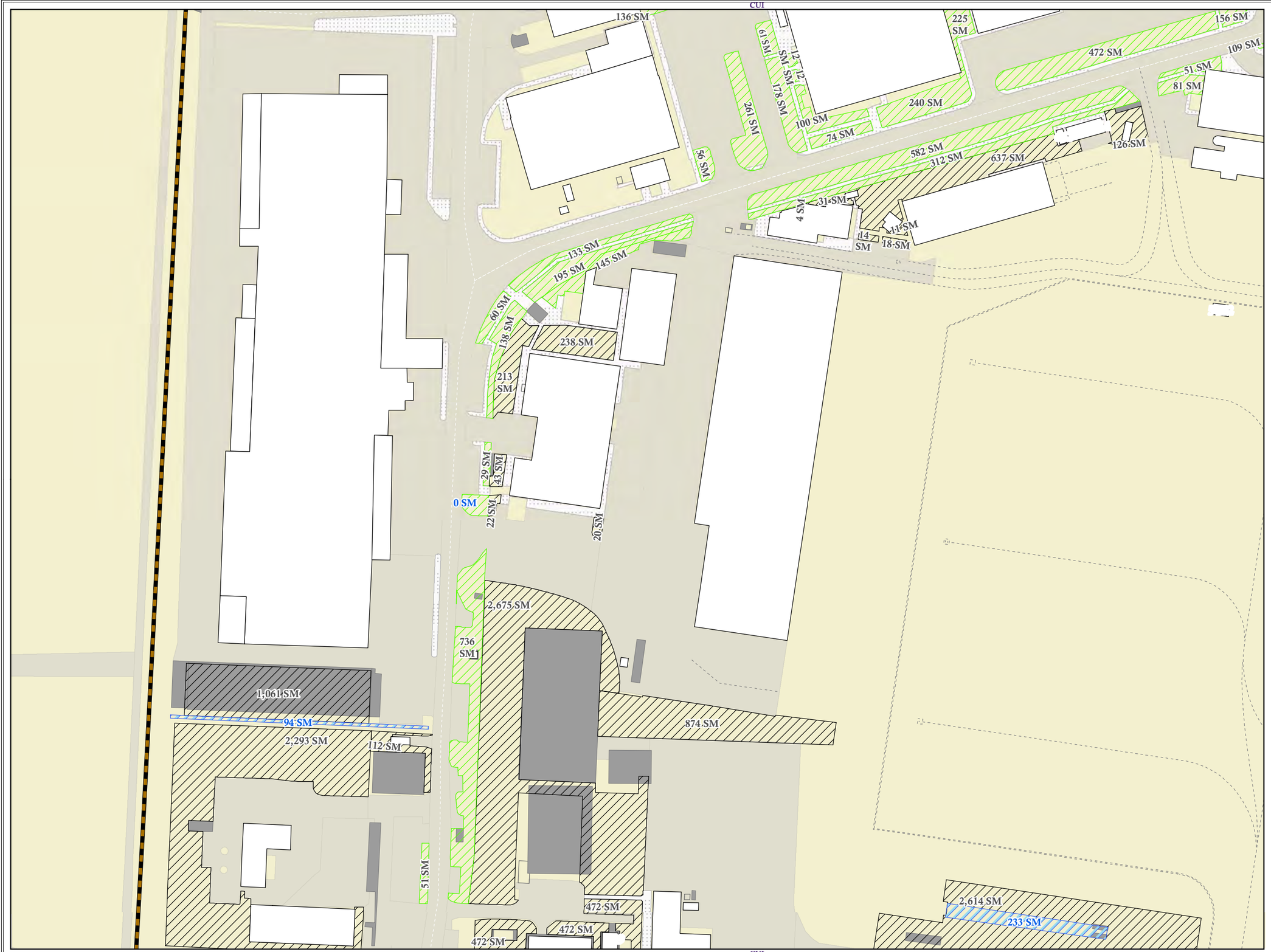

GROUNDS MAINTENANCE

Grounds Maintenance data modified on 31 Dec 2024 based on J-1503050-05 Attachment Grounds Inventories & Site Maps mod A00003 Sep 2021, mod A0015 Sep 2023, and ep#1809285_B3873 Dec 2023.

NAS II

- Improved Areas (27)
- Operational Areas (19)
- Building Area
- Installation Area
- Road Section
- Sidewalk
- Structure Area
- Storage Tank Area
- Airfield Marking Line
- Stormwater Open Channel Area (3)

Projection:	Map Date:	Scale:
WGS 1984 UTM Zone 33N	18 Feb 2025	1:1,200

Sheet Size: 11" x 17" Tabloid

0 10 20 30 Meters

0 50 100 Feet

N W E S

NAS SIGONELLA

This map and data contained herein is Controlled Unclassified Information. All data shown is considered CUI. Reproduction, distribution, publication, or exhibition of this data is strictly prohibited without the written consent of the Command Navy Region Europe, Africa, Central GeoReadiness Center (EURAFCENT GRC). The EURAFCENT GRC does not attest to or guarantee the currency and/or validity of the data contained in this map, nor does it attest of any spatial accuracy. This map is for planning purposes only.

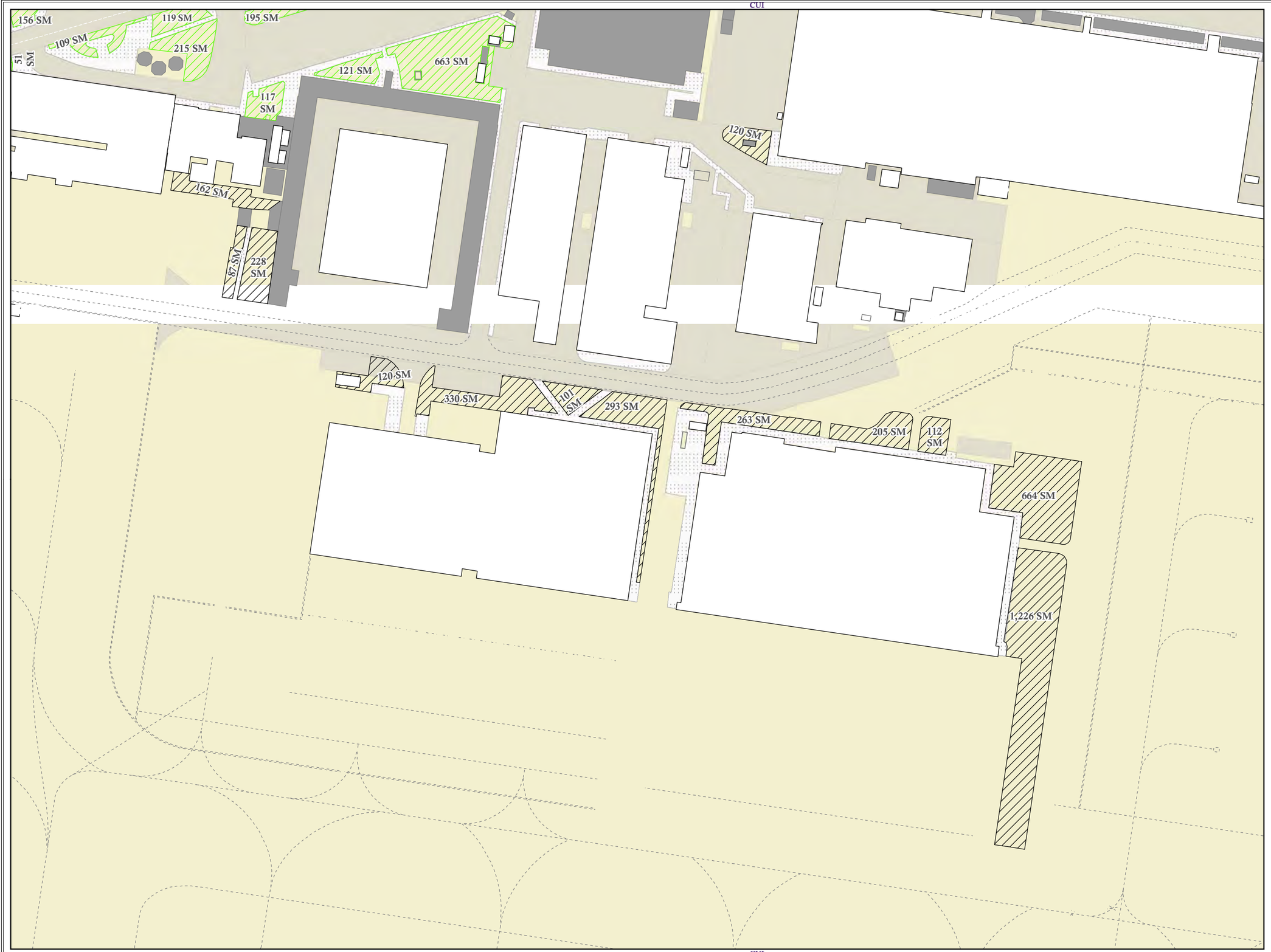

GROUNDS MAINTENANCE

Grounds Maintenance data modified on 31 Dec 2024 based on J-1503050-05 Attachment Grounds Inventories & Site Maps mod A00003 Sep 2021, mod A0015 Sep 2023, and ep#1809285_B3873 Dec 2023.

NAS II

- Improved Areas (9)
- Operational Areas (13)
- Building Area
- Installation Area
- Road Section
- Sidewalk
- Structure Area
- Storage Tank Area
- Airfield Marking Line

Projection:	Map Date:	Scale:
WGS 1984 UTM Zone 33N	18 Feb 2025	1:1,200

Sheet Size: 11" x 17" Tabloid

0 10 20 30 Meters

0 50 100 Feet

N W E S

NAS SIGONELLA

This map and data contained herein is Controlled Unclassified Information. All data shown is considered CUI. Reproduction, distribution, publication, or exhibition of this data is strictly prohibited without the written consent of the Command Navy Region Europe, Africa, Central GeoReadiness Center (EURAFCENT GRC). The EURAFCENT GRC does not attest to or guarantee the currency and/or validity of the data contained in this map, nor does it attest of any spatial accuracy. This map is for planning purposes only.

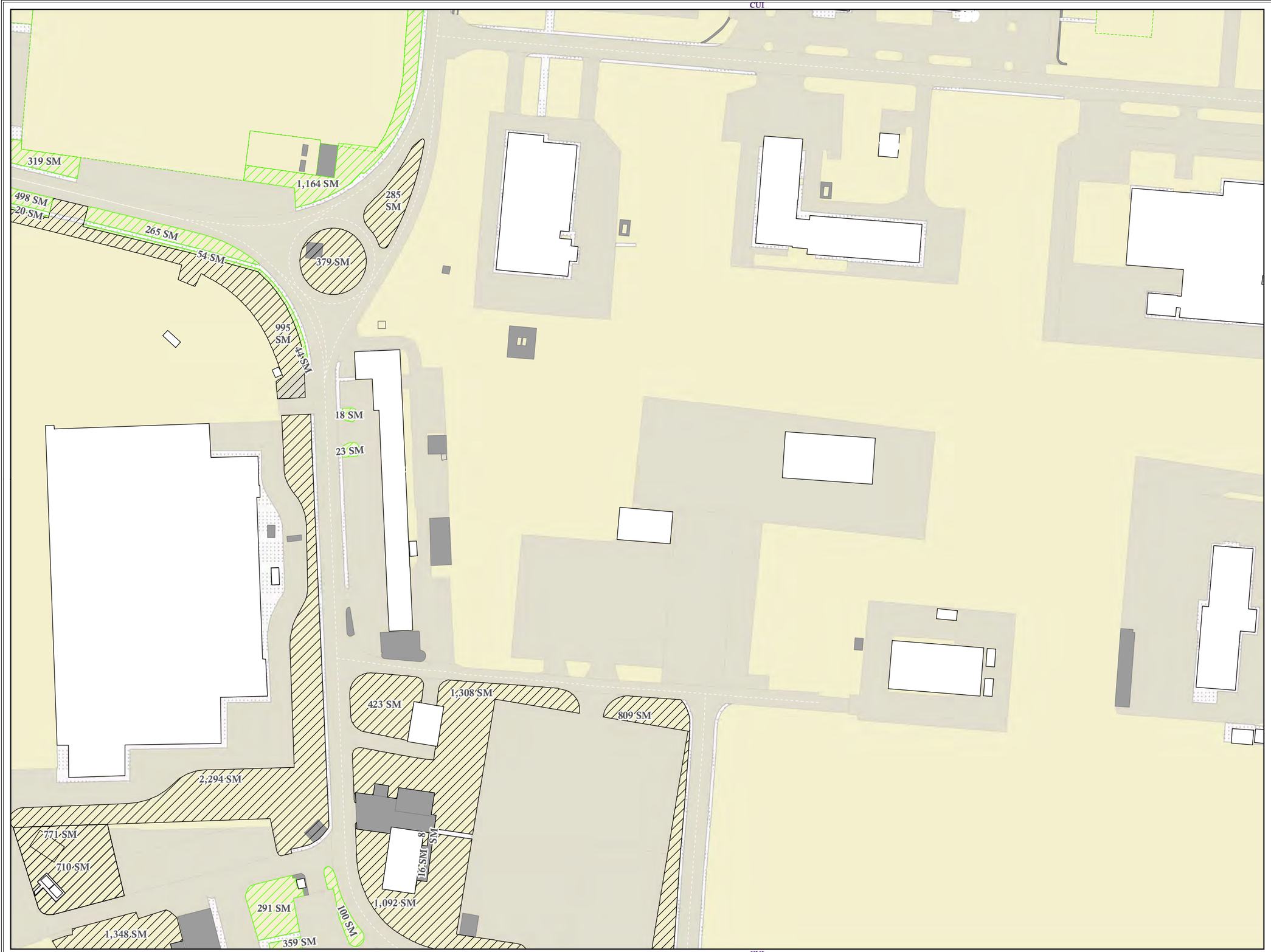

GROUNDS MAINTENANCE

Grounds Maintenance data modified on 31 Dec 2024 based on J-1503050-05 Attachment Grounds Inventories & Site Maps mod A00003 Sep 2021, mod A0015 Sep 2023, and ep#1809285_B3873 Dec 2023.

NAS II

- Improved Areas (12)
- Operational Areas (13)
- Building Area
- Installation Area
- Recreation Area
- Road Section
- Sidewalk
- Structure Area
- Storage Tank Area

Projection:	Map Date:	Scale:
WGS 1984 UTM Zone 33N	18 Feb 2025	1:1,200

Sheet Size: 11" x 17" Tabloid

0 10 20 30 Meters

0 50 100 Feet

N W E S

NAS SIGONELLA

This map and data contained herein is Controlled Unclassified Information. All data shown is considered CUI. Reproduction, distribution, publication, or exhibition of this data is strictly prohibited without the written consent of the Command Navy Region Europe, Africa, Central GeoReadiness Center (EURAFCENT GRC). The EURAFCENT GRC does not attest to or guarantee the currency and/or validity of the data contained in this map, nor does it attest of any spatial accuracy. This map is for planning purposes only.

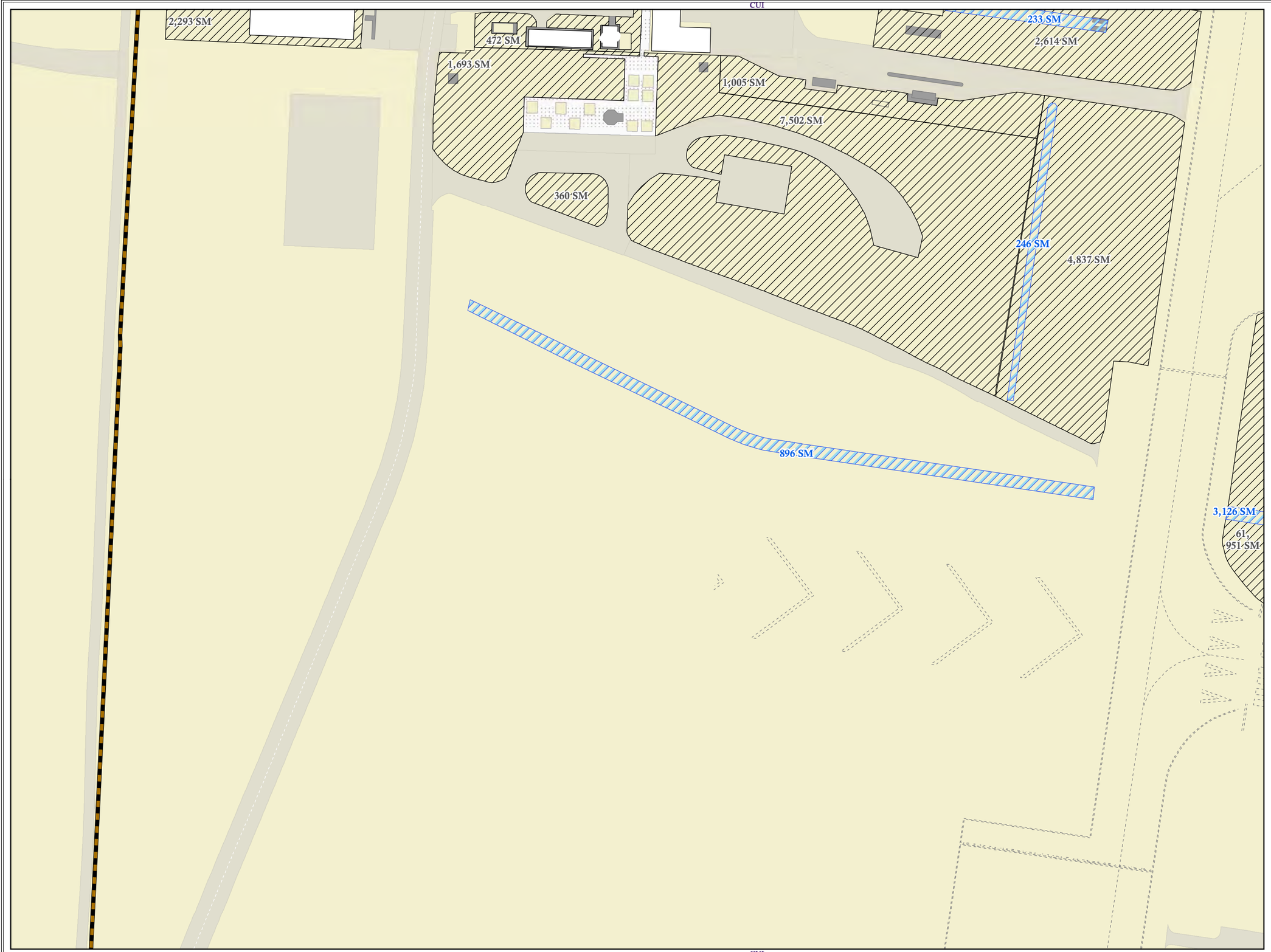

GROUNDS MAINTENANCE

Grounds Maintenance data modified on 31 Dec 2024 based on J-1503050-05 Attachment Grounds Inventories & Site Maps mod A00003 Sep 2021, mod A0015 Sep 2023, and ep#1809285_B3873 Dec 2023.

NAS II

- Improved Areas (0)
- Operational Areas (9)
- Building Area
- Installation Area
- Road Section
- Sidewalk
- Structure Area
- Storage Tank Area
- Airfield Marking Line
- Stormwater Open Channel Area (4)

Projection:	Map Date:	Scale:
WGS 1984 UTM Zone 33N	18 Feb 2025	1:1,200

Sheet Size: 11" x 17" Tabloid

0 10 20 30 Meters

0 50 100 Feet

N W E S

NAS SIGONELLA

This map and data contained herein is Controlled Unclassified Information. All data shown is considered CUI. Reproduction, distribution, publication, or exhibition of this data is strictly prohibited without the written consent of the Command Navy Region Europe, Africa, Central GeoReadiness Center (EURAFCENT GRC). The EURAFCENT GRC does not attest to or guarantee the currency and/or validity of the data contained in this map, nor does it attest of any spatial accuracy. This map is for planning purposes only.

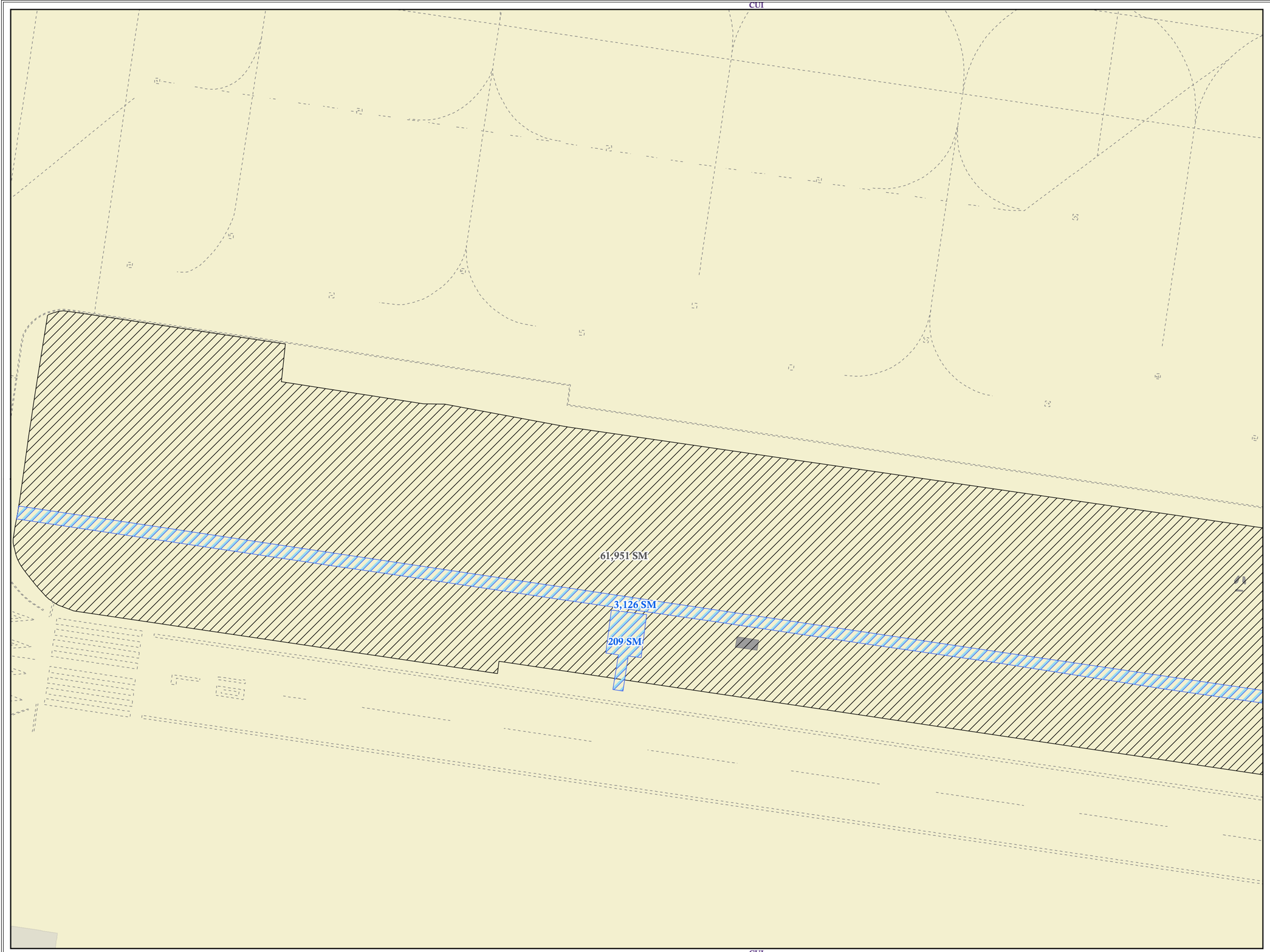

GROUNDS MAINTENANCE

Grounds Maintenance data modified on 31 Dec 2024 based on J-1503050-05 Attachment Grounds Inventories & Site Maps mod A00003 Sep 2021, mod A0015 Sep 2023, and ep#1809285_B3873 Dec 2023.

NAS II

- Improved Areas (0)
- Operational Areas (1)
- Installation Area
- Road Section
- Structure Area
- Airfield Marking Line
- Stormwater Open Channel Area (2)

Projection:	Map Date:	Scale:
WGS 1984 UTM Zone 33N	18 Feb 2025	1:1,200

Sheet Size: 11" x 17" Tabloid

0 10 20 30 Meters

0 50 100 Feet

N W E S

NAS SIGONELLA

This map and data contained herein is Controlled Unclassified Information. All data shown is considered CUI. Reproduction, distribution, publication, or exhibition of this data is strictly prohibited without the written consent of the Command Navy Region Europe, Africa, Central GeoReadiness Center (EURAFCENT GRC). The EURAFCENT GRC does not attest to or guarantee the currency and/or validity of the data contained in this map, nor does it attest of any spatial accuracy. This map is for planning purposes only.

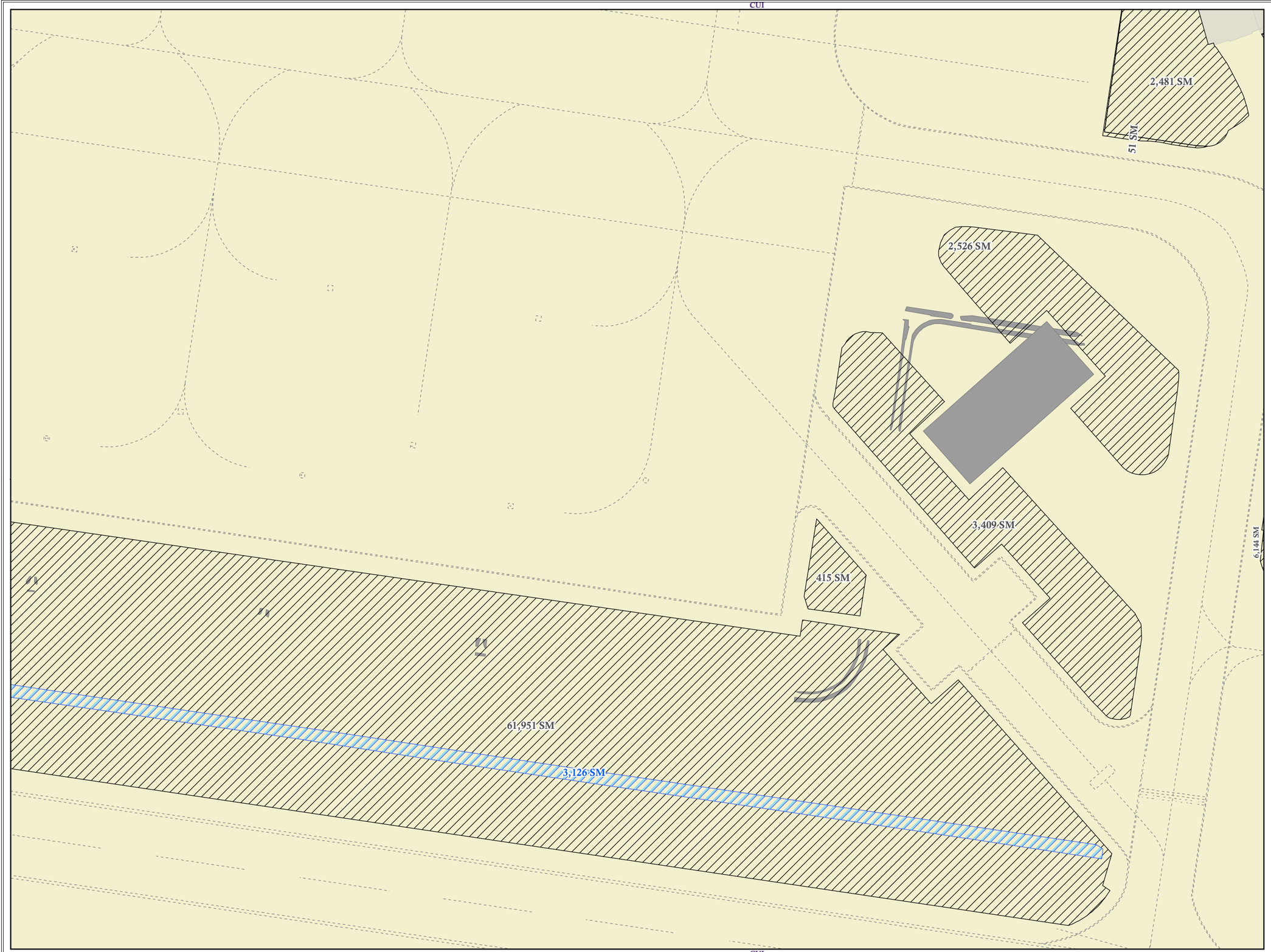

GROUNDS MAINTENANCE

Grounds Maintenance data modified on 31 Dec 2024 based on J-1503050-05 Attachment Grounds Inventories & Site Maps mod A00003 Sep 2021, mod A0015 Sep 2023, and ep#1809285_B3873 Dec 2023.

NAS II

- Improved Areas (0)
- Operational Areas (8)
- Installation Area
- Road Section
- Structure Area
- Airfield Marking Line
- Stormwater Open Channel Area (1)

Projection:	Map Date:	Scale:
WGS 1984 UTM Zone 33N	18 Feb 2025	1:1,200

Sheet Size: 11" x 17" Tabloid

0 10 20 30 Meters

0 50 100 Feet

N W E S

NAS SIGONELLA

This map and data contained herein is Controlled Unclassified Information. All data shown is considered CUI. Reproduction, distribution, publication, or exhibition of this data is strictly prohibited without the written consent of the Command Navy Region Europe, Africa, Central GeoReadiness Center (EURAFCENT GRC). The EURAFCENT GRC does not attest to or guarantee the currency and/or validity of the data contained in this map, nor does it attest of any spatial accuracy. This map is for planning purposes only.

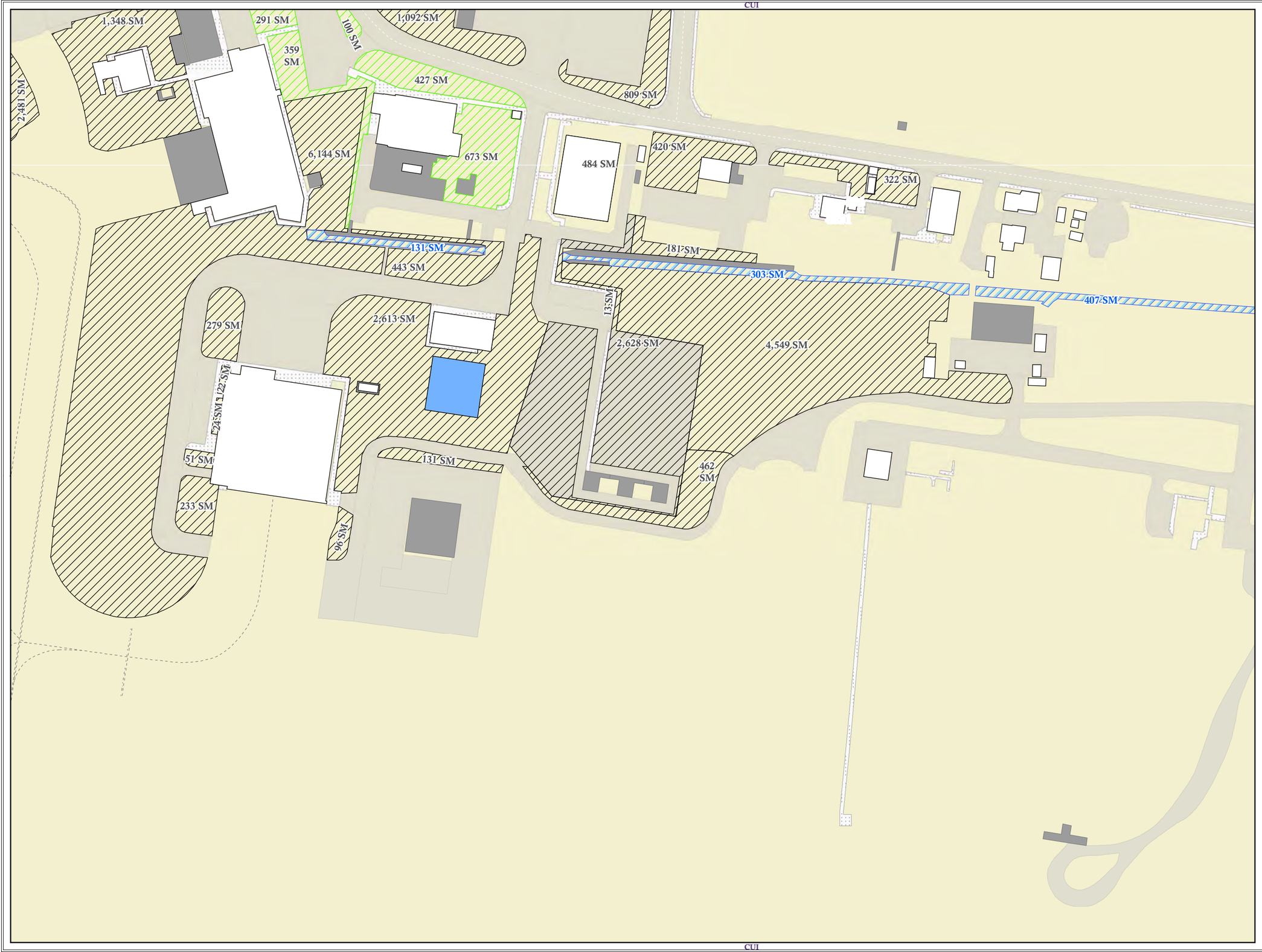

GROUNDS MAINTENANCE

Grounds Maintenance data modified on 31 Dec 2024 based on J-1503050-05 Attachment Grounds Inventories & Site Maps mod A00003 Sep 2021, mod A0015 Sep 2023, and ep#1809285_B3873 Dec 2023.

NAS II

- Improved Areas (5)
- Operational Areas (22)
- Building Area
- Installation Area
- Road Section
- Sidewalk
- Structure Area
- Storage Tank Area
- Airfield Marking Line
- Stormwater Open Channel Area (3)
- Water Storage Structure Area (1)

Projection:	Map Date:	Scale:
WGS 1984 UTM Zone 33N	18 Feb 2025	1:1,200

Sheet Size: 11" x 17" Tabloid

0 10 20 30 Meters

0 50 100 Feet

N W E S

NAS SIGONELLA

This map and data contained herein is Controlled Unclassified Information. All data shown is considered CUI. Reproduction, distribution, publication, or exhibition of this data is strictly prohibited without the written consent of the Command Navy Region Europe, Africa, Central GeoReadiness Center (EURAFCENT GRC). The EURAFCENT GRC does not attest to or guarantee the currency and/or validity of the data contained in this map, nor does it attest of any spatial accuracy. This map is for planning purposes only.

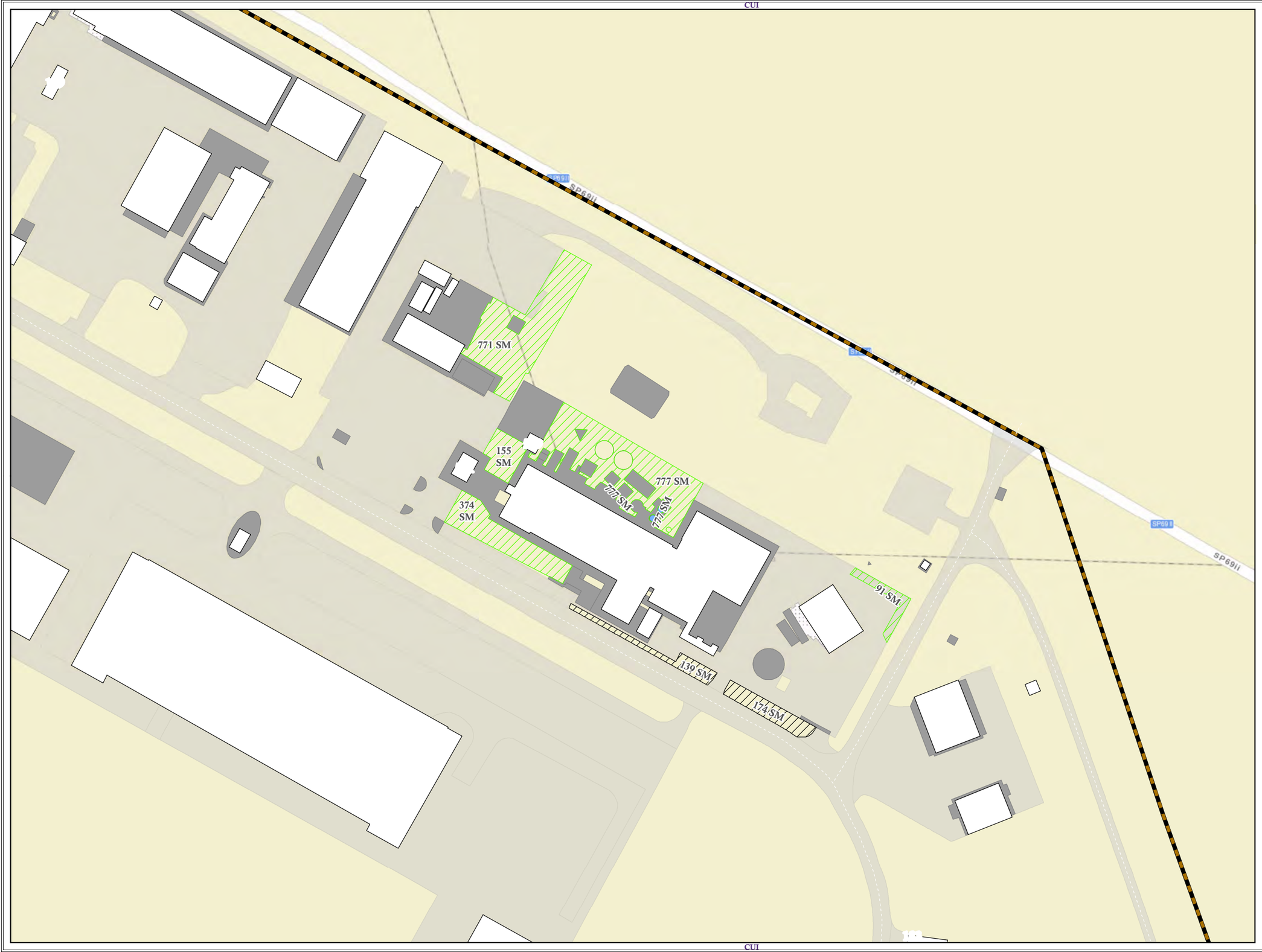

GROUNDS MAINTENANCE

Grounds Maintenance data modified on 31 Dec 2024 based on J-1503050-05 Attachment Grounds Inventories & Site Maps mod A00003 Sep 2021, mod A0015 Sep 2023, and ep#1809285_B3873 Dec 2023.

NAS II COMSTA

- Improved Areas (5)
- Operational Areas (2)
- Building Area
- Installation Area
- Road Section
- Sidewalk
- Structure Area
- Storage Tank Area
- Water Storage Structure Area (2)

Projection:	Map Date:	Scale:
WGS 1984 UTM Zone 33N	18 Feb 2025	1:1,200

Sheet Size: 11" x 17" Tabloid

0 10 20 30 Meters

0 50 100 Feet

N W E S

NAS SIGONELLA

This map and data contained herein is Controlled Unclassified Information. All data shown is considered CUI. Reproduction, distribution, publication, or exhibition of this data is strictly prohibited without the written consent of the Command Navy Region Europe, Africa, Central GeoReadiness Center (EURAFCENT GRC). The EURAFCENT GRC does not attest to or guarantee the currency and/or validity of the data contained in this map, nor does it attest of any spatial accuracy. This map is for planning purposes only.

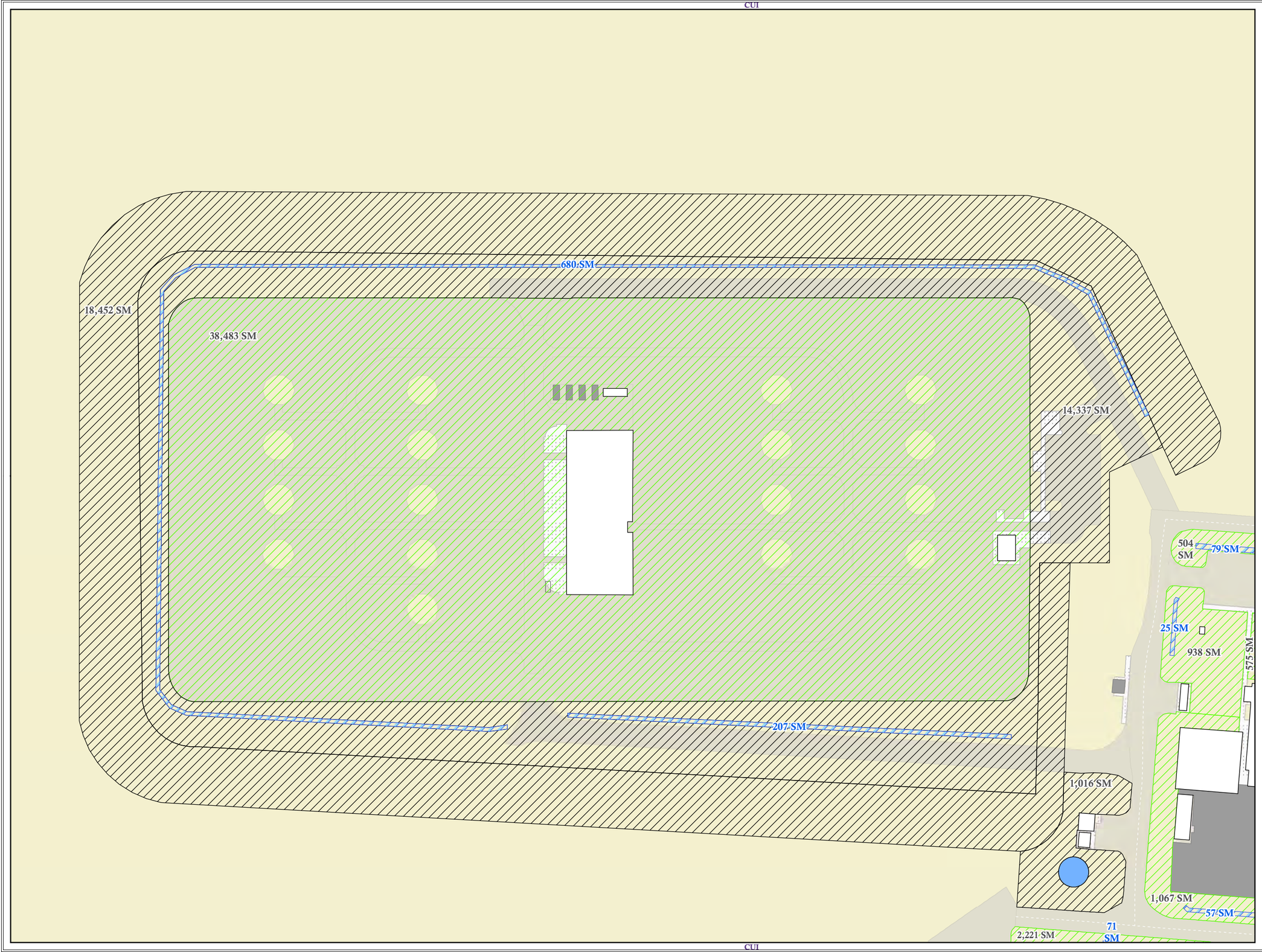

GROUNDS MAINTENANCE

Grounds Maintenance data modified on 31 Dec 2024 based on J-1503050-05 Attachment Grounds Inventories & Site Maps mod A00003 Sep 2021, mod A0015 Sep 2023, and ep#1809285_B3873 Dec 2023.

SATCOM

- Improved Areas (6)
- Operational Areas (3)
- Building Area
- Installation Area
- Road Section
- Sidewalk
- Structure Area
- Storage Tank Area
- Stormwater Open Channel Area (6)
- Water Storage Structure Area (1)

Projection:	Map Date:	Scale:
WGS 1984 UTM Zone 33N	18 Feb 2025	1:1,200

Sheet Size: 11" x 17" Tabloid

0 10 20 30 Meters

0 50 100 Feet

N W E S

NAS SIGONELLA

This map and data contained herein is Controlled Unclassified Information. All data shown is considered CUI. Reproduction, distribution, publication, or exhibition of this data is strictly prohibited without the written consent of the Command Navy Region Europe, Africa, Central GeoReadiness Center (EURAFCENT GRC). The EURAFCENT GRC does not attest to or guarantee the currency and/or validity of the data contained in this map, nor does it attest of any spatial accuracy. This map is for planning purposes only.

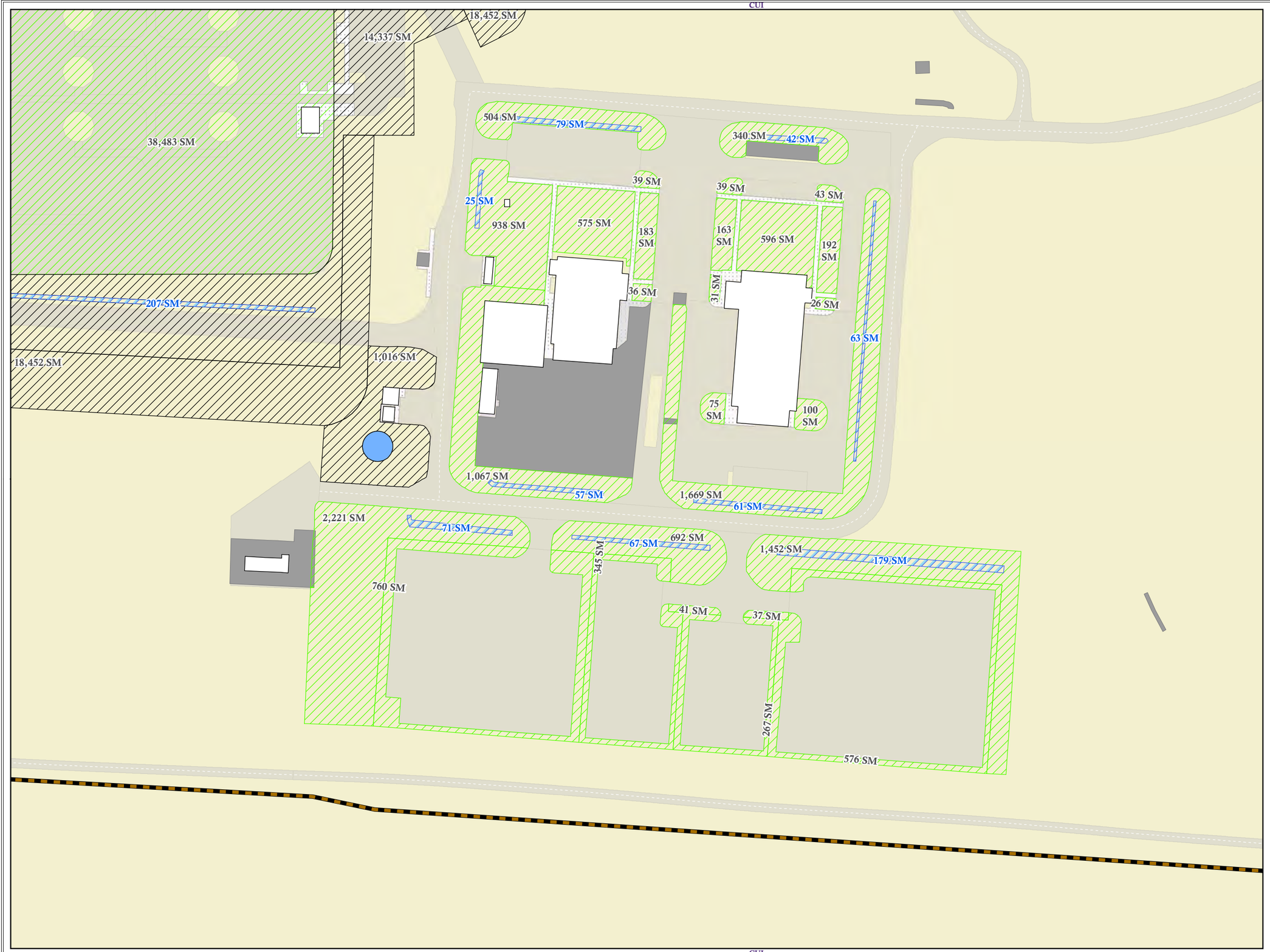

GROUNDS MAINTENANCE

Grounds Maintenance data modified on 31 Dec 2024 based on J-1503050-05 Attachment Grounds Inventories & Site Maps mod A00003 Sep 2021, mod A0015 Sep 2023, and ep#1809285_B3873 Dec 2023.

NAS II HAZMAT

- Improved Areas (28)
- Operational Areas (3)
- Building Area
- Installation Area
- Road Section
- Sidewalk
- Structure Area
- Stormwater Open Channel Area (10)
- Water Storage Structure Area (1)

Projection:	Map Date:	Scale:
WGS 1984 UTM Zone 33N	18 Feb 2025	1:1,200

Sheet Size: 11" x 17" Tabloid

0 10 20 30 Meters

0 50 100 Feet

N W E S

NAS SIGONELLA

This map and data contained herein is Controlled Unclassified Information. All data shown is considered CUI. Reproduction, distribution, publication, or exhibition of this data is strictly prohibited without the written consent of the Command Navy Region Europe, Africa, Central GeoReadiness Center (EURAFCENT GRC). The EURAFCENT GRC does not attest to or guarantee the currency and/or validity of the data contained in this map, nor does it attest of any spatial accuracy. This map is for planning purposes only.

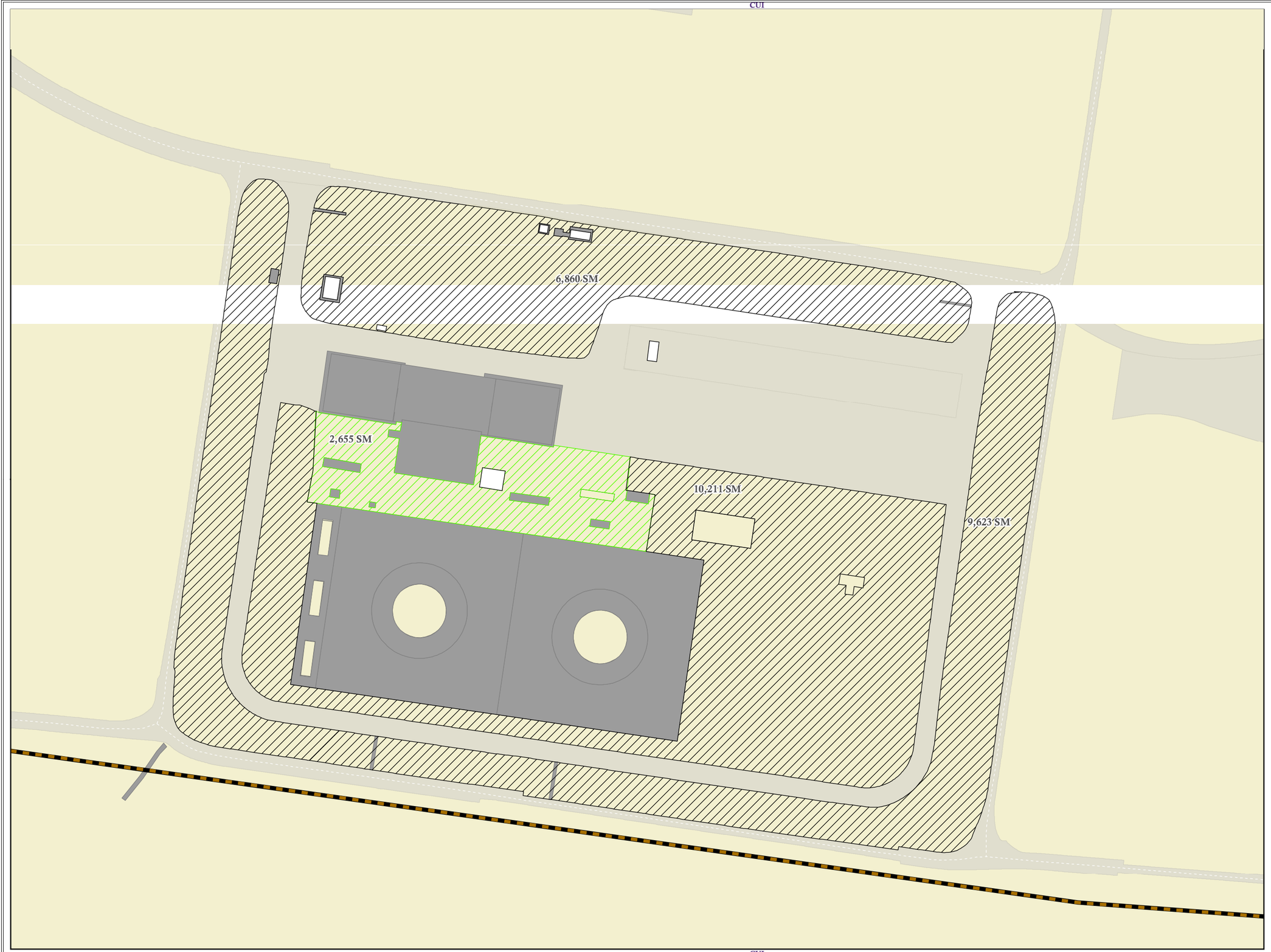

GROUNDS MAINTENANCE

Grounds Maintenance data modified on 31 Dec 2024 based on J-1503050-05 Attachment Grounds Inventories & Site Maps mod A00003 Sep 2021, mod A0015 Sep 2023, and ep#1809285_B3873 Dec 2023.

NAS II Fuels #1

- Improved Areas (1)
- Operational Areas (3)
- Building Area
- Installation Area
- Road Section
- Structure Area
- Storage Tank Area

Projection:	Map Date:	Scale:
WGS 1984 UTM Zone 33N	18 Feb 2025	1:1,200

Sheet Size: 11" x 17" Tabloid

0 10 20 30 Meters

0 50 100 Feet

N W E S

NAS SIGONELLA

This map and data contained herein is Controlled Unclassified Information. All data shown is considered CUI. Reproduction, distribution, publication, or exhibition of this data is strictly prohibited without the written consent of the Command Navy Region Europe, Africa, Central GeoReadiness Center (EURAFCENT GRC). The EURAFCENT GRC does not attest to or guarantee the currency and/or validity of the data contained in this map, nor does it attest of any spatial accuracy. This map is for planning purposes only.

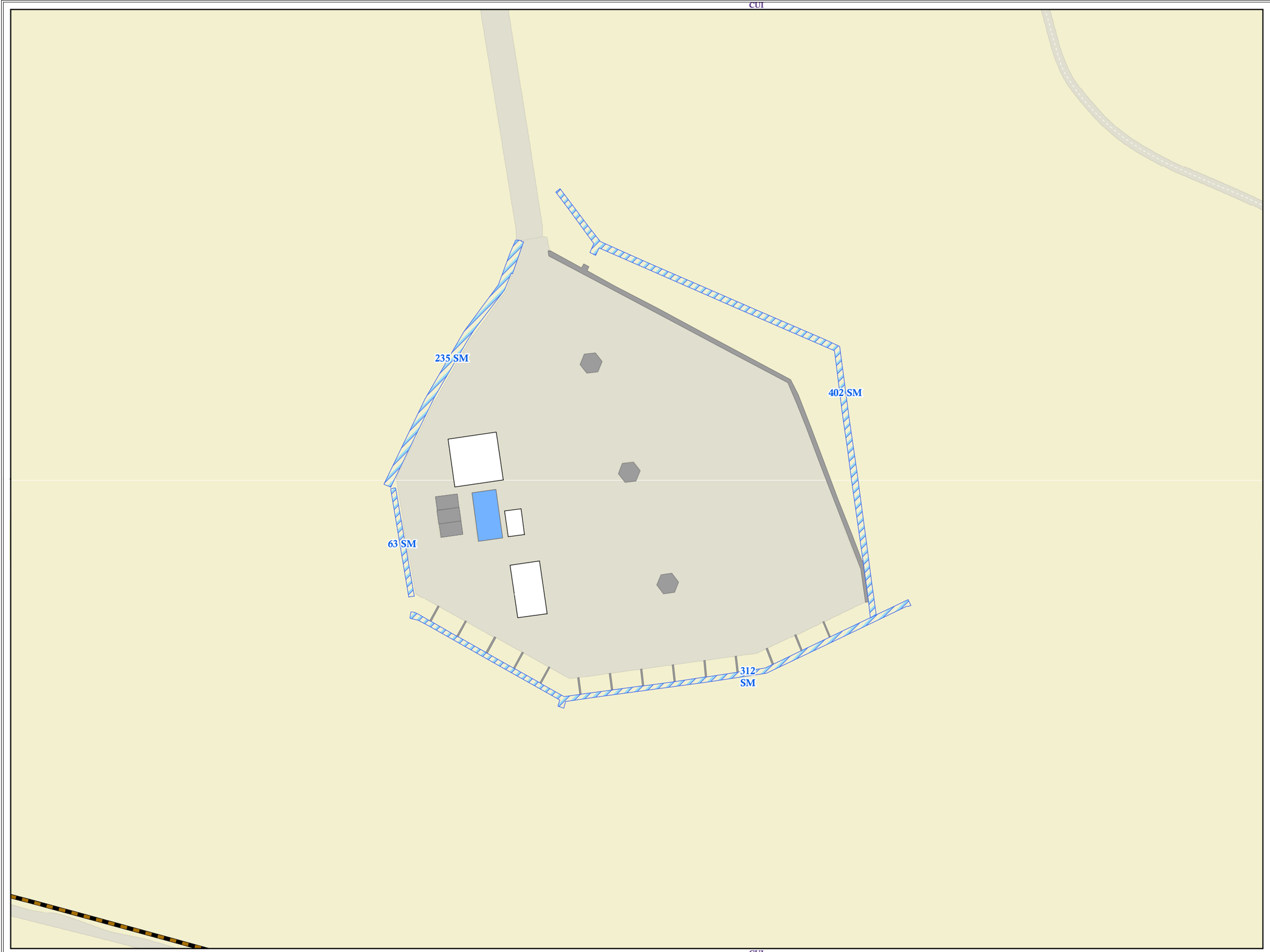

GROUNDS MAINTENANCE

Grounds Maintenance data modified on 31 Dec 2024 based on J-1503050-05 Attachment Grounds Inventories & Site Maps mod A00003 Sep 2021, mod A0015 Sep 2023, and ep#1809285_B3873 Dec 2023.

Niscemi

- Improved Areas (0)
- Operational Areas (0)
- Building Area
- Installation Area
- Road Section
- Structure Area
- Storage Tank Area
- Stormwater Open Channel Area (4)
- Water Storage Structure Area (1)

Projection:	Map Date:	Scale:
WGS 1984 UTM Zone 33N	18 Feb 2025	1:1,200

Sheet Size: 11" x 17" Tabloid

0 10 20 30 Meters

0 50 100 Feet

N W E S

NAS SIGONELLA

This map and data contained herein is Controlled Unclassified Information. All data shown is considered CUI. Reproduction, distribution, publication, or exhibition of this data is strictly prohibited without the written consent of the Command Navy Region Europe, Africa, Central GeoReadiness Center (EURAFCENT GRC). The EURAFCENT GRC does not attest to or guarantee the currency and/or validity of the data contained in this map, nor does it attest of any spatial accuracy. This map is for planning purposes only.